Property Tax Assessment Analysis

717 McAdoo Dr, Arlington, TX 76002
Tarrant County · March 4, 2026

717 McAdoo Dr, Arlington, TX 76002

Arlington, TX 76002 · Parcel: 25294-1-37R

Living Area	2,160 sqft	Lot Size	7,200 sqft
Year Built	2021	Property Type	Residential

Assessment Analysis

County Appraised Value	$335,356
Market Value (Comps)	$267,033
Overassessment	**$68,323**

Valuation Analysis

The subject property at 717 McAdoo Dr, Arlington, TX 76002 is a 2,160 sq ft Residential constructed in 2021, situated on a 7,200 sq ft lot.

A search of recent residential sales within 1.4 miles identified 12 comparable properties sold within the past 24 months. These properties range from 1,612 to 2,755 sq ft. The median estimated value per square foot among these comparables is $160. Note: An expanded search radius was used due to limited comparable sales in the immediate area.

Applying the 25th percentile price of $124 per square foot to the subject property's 2,160 sq ft yields a market value estimate of approximately $267,033. The county's current appraised value of $335,356 exceeds this estimate by $68,323 (20.4%). This overassessment represents approximately $1,708 in excess annual property taxes.

The comparable properties used in this analysis are detailed in the table below. All properties are residential, sold within 24 months, and located within 1.4 miles of the subject property.

Note: TX does not publicly disclose sale prices. Comparable values shown are estimated market values derived from property and market data.

Comparable Property Analysis

#	ADDRESS	DISTANCE	SQFT	YEAR	SALE DATE	SALE PRICE*	$/SQFT
S	**717 McAdoo Dr, Arlington, TX 76002 (Subject)**	**—**	**2,160**	**2021**	**—**	**—**	**—**
1	800 Mazatlan Ct	1.4 mi	1,612	2008	2/18/2026	$375,000	$233
2	214 WESTBROOK DR	—	2,079	—	12/17/2025	$273,750	$132
3	6615 TABOR DR	—	2,184	—	10/20/2025	$270,000	$124
4	409 CREEK POINT LN	—	2,226	—	10/16/2025	$240,500	$108
5	7416 QUAIL POINT LN	—	2,728	—	12/8/2025	$256,680	$94
6	6711 CLASSEN TRL	—	2,406	—	10/10/2025	$222,884	$93
7	7504 LONGBOW LN	—	1,995	—	9/9/2025	$420,000	$211
8	1403 MAMMOTH CAVE DR	—	1,924	—	12/22/2025	$289,000	$150

#	ADDRESS	DISTANCE	SQFT	YEAR	SALE DATE	SALE PRICE*	$/SQFT
9	7904 ROSWELL CT	—	2,044	—	12/26/2025	$359,000	$176
10	7233 CROWELL AVE	—	2,755	—	7/29/2025	$487,000	$177
11	1407 DEER HOLLOW DR	—	1,844	—	8/6/2025	$385,000	$209
12	1401 AXIS DEER RD	—	2,412	—	1/14/2026	$385,000	$160

MEDIAN PRICE	25TH PCTL $/SQFT	SUBJECT SQFT	MARKET VALUE
$359,000	$124	2,160	$267,033

*Comparable sales within 1.4 miles, sold within the past 24 months. All transactions are arm's-length sales from public county records. *Estimated market value — actual sale price not publicly disclosed in this state.*

Comparable Properties Map

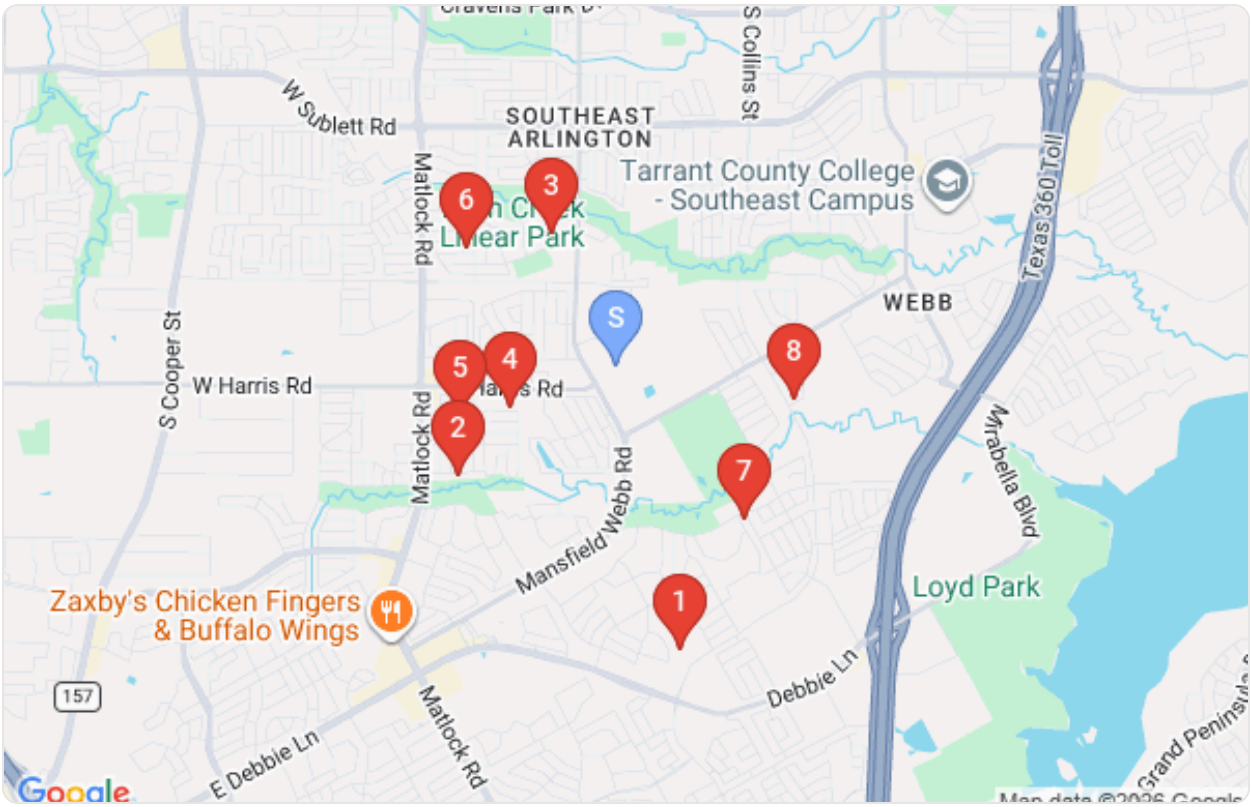

Subject property (blue pin) and comparable property locations (red pins)

Comparable Property Details

1

EST. MARKET VALUE

$375,000

800 Mazatlan Ct

1,612 sqft · Built 2008 · 1.4 mi · Sold 2/18/2026 · $233/sqft

2

SALE PRICE

$273,750

214 WESTBROOK DR

2,079 sqft · Sold 12/17/2025 · $132/sqft

3

SALE PRICE

$270,000

6615 TABOR DR

2,184 sqft · Sold 10/20/2025 · $124/sqft



4

SALE PRICE

$240,500

409 CREEK POINT LN

2,226 sqft · Sold 10/16/2025 · $108/sqft



5

SALE PRICE

$256,680

7416 QUAIL POINT LN

2,728 sqft · Sold 12/8/2025 · $94/sqft

6

SALE PRICE

$222,884

6711 CLASSEN TRL

2,406 sqft · Sold 10/10/2025 · $93/sqft

7

EST. MARKET VALUE

$420,000

7504 LONGBOW LN

1,995 sqft · Sold 9/9/2025 · $211/sqft

8

EST. MARKET VALUE

$289,000

1403 MAMMOTH CAVE DR

1,924 sqft · Sold 12/22/2025 · $150/sqft

9

EST. MARKET VALUE

$359,000

7904 ROSWELL CT

2,044 sqft · Sold 12/26/2025 · $176/sqft

10

EST. MARKET VALUE

$487,000

7233 CROWELL AVE

2,755 sqft · Sold 7/29/2025 · $177/sqft



11

EST. MARKET VALUE

$385,000

1407 DEER HOLLOW DR

1,844 sqft · Sold 8/6/2025 · $209/sqft

12

EST. MARKET VALUE

$385,000

1401 AXIS DEER RD

2,412 sqft · Sold 1/14/2026 · $160/sqft