Property Tax Assessment Analysis

3810 Iowa Dr
Anchorage Municipality · March 6, 2026

3810 Iowa Dr

Anchorage, AK 99517 · Parcel: 010-135-40-000

Living Area	**834 sqft**	Lot Size	**7,800 sqft**
Bedrooms	**1**	Bathrooms	**1**
Year Built	**1953**	Property Type	**Residential**

Assessment Analysis

County Appraised Value	**$246,100**
Market Value (Comps)	**$188,932**
Overassessment	**$57,168**

Environmental & Locational Factors

The following factors were detected within 1 mile of the subject property and may support a lower assessment:

🛣️ **Major Highway**
2 major highway(s) within 1 mile: Minnesota Dr, Minnesota Byp

🚂 **Railroad**
1 railroad(s) within 1 mile: Alaska RR

⚡ **Power Lines**
6 high-voltage transmission line(s) within 1 mile

Source: Census TIGERweb, FEMA National Flood Hazard Layer, OpenStreetMap

Valuation Analysis

The subject property at 3810 Iowa Dr, Anchorage, AK 99517 is a 834 sq ft Residential constructed in 1953, situated on a 7,800 sq ft lot.

A search of recent residential sales within 1.2 miles identified 12 comparable properties sold within the past 24 months. These properties range from 927 to 1,572 sq ft. The median estimated value per square foot among these comparables is $305. Note: An expanded search radius was used due to limited comparable sales in the immediate area.

Applying the 25th percentile price of $227 per square foot to the subject property's 834 sq ft yields a market value estimate of approximately $188,932. The county's current appraised value of $246,100 exceeds this estimate by $57,168 (23.2%). At an effective tax rate of 1.58%, this overassessment represents approximately $903 in excess annual property taxes.

The comparable properties used in this analysis are detailed in the table below. All properties are residential, sold within 24 months, and located within 1.2 miles of the subject property.

Note: AK does not publicly disclose sale prices. Comparable values shown are estimated market values derived from property and market data.

Additionally, environmental or locational factors affecting this property may further impact its market value. These factors are detailed in the Filing Guide included with this packet.

Comparable Property Analysis

#	ADDRESS	DISTANCE	SQFT	YEAR	SALE DATE	SALE PRICE*	$/SQFT
S	**3810 Iowa Dr (Subject)**	**—**	**834**	**1953**	**—**	**—**	**—**
1	2040 WENMATT CIR	—	1,572	—	9/4/2025	$284,798	$181
2	2604 W 30TH AVE	—	996	—	1/22/2026	$390,000	$392
3	3400 TURNAGAIN ST	—	990	—	9/11/2025	$330,500	$334
4	4313 LOIS DR	—	1,242	—	10/9/2025	$358,000	$288
5	3520 TANGLEWOOD PL	—	1,196	—	10/7/2025	$399,900	$334
6	3913 BARBARA DR	—	1,324	—	1/5/2026	$296,500	$224
7	3506 COPE ST	—	973	—	10/21/2024	$95,000	$98
8	3808 ARKANSAS DR	—	1,040	—	11/25/2024	$363,000	$349
9	2206 W 46TH AVE	—	960	—	9/3/2024	$325,000	$339
10	2808 W 32ND AVE	—	1,108	—	9/8/2024	$335,000	$302
11	1908 CLEVELAND AVE	—	927	—	6/23/2024	$210,000	$227
12	2206 W 45TH AVE	—	1,188	—	11/25/2024	$362,000	$305

MEDIAN PRICE	25TH PCTL $/SQFT	SUBJECT SQFT	MARKET VALUE
$335,000	**$227**	**834**	**$188,932**

*Comparable sales within 1.2 miles, sold within the past 24 months. All transactions are arm's-length sales from public county records. *Estimated market value — actual sale price not publicly disclosed in this state.*

Comparable Properties Map

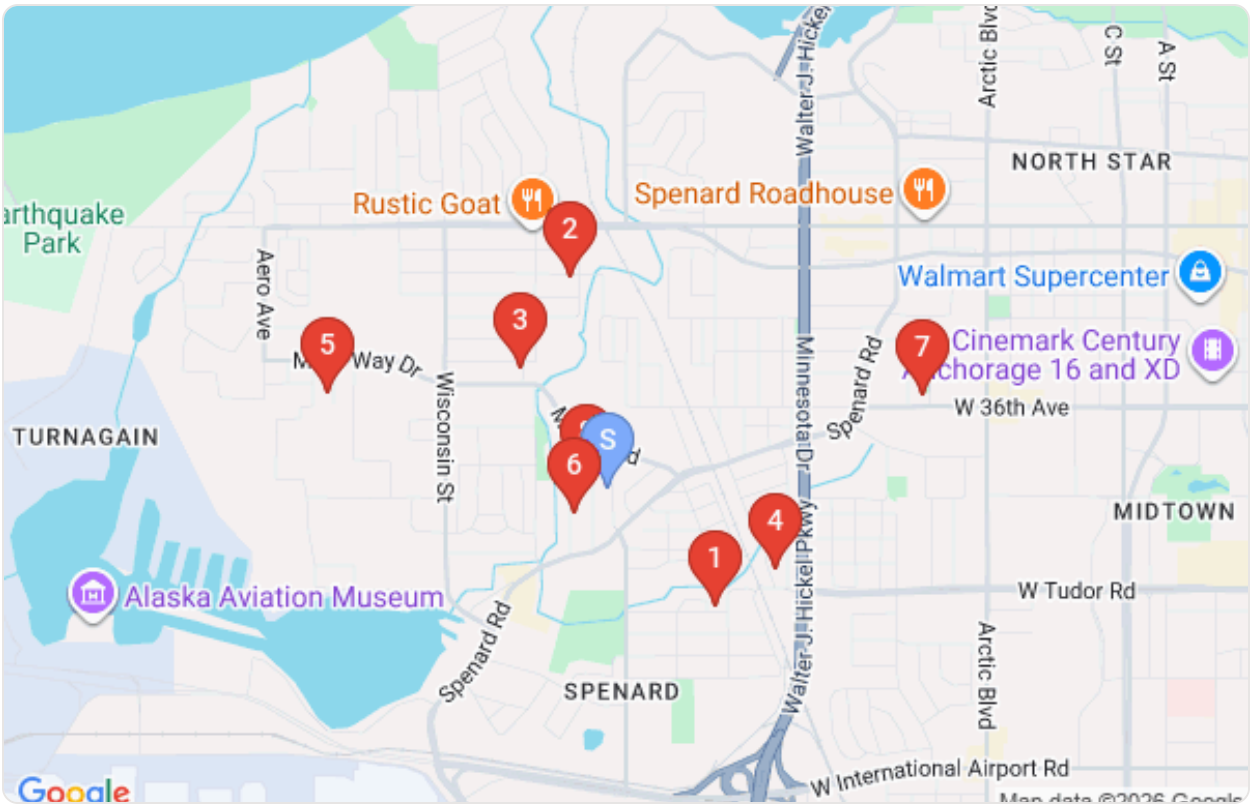

Subject property (blue pin) and comparable property locations (red pins)

Comparable Property Details



1

SALE PRICE

$284,798

2040 WENMATT CIR

1,572 sqft · Sold 9/4/2025 · $181/sqft



2

EST. MARKET VALUE

$390,000

2604 W 30TH AVE

996 sqft · Sold 1/22/2026 · $392/sqft

3

EST. MARKET VALUE

$330,500

3400 TURNAGAIN ST

990 sqft · Sold 9/11/2025 · $334/sqft

4

EST. MARKET VALUE

$358,000

4313 LOIS DR

1,242 sqft · Sold 10/9/2025 · $288/sqft

5

EST. MARKET VALUE

$399,900

3520 TANGLEWOOD PL

1,196 sqft · Sold 10/7/2025 · $334/sqft

6

EST. MARKET VALUE

$296,500

3913 BARBARA DR

1,324 sqft · Sold 1/5/2026 · $224/sqft

7

EST. MARKET VALUE

$95,000

3506 COPE ST

973 sqft · Sold 10/21/2024 · $98/sqft

8

EST. MARKET VALUE

$363,000

3808 ARKANSAS DR

1,040 sqft · Sold 11/25/2024 · $349/sqft

9

EST. MARKET VALUE

$325,000

2206 W 46TH AVE

960 sqft · Sold 9/3/2024 · $339/sqft

10

EST. MARKET VALUE

$335,000

2808 W 32ND AVE

1,108 sqft · Sold 9/8/2024 · $302/sqft

11

EST. MARKET VALUE

$210,000

1908 CLEVELAND AVE

927 sqft · Sold 6/23/2024 · $227/sqft

12

EST. MARKET VALUE

$362,000

2206 W 45TH AVE

1,188 sqft · Sold 11/25/2024 · $305/sqft