Property Tax Assessment Analysis

4503 Hillingdam Rd
Polk County · March 6, 2026

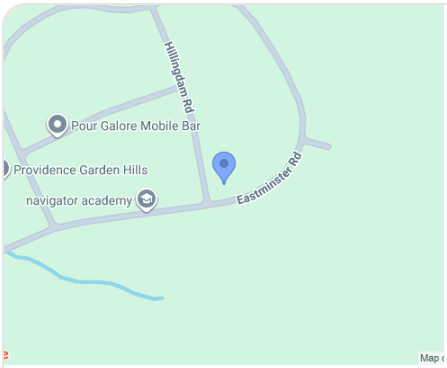

4503 Hillingdam Rd

Davenport, FL 33837 · Parcel: 282630933002001510

Living Area	3,174 sqft	Lot Size	9,849 sqft
Bedrooms	3	Bathrooms	2
Year Built	2024	Property Type	Residential

Assessment Analysis

County Appraised Value	$416,667
Market Value (Comps)	$549,912
Underassessment	-$133,245

Factors Considered in Our Analysis

The following factors were considered in our analysis of your property's value:

Power Lines
6 high-voltage transmission line(s) within 1 mile

Source: Census TIGERweb, FEMA National Flood Hazard Layer, OpenStreetMap

Valuation Analysis

The subject property at 4503 Hillingdam Rd, Davenport, FL 33837 is a 3,174 sq ft Residential constructed in 2024, situated on a 9,849 sq ft lot.

A search of recent residential sales within 1.5 miles identified 14 comparable properties sold within the past 18 months. These properties range from 2,281 to 4,041 sq ft. The median estimated value per square foot among these comparables is $185. Note: An expanded search radius was used due to limited comparable sales in the immediate area.

Applying the 25th percentile price of $173 per square foot to the subject property's 3,174 sq ft yields a market value estimate of approximately $549,912.

The comparable properties used in this analysis are detailed in the table below. All properties are residential, sold within 18 months, and located within 1.5 miles of the subject property.

Note: FL does not publicly disclose sale prices. Comparable values shown are estimated market values derived from property and market data.

Additionally, environmental or locational factors affecting this property may further impact its market value.

Comparable Property Analysis

#	ADDRESS	DISTANCE	SQFT	YEAR	SALE DATE	SALE PRICE*	$/SQFT
S	**4503 Hillingdam Rd (Subject)**	**—**	**3,174**	**2024**	**—**	**—**	**—**
1	4279 Eastminster Rd	0.1 mi	2,528	2024	10/16/2025	$489,990	$194
2	4535 Hillingdam Rd	0.1 mi	3,469	2024	1/6/2026	$560,000	$161
3	2287 Victoria Dr	1.5 mi	3,016	2014	9/25/2025	$495,000	$164
4	4547 Hillingdam Rd	0.1 mi	2,531	2024	9/15/2025	$476,999	$188
5	2452 Camden Park Ave	1.0 mi	4,041	2020	10/19/2025	$715,000	$177
6	2412 Camden Park Ave	1.1 mi	3,836	2020	9/10/2025	$659,900	$172
7	2621 Rosemont Cir	1.5 mi	2,333	2015	12/15/2025	$525,000	$225
8	1948 Greenbriar Ter	1.2 mi	2,281	2021	12/8/2025	$385,000	$169
9	2311 Victoria Dr	1.5 mi	2,377	2020	12/3/2025	$440,000	$185

#	ADDRESS	DISTANCE	SQFT	YEAR	SALE DATE	SALE PRICE*	$/SQFT
10	1039 Hamilton Ct	1.4 mi	2,602	2018	10/26/2025	$520,000	$200
11	1821 Benoit Ter	1.5 mi	2,393	2018	11/19/2025	$467,500	$195
12	2179 Victoria Dr	1.4 mi	2,482	2009	10/20/2025	$460,000	$185
13	2173 Victoria Dr	1.4 mi	2,342	2009	1/27/2026	$415,000	$177
14	2377 Victoria Dr	1.4 mi	2,773	2009	1/11/2026	$530,000	$191

MEDIAN PRICE	25TH PCTL $/SQFT	SUBJECT SQFT	MARKET VALUE
$495,000	**$173**	**3,174**	**$549,912**

*Comparable sales within 1.5 miles, sold within the past 18 months. All transactions are arm's-length sales from public county records. *Estimated market value — actual sale price not publicly disclosed in this state.*

Comparable Properties Map

Subject property (blue pin) and comparable property locations (red pins)

Comparable Property Details

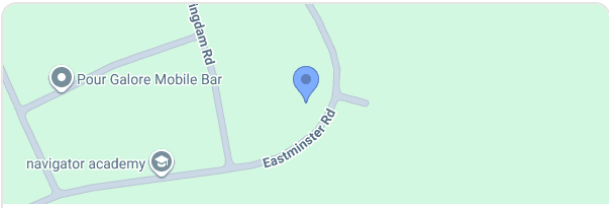

1

EST. MARKET VALUE

$489,990

4279 Eastminster Rd

2,528 sqft · Built 2024 · 0.1 mi · Sold 10/16/2025 · $194/sqft

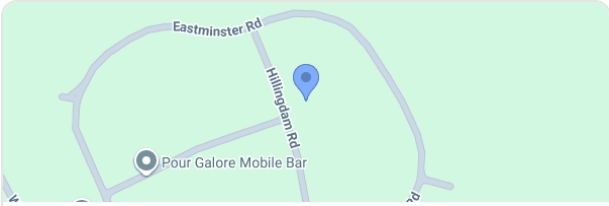

2

SALE PRICE

$560,000

4535 Hillingdam Rd

3,469 sqft · Built 2024 · 0.1 mi · Sold 1/6/2026 · $161/sqft

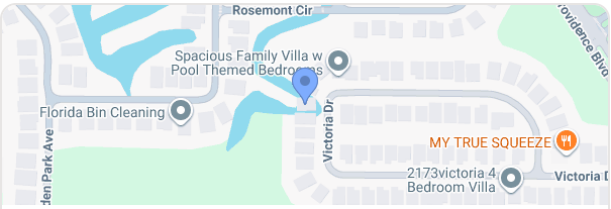

3

SALE PRICE

$495,000

2287 Victoria Dr

3,016 sqft · Built 2014 · 1.5 mi · Sold 9/25/2025 · $164/sqft

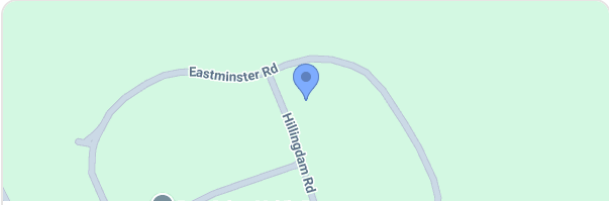

4

EST. MARKET VALUE

$476,999

4547 Hillingdam Rd

2,531 sqft · Built 2024 · 0.1 mi · Sold 9/15/2025 · $188/sqft

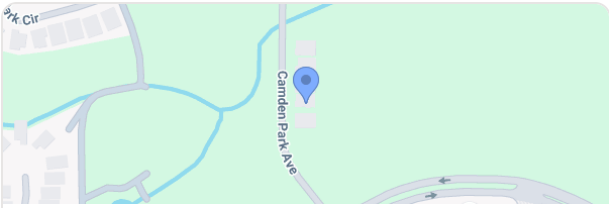

5

SALE PRICE

$715,000

2452 Camden Park Ave

4,041 sqft · Built 2020 · 1.0 mi · Sold 10/19/2025 · $177/sqft

6

SALE PRICE

$659,900

2412 Camden Park Ave

3,836 sqft · Built 2020 · 1.1 mi · Sold 9/10/2025 · $172/sqft

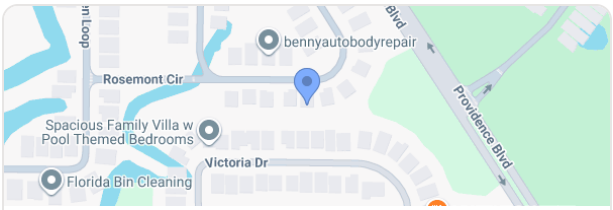

EST. MARKET VALUE

7

$525,000

2621 Rosemont Cir

2,333 sqft · Built 2015 · 1.5 mi · Sold 12/15/2025 · $225/sqft

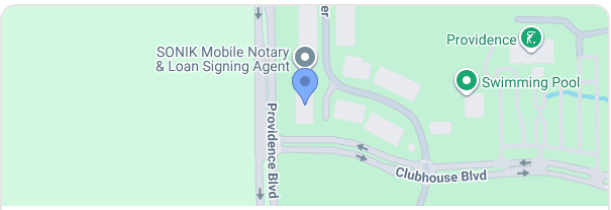

SALE PRICE

8

$385,000

1948 Greenbriar Ter

2,281 sqft · Built 2021 · 1.2 mi · Sold 12/8/2025 · $169/sqft



SALE PRICE

9

$440,000

2311 Victoria Dr

2,377 sqft · Built 2020 · 1.5 mi · Sold 12/3/2025 · $185/sqft

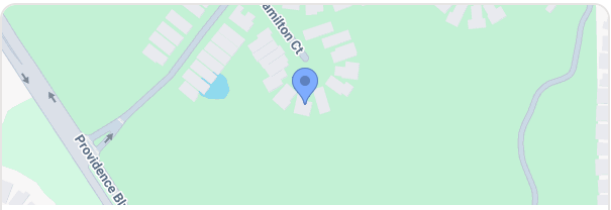

SALE PRICE

10

$520,000

1039 Hamilton Ct

2,602 sqft · Built 2018 · 1.4 mi · Sold 10/26/2025 · $200/sqft

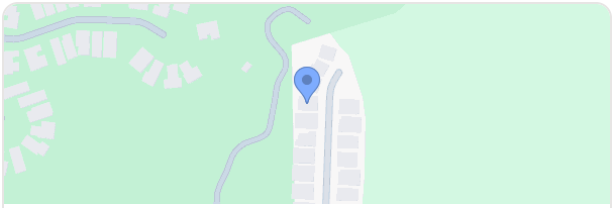

SALE PRICE

11

$467,500

1821 Benoit Ter

2,393 sqft · Built 2018 · 1.5 mi · Sold 11/19/2025 · $195/sqft

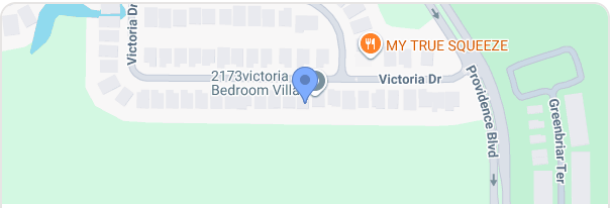

SALE PRICE

12

$460,000

2179 Victoria Dr

2,482 sqft · Built 2009 · 1.4 mi · Sold 10/20/2025 · $185/sqft

SALE PRICE

13

$415,000

2173 Victoria Dr

2,342 sqft · Built 2009 · 1.4 mi · Sold 1/27/2026 · $177/sqft

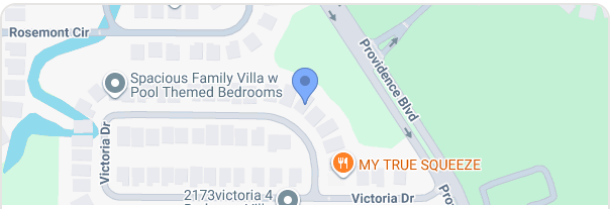

SALE PRICE

14

$530,000

2377 Victoria Dr

2,773 sqft · Built 2009 · 1.4 mi · Sold 1/11/2026 · $191/sqft