Property Tax Assessment Analysis

28 Oak Ridge Dr
Lasalle County · March 6, 2026

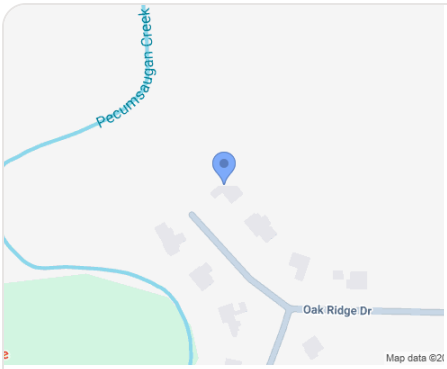

28 Oak Ridge Dr

La Salle, IL 61301 · Parcel: 19-07-100-002

Living Area	3,778 sqft	Lot Size	36,155 sqft
Bathrooms	1	Year Built	1996
Property Type	Residential		

Assessment Analysis

County Appraised Value	$656,031
Assessment Ratio (IL)	33.3%
Taxable Assessed Value	$218,655
Market Value (Comps)	$516,769
Overassessment	**$139,262**

Note: The most recent assessment data available for this property is from 2024. Current assessment values may differ. We recommend verifying your assessment with your county assessor before filing.

Environmental & Locational Factors

The following factors were detected within 1 mile of the subject property and may support a lower assessment:

🚂 **Railroad**
1 railroad(s) within 1 mile: Csx Transportation

Source: Census TIGERweb, FEMA National Flood Hazard Layer, OpenStreetMap

Valuation Analysis

The subject property at 28 Oak Ridge Dr, La Salle, IL 61301 is a 3,778 sq ft Residential constructed in 1996, situated on a 36,155 sq ft lot.

A search of recent residential sales within 5 miles identified 15 comparable properties sold within the past 24 months. These properties range from 1,803 to 5,410 sq ft. The median sale price per square foot among these comparables is $165. Note: An expanded search radius was used due to limited comparable sales in the immediate area.

Applying the 25th percentile sale price of $137 per square foot to the subject property's 3,778 sq ft yields a market value estimate of approximately $516,769. The county's current appraised value of $656,031 exceeds this estimate by $139,262 (21.2%). At an effective tax rate of 3.36%, this overassessment represents approximately $4,679 in excess annual property taxes.

The comparable sales used in this analysis are detailed in the table below. All properties are residential, sold within 24 months, and located within 5 miles of the subject property.

Additionally, environmental or locational factors affecting this property may further impact its market value. These factors are detailed in the Filing Guide included with this packet.

Comparable Sales Analysis

#	ADDRESS	DISTANCE	SQFT	YEAR	SALE DATE	SALE PRICE	$/SQFT
S	**28 Oak Ridge Dr (Subject)**	**—**	**3,778**	**1996**	**—**	**—**	**—**
1	34 CONSERVATION CT	—	5,410	—	2/18/2026	$740,000	$137
2	35 CONSERVATION CT	—	3,514	—	9/24/2024	$579,500	$165

#	ADDRESS	DISTANCE	SQFT	YEAR	SALE DATE	SALE PRICE	$/SQFT
3	60 ROYAL WOOD DR	—	2,375	—	8/3/2025	$450,000	$189
4	158 OAK BLUFF TER	—	3,303	—	11/26/2024	$380,000	$115
5	626 30TH ST	—	3,000	—	10/19/2025	$435,000	$145
6	129 WRIGHT DR	—	2,216	—	4/13/2025	$375,000	$169
7	11 BAKER PARK AVE	—	4,081	—	11/24/2025	$580,000	$142
8	12 GUNIA AVE	—	4,217	—	11/30/2025	$750,000	$178
9	112-114 WRIGHT DR	—	2,016	—	1/15/2026	$350,000	$174
10	1817 CREVE COEUR ST	—	3,516	—	6/25/2025	$429,000	$122
11	210 WOODLAND DR	—	1,803	—	6/4/2025	$370,000	$205
12	802 ANN MARIE DR	—	1,998	—	9/15/2025	$455,000	$228
13	633 30TH ST	—	2,475	—	1/21/2026	$475,000	$192
14	6 GUNIA AVE	—	4,158	—	8/19/2024	$685,000	$165
15	2871 E 777TH RD	—	2,284	—	9/28/2025	$227,000	$99

MEDIAN SALE PRICE	25TH PCTL $/SQFT	SUBJECT SQFT	MARKET VALUE
$450,000	**$137**	**3,778**	**$516,769**

Comparable sales within 5 miles, sold within the past 24 months. All transactions are arm's-length sales from public county records.

Comparable Properties Map

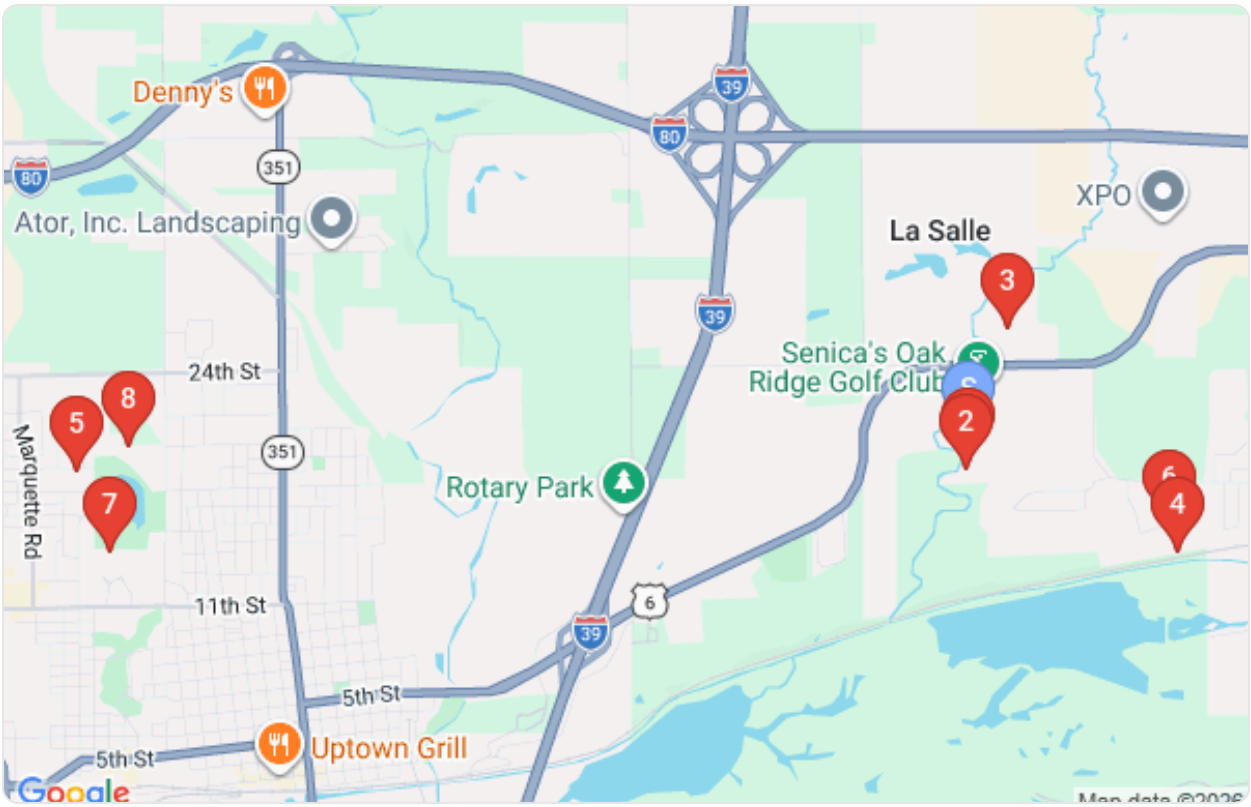

Subject property (blue pin) and comparable sales locations (red pins)

Comparable Property Details

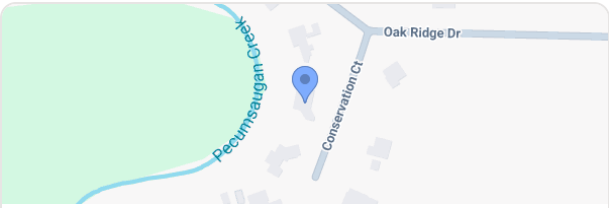

1

SALE PRICE
$740,000

34 CONSERVATION CT

5,410 sqft · Sold 2/18/2026 · $137/sqft

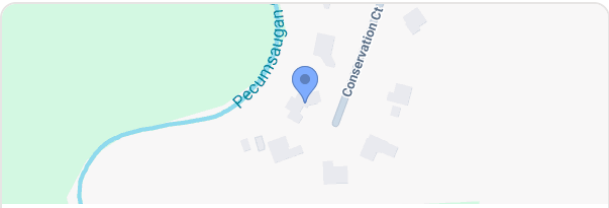

2

SALE PRICE
$579,500

35 CONSERVATION CT

3,514 sqft · Sold 9/24/2024 · $165/sqft

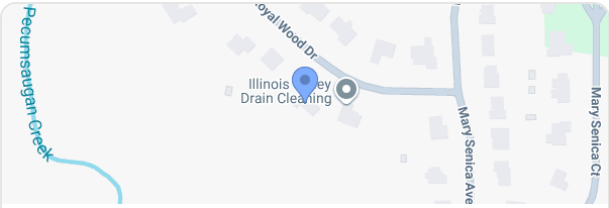

3

SALE PRICE
$450,000

60 ROYAL WOOD DR

2,375 sqft · Sold 8/3/2025 · $189/sqft

4

SALE PRICE
$380,000

158 OAK BLUFF TER

3,303 sqft · Sold 11/26/2024 · $115/sqft

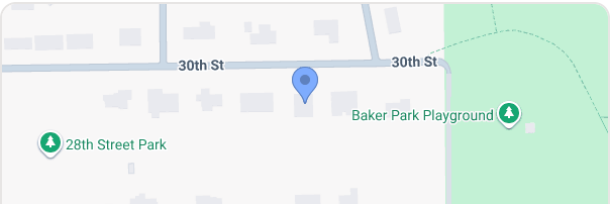

5

SALE PRICE
$435,000

626 30TH ST

3,000 sqft · Sold 10/19/2025 · $145/sqft

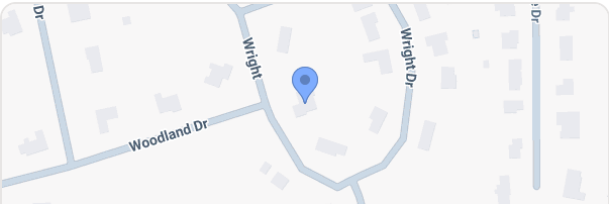

6

SALE PRICE
$375,000

129 WRIGHT DR

2,216 sqft · Sold 4/13/2025 · $169/sqft

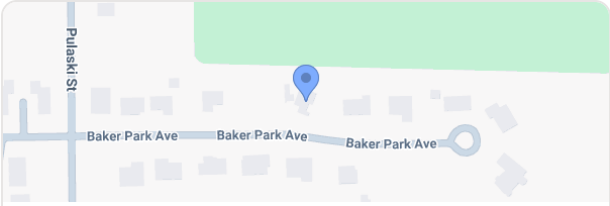

7

SALE PRICE
$580,000

11 BAKER PARK AVE

4,081 sqft · Sold 11/24/2025 · $142/sqft

8

SALE PRICE
$750,000

12 GUNIA AVE

4,217 sqft · Sold 11/30/2025 · $178/sqft

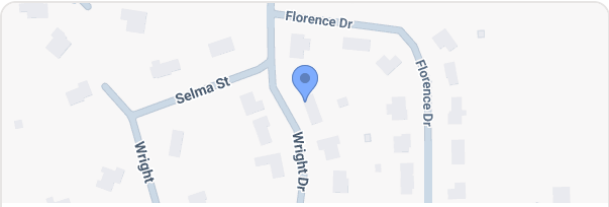

9

SALE PRICE

$350,000

112-114 WRIGHT DR

2,016 sqft · Sold 1/15/2026 · $174/sqft

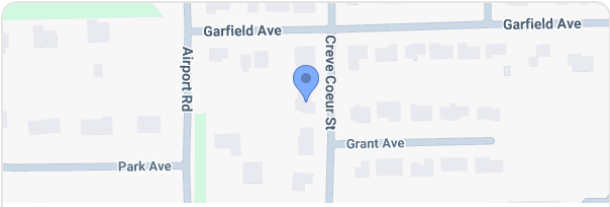

10

SALE PRICE

$429,000

1817 CREVE COEUR ST

3,516 sqft · Sold 6/25/2025 · $122/sqft

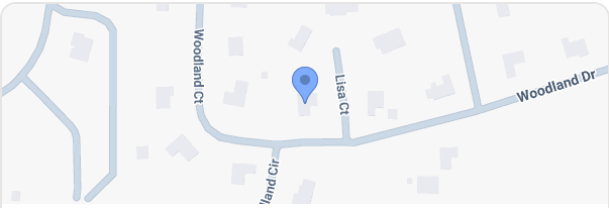

11

SALE PRICE

$370,000

210 WOODLAND DR

1,803 sqft · Sold 6/4/2025 · $205/sqft

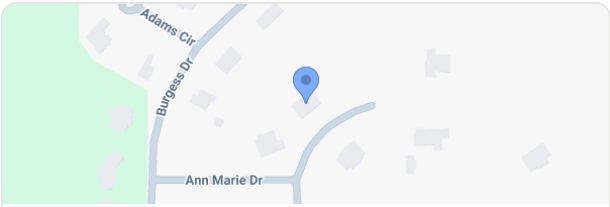

12

SALE PRICE

$455,000

802 ANN MARIE DR

1,998 sqft · Sold 9/15/2025 · $228/sqft

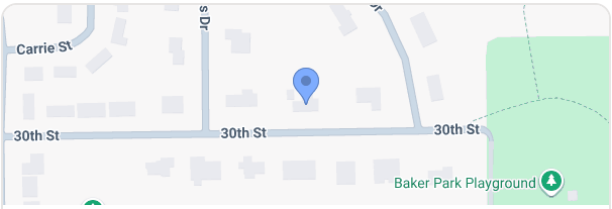

13

SALE PRICE

$475,000

633 30TH ST

2,475 sqft · Sold 1/21/2026 · $192/sqft

14

SALE PRICE

$685,000

6 GUNIA AVE

4,158 sqft · Sold 8/19/2024 · $165/sqft

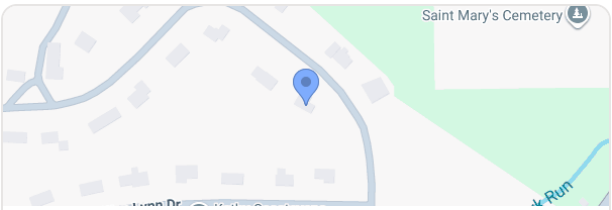

15

SALE PRICE

$227,000

2871 E 777TH RD

2,284 sqft · Sold 9/28/2025 · $99/sqft