Property Tax Assessment Analysis

3832 Justin Rd
Harford County · March 6, 2026

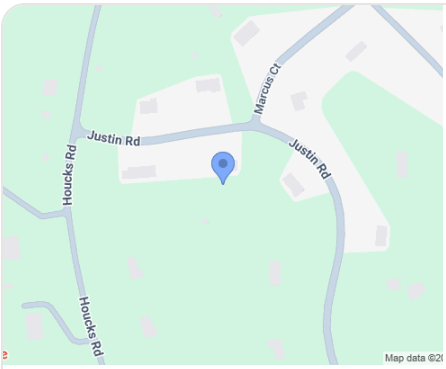

3832 Justin Rd

Monkton, MD 21111 · Parcel: 04-069560

Living Area	2,965 sqft	Lot Size	1.73 acres
Bathrooms	2	Year Built	1984
Property Type	Residential		

Assessment Analysis

County Appraised Value	$525,400
Market Value (Comps)	$697,969
Underassessment	-$172,569

Valuation Analysis

The subject property at 3832 Justin Rd, Monkton, MD 21111 is a 2,965 sq ft Residential constructed in 1984, situated on a 1.73-acre lot.

A search of recent residential sales in the surrounding area identified 15 comparable properties sold within the past 24 months. These properties range from 1,910 to 3,428 sq ft. The median sale price per square foot among these comparables is $278. Note: An expanded search radius was used due to limited comparable sales in the immediate area.

Applying the 25th percentile sale price of $235 per square foot to the subject property's 2,965 sq ft yields a market value estimate of approximately $697,969.

The comparable sales used in this analysis are detailed in the table below. All properties are residential, sold within 24 months, and located in the surrounding area of the subject property.

Comparable Sales Analysis

#	ADDRESS	DISTANCE	SQFT	YEAR	SALE DATE	SALE PRICE	$/SQFT
S	**3832 Justin Rd (Subject)**	**—**	**2,965**	**1984**	**—**	**—**	**—**
1	2306 COOL WOODS CT	—	2,686	—	8/6/2025	$825,000	$307
2	3613 WOODHOLME DR	—	2,204	—	1/1/2026	$525,000	$238
3	3827 JUSTIN RD	—	2,256	—	12/30/2025	$752,500	$334
4	2202 AQUILAS DELIGHT	—	2,640	—	1/28/2026	$805,000	$305
5	3401 FALLSTON RD	—	3,428	—	5/18/2025	$550,000	$160
6	3965 NORRISVILLE RD	—	2,667	—	3/13/2025	$759,900	$285
7	3633 JARRETTSVILLE PIKE	—	2,376	—	12/30/2025	$660,000	$278
8	1700 N LAURA CT	—	3,232	—	1/29/2026	$741,000	$229
9	3801 JUSTIN RD	—	2,520	—	12/12/2024	$806,000	$320
10	3330 FALLSTON RD	—	2,908	—	7/7/2025	$646,600	$222
11	3403 N FURNACE RD	—	1,910	—	9/28/2025	$490,000	$257
12	1239 BALDWIN MILL RD #C	—	3,049	—	9/30/2025	$780,000	$256
13	4103 AUTUMN DR	—	2,644	—	2/2/2025	$615,000	$233
14	2215 FURNACE RD	—	2,087	—	10/5/2025	$580,000	$278
15	3228 CANTERBURY LN	—	2,120	—	9/2/2025	$640,000	$302

MEDIAN SALE PRICE	25TH PCTL $/SQFT	SUBJECT SQFT	MARKET VALUE
$660,000	**$235**	**2,965**	**$697,969**

Comparable sales in the surrounding area, sold within the past 24 months. All transactions are arm's-length sales from public county records.

Comparable Properties Map

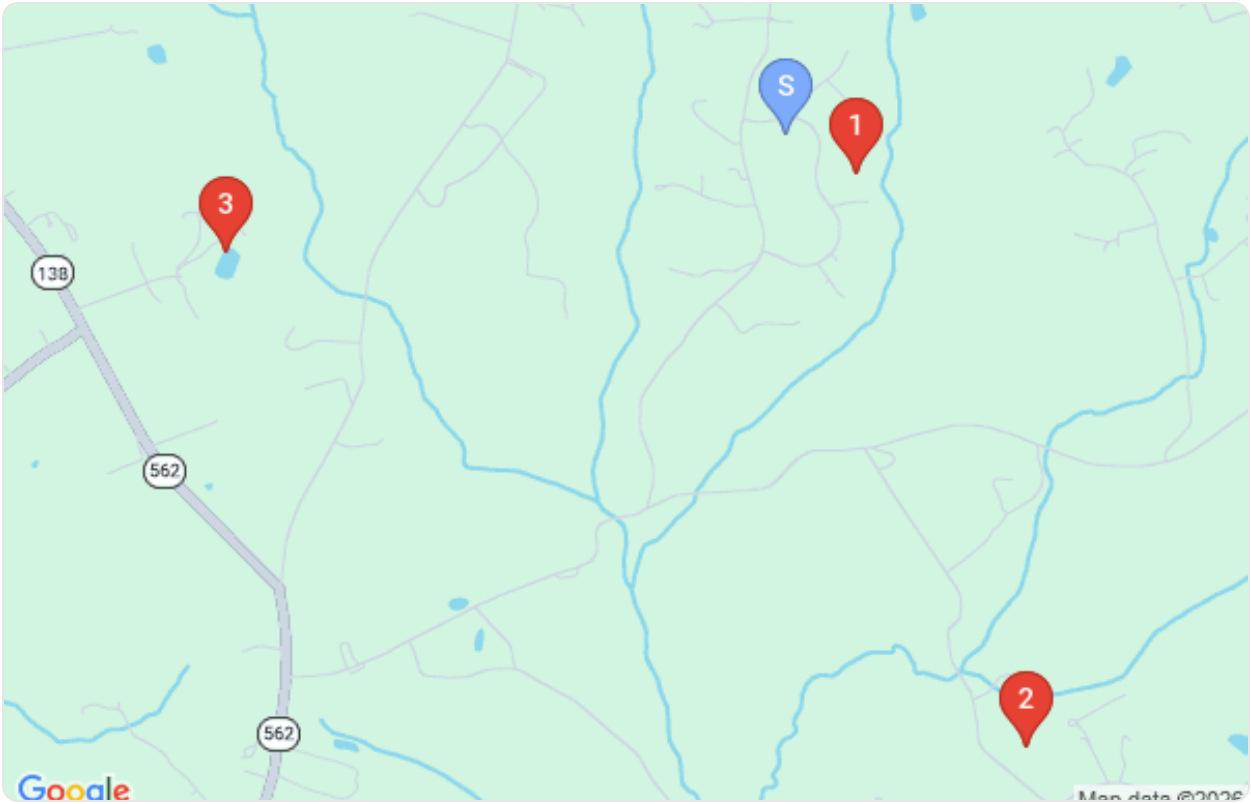

Subject property (blue pin) and comparable sales locations (red pins)

Comparable Property Details

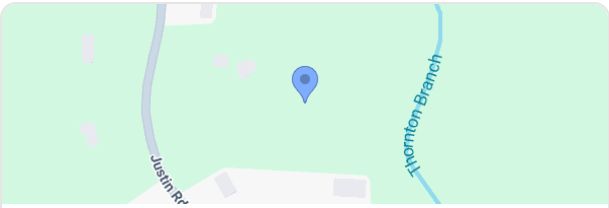

1

SALE PRICE
$825,000

2306 COOL WOODS CT

2,686 sqft · Sold 8/6/2025 · $307/sqft

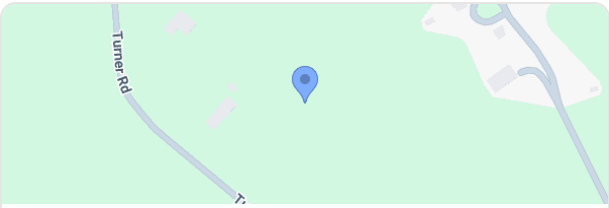

2

SALE PRICE
$525,000

3613 WOODHOLME DR

2,204 sqft · Sold 1/1/2026 · $238/sqft

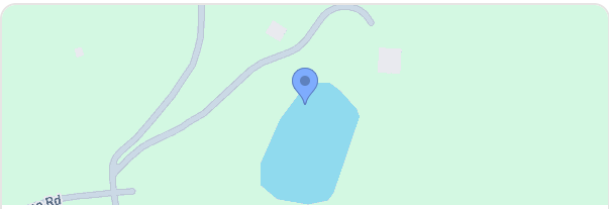

3

SALE PRICE
$752,500

3827 JUSTIN RD

2,256 sqft · Sold 12/30/2025 · $334/sqft

4

SALE PRICE
$805,000

2202 AQUILAS DELIGHT

2,640 sqft · Sold 1/28/2026 · $305/sqft

5

SALE PRICE
$550,000

3401 FALLSTON RD

3,428 sqft · Sold 5/18/2025 · $160/sqft

6

SALE PRICE
$759,900

3965 NORRISVILLE RD

2,667 sqft · Sold 3/13/2025 · $285/sqft

7

SALE PRICE
$660,000

3633 JARRETTSVILLE PIKE

2,376 sqft · Sold 12/30/2025 · $278/sqft

8

SALE PRICE
$741,000

1700 N LAURA CT

3,232 sqft · Sold 1/29/2026 · $229/sqft

9

SALE PRICE
$806,000

3801 JUSTIN RD

2,520 sqft · Sold 12/12/2024 · $320/sqft

10

SALE PRICE
$646,600

3330 FALLSTON RD

2,908 sqft · Sold 7/7/2025 · $222/sqft

11

SALE PRICE
$490,000

3403 N FURNACE RD

1,910 sqft · Sold 9/28/2025 · $257/sqft

12

SALE PRICE
$780,000

1239 BALDWIN MILL RD #C

3,049 sqft · Sold 9/30/2025 · $256/sqft

13

SALE PRICE

$615,000

4103 AUTUMN DR

2,644 sqft · Sold 2/2/2025 · $233/sqft

14

SALE PRICE

$580,000

2215 FURNACE RD

2,087 sqft · Sold 10/5/2025 · $278/sqft

15

SALE PRICE

$640,000

3228 CANTERBURY LN

2,120 sqft · Sold 9/2/2025 · $302/sqft