Property Tax Assessment Analysis

13004 Little Bluff Dr
Jackson County · March 6, 2026

13004 Little Bluff Dr

Vancleave, MS 39565 · Parcel: 05929118.000

Living Area	2,841 sqft	Lot Size	8.00 acres
Bedrooms	3	Bathrooms	3
Year Built	2003	Property Type	Residential

Assessment Analysis

County Appraised Value	$326,242
Assessment Ratio (MS)	10%
Taxable Assessed Value	$32,624
Market Value (Comps)	$406,204
Underassessment	-$79,962

Valuation Analysis

The subject property at 13004 Little Bluff Dr, Vancleave, MS 39565 is a 2,841 sq ft Residential constructed in 2003, situated on a 8.00-acre lot.

A search of recent residential sales within 5 miles identified 12 comparable properties sold within the past 24 months. These properties range from 2,161 to 3,580 sq ft. The median estimated value per square foot among these comparables is $176. Note: An expanded search radius was used due to limited comparable sales in the immediate area.

Applying the 25th percentile price of $143 per square foot to the subject property's 2,841 sq ft yields a market value estimate of approximately $406,204.

The comparable properties used in this analysis are detailed in the table below. All properties are residential, sold within 24 months, and located within 5 miles of the subject property.

Note: MS does not publicly disclose sale prices. Comparable values shown are estimated market values derived from property and market data.

Comparable Property Analysis

#	ADDRESS	DISTANCE	SQFT	YEAR	SALE DATE	EST. MARKET VALUE	$/SQFT
S	**13004 Little Bluff Dr (Subject)**	**—**	**2,841**	**2003**	**—**	**—**	**—**
1	6701 LITTLE BLUFF CV	—	3,580	—	6/26/2025	$605,000	$169
2	7115 JIM RAMSAY RD	—	2,949	—	4/14/2025	$550,000	$187
3	5916 MORNING SIDE DR	—	2,522	—	4/2/2025	$465,000	$184
4	13004 LITTLE BLUFF PL	—	2,343	—	7/28/2025	$335,000	$143
5	11301 DEER RUN LN	—	2,388	—	2/17/2025	$492,000	$206
6	12601 DEERWOOD DR	—	3,016	—	3/13/2025	$275,000	$91
7	8504 JULIA DR	—	3,105	—	7/6/2025	$545,000	$176
8	6804 HUMPHREY RD	—	2,221	—	1/29/2025	$315,000	$142
9	6001 WOODED ACRES RD	—	3,518	—	1/14/2026	$450,000	$128

#	ADDRESS	DISTANCE	SQFT	YEAR	SALE DATE	EST. MARKET VALUE	$/SQFT
10	8521 JULIA DR	—	2,646	—	8/12/2025	$510,000	$193
11	8512 JULIA DR	—	3,524	—	9/7/2025	$640,000	$182
12	13105 LITTLE BLUFF DR	—	2,161	—	8/6/2025	$369,500	$171

MEDIAN EST. VALUE	25TH PCTL $/SQFT	SUBJECT SQFT	MARKET VALUE
$492,000	**$143**	**2,841**	**$406,204**

Comparable properties within 5 miles, sold within the past 24 months. Values shown are estimated market values — MS does not publicly disclose sale prices.

Comparable Properties Map

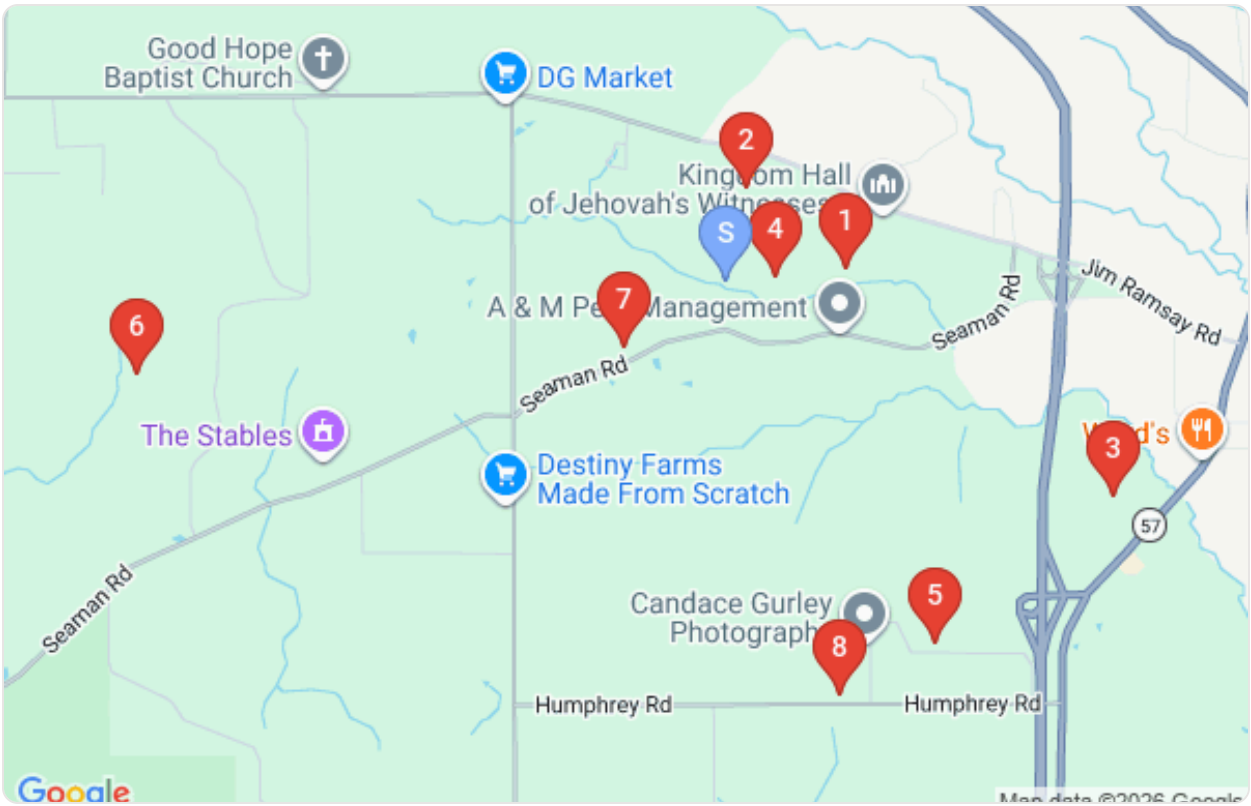

Subject property (blue pin) and comparable property locations (red pins)

Comparable Property Details



1

EST. MARKET VALUE

$605,000

6701 LITTLE BLUFF CV

3,580 sqft · Sold 6/26/2025 · $169/sqft

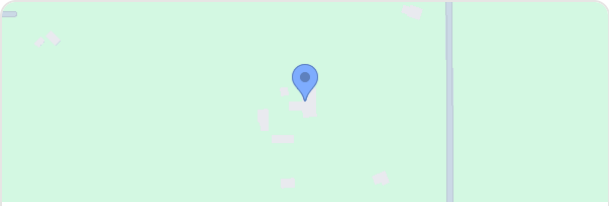

2

EST. MARKET VALUE

$550,000

7115 JIM RAMSAY RD

2,949 sqft · Sold 4/14/2025 · $187/sqft

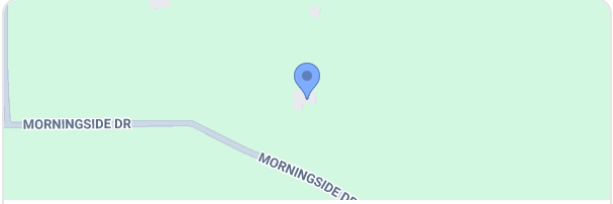

3

EST. MARKET VALUE

$465,000

5916 MORNING SIDE DR

2,522 sqft · Sold 4/2/2025 · $184/sqft

4

EST. MARKET VALUE

$335,000

13004 LITTLE BLUFF PL

2,343 sqft · Sold 7/28/2025 · $143/sqft

5

EST. MARKET VALUE

$492,000

11301 DEER RUN LN

2,388 sqft · Sold 2/17/2025 · $206/sqft

6

EST. MARKET VALUE

$275,000

12601 DEERWOOD DR

3,016 sqft · Sold 3/13/2025 · $91/sqft

7

EST. MARKET VALUE

$545,000

8504 JULIA DR

3,105 sqft · Sold 7/6/2025 · $176/sqft



8

EST. MARKET VALUE

$315,000

6804 HUMPHREY RD

2,221 sqft · Sold 1/29/2025 · $142/sqft

9

EST. MARKET VALUE

$450,000

6001 WOODED ACRES RD

3,518 sqft · Sold 1/14/2026 · $128/sqft

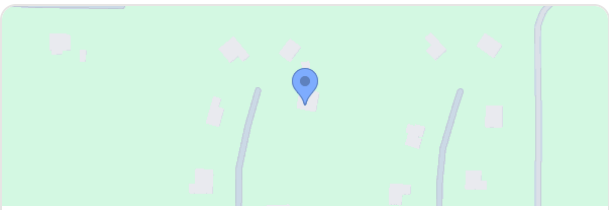

10

EST. MARKET VALUE

$510,000

8521 JULIA DR

2,646 sqft · Sold 8/12/2025 · $193/sqft

11

EST. MARKET VALUE

$640,000

8512 JULIA DR

3,524 sqft · Sold 9/7/2025 · $182/sqft

12

EST. MARKET VALUE

$369,500

13105 LITTLE BLUFF DR

2,161 sqft · Sold 8/6/2025 · $171/sqft