Property Tax Assessment Analysis

18417 Grant St
Douglas County · March 6, 2026

18417 Grant St

Elkhorn, NE 68022 · Parcel: 0643830608

Living Area	2,864 sqft	Lot Size	13,715 sqft
Bedrooms	4	Bathrooms	4
Year Built	2017	Property Type	Residential

Assessment Analysis

County Appraised Value	$626,200
Market Value (Comps)	$402,240
Overassessment	$223,960

Environmental & Locational Factors

The following factors were detected within 1 mile of the subject property and may support a lower assessment:

Railroad
1 railroad(s) within 1 mile: Union Pacific RR

Source: Census TIGERweb, FEMA National Flood Hazard Layer, OpenStreetMap

Valuation Analysis

The subject property at 18417 Grant St, Elkhorn, NE 68022 is a 2,864 sq ft Residential constructed in 2017, situated on a 13,715 sq ft lot.

A search of recent residential sales within 1.4 miles identified 7 comparable properties sold within the past 18 months. These properties range from 2,193 to 3,460 sq ft. The median estimated value per square foot among these comparables is $180. Note: An expanded search radius was used due to limited comparable sales in the immediate area.

Applying the 25th percentile price of $140 per square foot to the subject property's 2,864 sq ft yields a market value estimate of approximately $402,240. The county's current appraised value of $626,200 exceeds this estimate by $223,960 (35.8%). At an effective tax rate of 1.98%, this overassessment represents approximately $4,432 in excess annual property taxes.

The comparable properties used in this analysis are detailed in the table below. All properties are residential, sold within 18 months, and located within 1.4 miles of the subject property.

Note: NE does not publicly disclose sale prices. Comparable values shown are estimated market values derived from property and market data.

Additionally, environmental or locational factors affecting this property may further impact its market value. These factors are detailed in the Filing Guide included with this packet.

Comparable Property Analysis

#	ADDRESS	DISTANCE	SQFT	YEAR	SALE DATE	SALE PRICE*	$/SQFT
S	**18417 Grant St (Subject)**	**—**	**2,864**	**2017**	**—**	**—**	**—**
1	18880 Patrick Cir	0.3 mi	2,702	2018	1/4/2026	$700,000	$259
2	3768 N 192nd Ave	1.2 mi	3,087	2022	2/1/2026	$557,000	$180
3	19505 Pearl Cir	1.1 mi	2,638	2011	1/7/2026	$415,000	$157
4	2723 N 175th Ave	0.9 mi	2,780	2012	12/23/2025	$689,000	$248
5	2622 N 189th St	0.5 mi	2,193	2009	1/1/2026	$308,000	$140
6	17109 Bedford Ave	1.3 mi	2,513	2014	12/17/2025	$485,000	$193
7	2922 N 169th Ave	1.3 mi	3,460	2005	1/29/2026	$458,000	$132

MEDIAN PRICE	25TH PCTL $/SQFT	SUBJECT SQFT	MARKET VALUE
$485,000	**$140**	**2,864**	**$402,240**

*Comparable sales within 1.4 miles, sold within the past 18 months. All transactions are arm's-length sales from public county records. *Estimated market value — actual sale price not publicly disclosed in this state.*

Comparable Properties Map

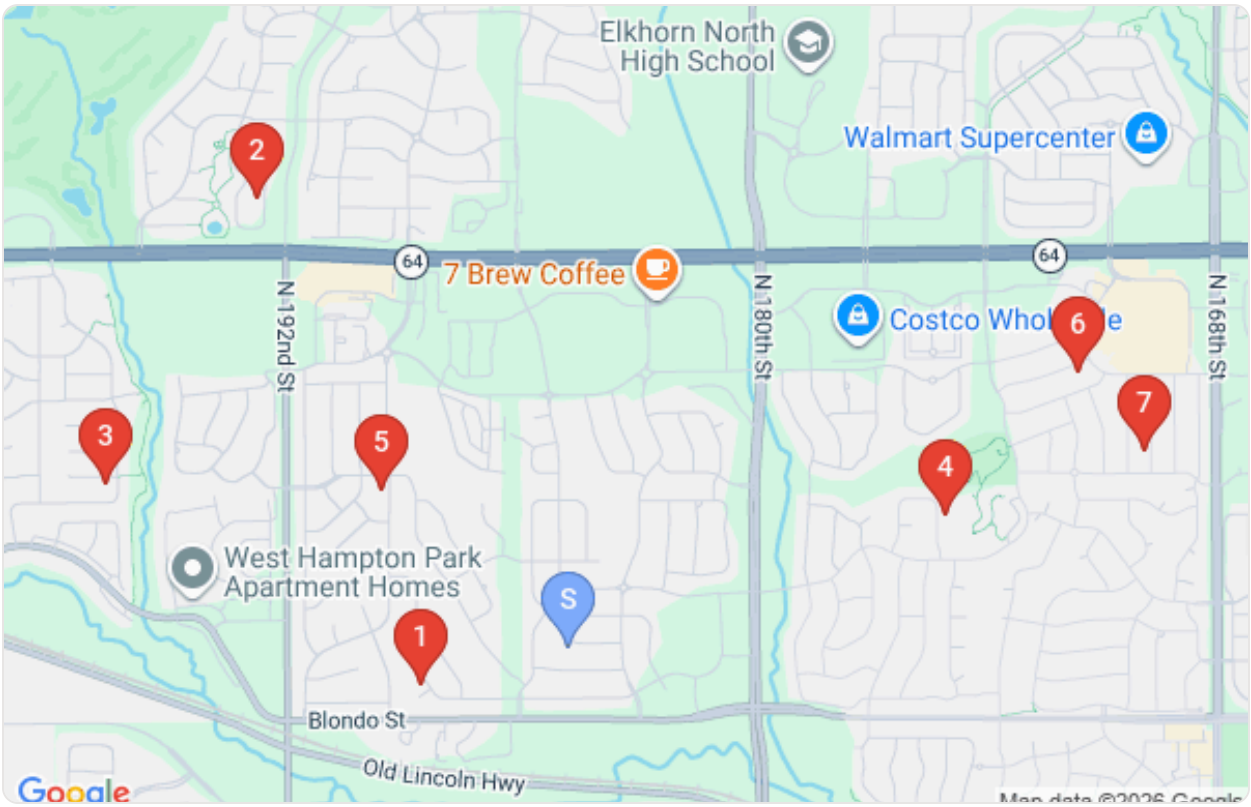

Subject property (blue pin) and comparable property locations (red pins)

Comparable Property Details



1

SALE PRICE

$700,000

18880 Patrick Cir

2,702 sqft · Built 2018 · 0.3 mi · Sold 1/4/2026 · $259/sqft

2

SALE PRICE

$557,000

3768 N 192nd Ave

3,087 sqft · Built 2022 · 1.2 mi · Sold 2/1/2026 · $180/sqft

3

SALE PRICE

$415,000

19505 Pearl Cir

2,638 sqft · Built 2011 · 1.1 mi · Sold 1/7/2026 · $157/sqft

4

EST. MARKET VALUE

$689,000

2723 N 175th Ave

2,780 sqft · Built 2012 · 0.9 mi · Sold 12/23/2025 · $248/sqft



5

SALE PRICE

$308,000

2622 N 189th St

2,193 sqft · Built 2009 · 0.5 mi · Sold 1/1/2026 · $140/sqft

6

SALE PRICE

$485,000

17109 Bedford Ave

2,513 sqft · Built 2014 · 1.3 mi · Sold 12/17/2025 · $193/sqft



7

SALE PRICE

$458,000

2922 N 169th Ave

3,460 sqft · Built 2005 · 1.3 mi · Sold 1/29/2026 · $132/sqft