Property Tax Assessment Analysis

18 Mansion Dr
Gloucester County · March 6, 2026

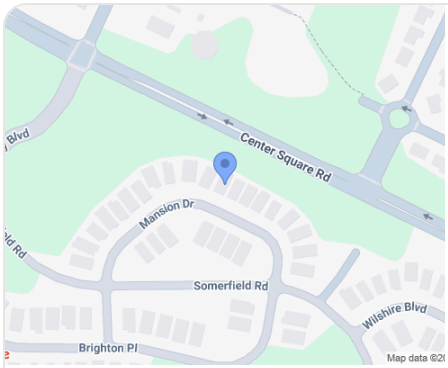

18 Mansion Dr

Swedesboro, NJ 08085 · Parcel:
24 00002- 25-00013

Living Area	**2,164 sqft**	Lot Size	**6,534 sqft**
Year Built	**2007**	Property Type	**Residential**

Assessment Analysis

County Appraised Value	**$249,400**
Market Value (Comps)	**$408,132**
Underassessment	**-$158,732**

Factors Considered in Our Analysis

The following factors were considered in our analysis of your property's value:

🚂 **Railroad**
1 railroad(s) within 1 mile: Conrail Shared Assets Operations

⚡ **Power Lines**
13 high-voltage transmission line(s) within 1 mile

Source: Census TIGERweb, FEMA National Flood Hazard Layer, OpenStreetMap

Valuation Analysis

The subject property at 18 Mansion Dr, Swedesboro, NJ 08085 is a 2,164 sq ft Residential constructed in 2007, situated on a 6,534 sq ft lot.

A search of recent residential sales within 0.9 miles identified 10 comparable properties sold within the past 12 months. These properties range from 1,960 to 2,555 sq ft. The median sale price per square foot among these comparables is $202. Note: An expanded search radius was used due to limited comparable sales in the immediate area.

Applying the 25th percentile sale price of $189 per square foot to the subject property's 2,164 sq ft yields a market value estimate of approximately $408,132.

The comparable sales used in this analysis are detailed in the table below. All properties are residential, sold within 12 months, and located within 0.9 miles of the subject property.

Additionally, environmental or locational factors affecting this property may further impact its market value.

Comparable Sales Analysis

#	ADDRESS	DISTANCE	SQFT	YEAR	SALE DATE	SALE PRICE	$/SQFT
S	**18 Mansion Dr (Subject)**	**—**	**2,164**	**2007**	**—**	**—**	**—**
1	203 Amesbury Blvd	0.6 mi	2,096	2019	1/6/2026	$435,000	$208
2	2 Hylton Rd	0.3 mi	2,158	2009	1/5/2026	$407,000	$189
3	8 Locust Ln	0.7 mi	2,172	2011	12/30/2025	$427,000	$197
4	613 Sammy St	0.9 mi	1,960	2020	2/5/2026	$418,000	$213
5	503 Sammy St	0.9 mi	1,960	2020	1/29/2026	$405,000	$207
6	213 Dalton Dr	0.8 mi	1,960	2022	1/11/2026	$382,000	$195
7	105 Sammy St	0.8 mi	2,334	2018	12/11/2025	$425,000	$182
8	206 Dalton Dr	0.9 mi	1,960	2021	11/11/2025	$395,000	$202
9	174 Spruce Trl	0.4 mi	2,555	1999	11/4/2025	$550,000	$215
10	501 Sammy St	0.9 mi	2,320	2020	11/20/2025	$435,000	$188

MEDIAN SALE PRICE	25TH PCTL $/SQFT	SUBJECT SQFT	MARKET VALUE
$425,000	**$189**	**2,164**	**$408,132**

Comparable sales within 0.9 miles, sold within the past 12 months. All transactions are arm's-length sales from public county records.

Comparable Properties Map

Subject property (blue pin) and comparable sales locations (red pins)

Comparable Property Details

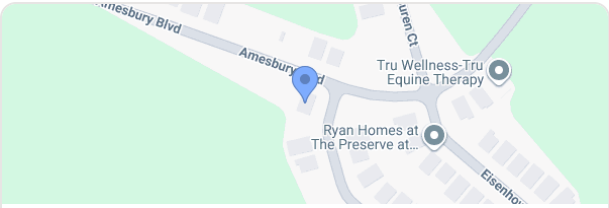

1

SALE PRICE

$435,000

203 Amesbury Blvd

2,096 sqft · Built 2019 · 0.6 mi · Sold 1/6/2026 · $208/sqft

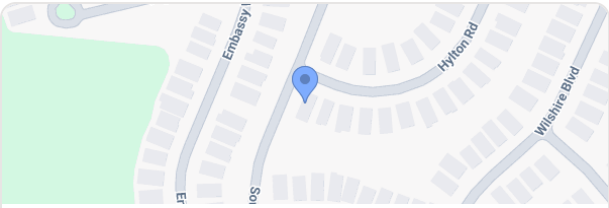

2

SALE PRICE

$407,000

2 Hylton Rd

2,158 sqft · Built 2009 · 0.3 mi · Sold 1/5/2026 · $189/sqft



3

SALE PRICE

$427,000

8 Locust Ln

2,172 sqft · Built 2011 · 0.7 mi · Sold 12/30/2025 · $197/sqft

4

SALE PRICE

$418,000

613 Sammy St

1,960 sqft · Built 2020 · 0.9 mi · Sold 2/5/2026 · $213/sqft

5

SALE PRICE

$405,000

503 Sammy St

1,960 sqft · Built 2020 · 0.9 mi · Sold 1/29/2026 · $207/sqft

6

SALE PRICE

$382,000

213 Dalton Dr

1,960 sqft · Built 2022 · 0.8 mi · Sold 1/11/2026 · $195/sqft

7

SALE PRICE

$425,000

105 Sammy St

2,334 sqft · Built 2018 · 0.8 mi · Sold 12/11/2025 · $182/sqft

8

SALE PRICE

$395,000

206 Dalton Dr

1,960 sqft · Built 2021 · 0.9 mi · Sold 11/11/2025 · $202/sqft

9

SALE PRICE

$550,000

174 Spruce Trl

2,555 sqft · Built 1999 · 0.4 mi · Sold 11/4/2025 · $215/sqft

10

SALE PRICE

$435,000

501 Sammy St

2,320 sqft · Built 2020 · 0.9 mi · Sold 11/20/2025 · $188/sqft