Property Tax Assessment Analysis

4415 Saint Ann Ln
Franklin County · March 6, 2026

4415 Saint Ann Ln

Whitehall, OH 43213 · Parcel: 090-001204

Living Area	889 sqft	Lot Size	8,890 sqft
Bedrooms	3	Bathrooms	2
Year Built	1953	Property Type	Residential

Assessment Analysis

County Appraised Value	$181,600
Assessment Ratio (OH)	35%
Taxable Assessed Value	$63,560
Market Value (Comps)	$110,971
Overassessment	**$70,629**

Note: The most recent assessment data available for this property is from 2024. Current assessment values may differ. We recommend verifying your assessment with your county assessor before filing.

Environmental & Locational Factors

The following factors were detected within 1 mile of the subject property and may support a lower assessment:

🏭 **Commercial/Industrial Zone**
13 commercial, 4 industrial, 2 retail zone(s) within 1 mile

⚡ **Power Lines**
1 high-voltage transmission line(s) within 1 mile

Source: Census TIGERweb, FEMA National Flood Hazard Layer, OpenStreetMap

Valuation Analysis

The subject property at 4415 Saint Ann Ln, Whitehall, OH 43213 is a 889 sq ft Residential constructed in 1953, situated on a 8,890 sq ft lot.

A search of recent residential sales within 1.5 miles identified 20 comparable properties sold within the past 18 months. These properties range from 721 to 1,153 sq ft. The median sale price per square foot among these comparables is $169. Note: An expanded search radius was used due to limited comparable sales in the immediate area.

Applying the 25th percentile sale price of $125 per square foot to the subject property's 889 sq ft yields a market value estimate of approximately $110,971. The county's current appraised value of $181,600 exceeds this estimate by $70,629 (38.9%). At an effective tax rate of 1.53%, this overassessment represents approximately $1,082 in excess annual property taxes.

The comparable sales used in this analysis are detailed in the table below. All properties are residential, sold within 18 months, and located within 1.5 miles of the subject property.

Additionally, environmental or locational factors affecting this property may further impact its market value. These factors are detailed in the Filing Guide included with this packet.

Comparable Sales Analysis

#	ADDRESS	DISTANCE	SQFT	YEAR	SALE DATE	SALE PRICE	$/SQFT
S	4415 Saint Ann Ln (Subject)	—	889	1953	—	—	—

#	ADDRESS	DISTANCE	SQFT	YEAR	SALE DATE	SALE PRICE	$/SQFT
1	1195 Huntly Dr	1.4 mi	912	1955	2/17/2026	$230,000	$252
2	3935 E Mound St	1.3 mi	934	1959	2/17/2026	$182,500	$195
3	295 S Hampton Rd	1.5 mi	865	1951	1/6/2026	$75,200	$87
4	4361 Lafayette Ct	0.1 mi	1,153	1953	1/28/2026	$180,000	$156
5	146 Ross Rd	0.4 mi	752	1952	1/8/2026	$44,000	$59
6	4371 Mcallister Ave	1.1 mi	1,018	1962	1/27/2026	$175,000	$172
7	855 Dimson Dr E	1.3 mi	776	1954	1/11/2026	$234,900	$303
8	4107 Andrus Ave	1.2 mi	769	1958	1/27/2026	$175,000	$228
9	229 S Napoleon Ave	1.3 mi	819	1961	2/16/2026	$58,000	$71
10	47 S Weyant Ave	1.3 mi	942	1956	1/4/2026	$85,000	$90
11	451 Beaver Ave	0.3 mi	1,148	1955	1/19/2026	$252,400	$220
12	4024 Etna St	0.6 mi	1,017	1954	1/28/2026	$225,000	$221
13	4120 Mcallister Ave	1.1 mi	769	1949	2/22/2026	$225,000	$293
14	78 S Weyant Ave	1.3 mi	1,011	1950	1/27/2026	$137,500	$136
15	4144 Mcallister Ave	1.0 mi	769	1949	1/22/2026	$130,000	$169
16	281 S Weyant Ave	1.3 mi	721	1951	2/23/2026	$90,000	$125
17	278 S Weyant Ave	1.3 mi	723	1951	2/1/2026	$110,000	$152
18	201 S Weyant Ave	1.3 mi	721	1948	1/11/2026	$115,000	$160
19	178 S Weyant Ave	1.3 mi	721	1951	1/1/2026	$185,000	$257
20	206 Collingwood Ave	0.8 mi	1,130	1926	2/17/2026	$90,000	$80

MEDIAN SALE PRICE	25TH PCTL $/SQFT	SUBJECT SQFT	MARKET VALUE
$175,000	**$125**	**889**	**$110,971**

Comparable sales within 1.5 miles, sold within the past 18 months. All transactions are arm's-length sales from public county records.

Comparable Properties Map

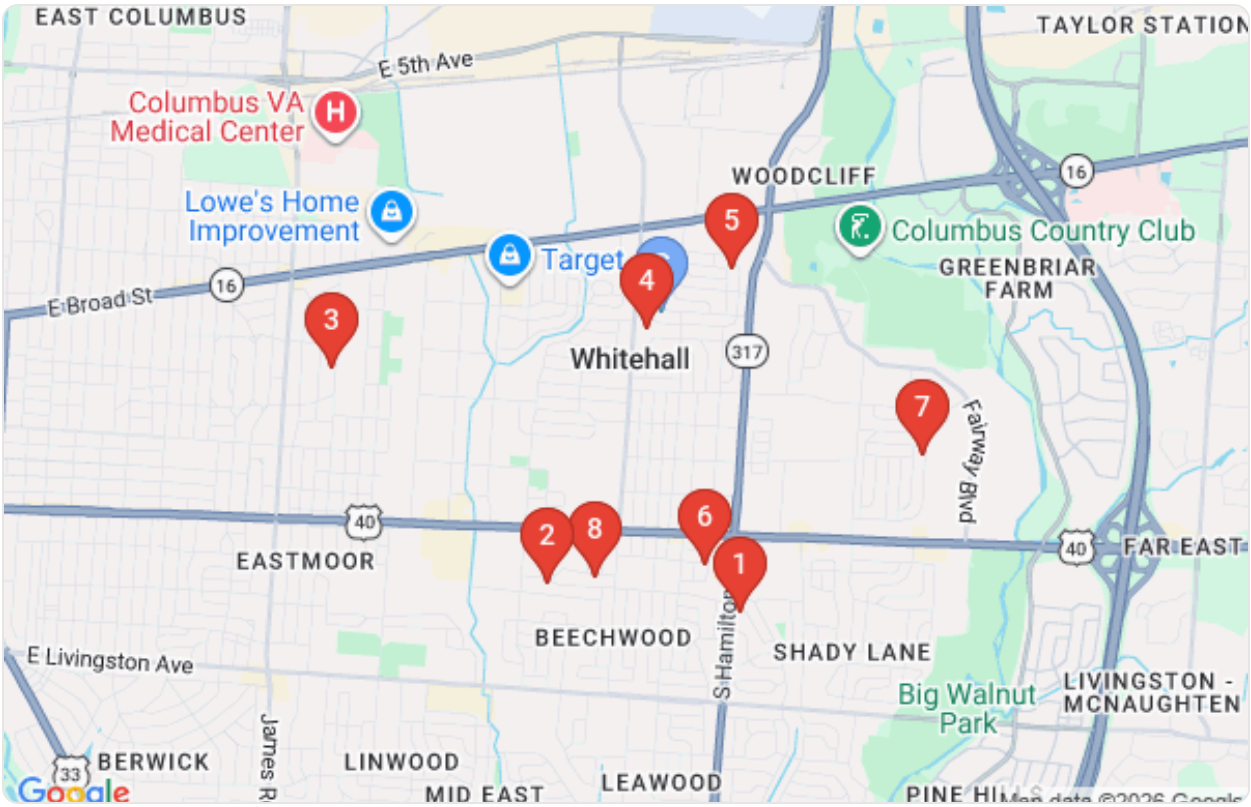

Subject property (blue pin) and comparable sales locations (red pins)

Comparable Property Details

1

SALE PRICE
$230,000

1195 Huntly Dr

912 sqft · Built 1955 · 1.4 mi · Sold 2/17/2026 · $252/sqft



2

SALE PRICE
$182,500

3935 E Mound St

934 sqft · Built 1959 · 1.3 mi · Sold 2/17/2026 · $195/sqft

3

SALE PRICE
$75,200

295 S Hampton Rd

865 sqft · Built 1951 · 1.5 mi · Sold 1/6/2026 · $87/sqft

4

SALE PRICE
$180,000

4361 Lafayette Ct

1,153 sqft · Built 1953 · 0.1 mi · Sold 1/28/2026 · $156/sqft

5

SALE PRICE
$44,000

146 Ross Rd

752 sqft · Built 1952 · 0.4 mi · Sold 1/8/2026 · $59/sqft

6

SALE PRICE
$175,000

4371 Mcallister Ave

1,018 sqft · Built 1962 · 1.1 mi · Sold 1/27/2026 · $172/sqft

7

SALE PRICE
$234,900

855 Dimson Dr E

776 sqft · Built 1954 · 1.3 mi · Sold 1/11/2026 · $303/sqft

8

SALE PRICE
$175,000

4107 Andrus Ave

769 sqft · Built 1958 · 1.2 mi · Sold 1/27/2026 · $228/sqft

9

SALE PRICE

$58,000

229 S Napoleon Ave

819 sqft · Built 1961 · 1.3 mi · Sold 2/16/2026 · $71/sqft

10

SALE PRICE

$85,000

47 S Weyant Ave

942 sqft · Built 1956 · 1.3 mi · Sold 1/4/2026 · $90/sqft



11

SALE PRICE

$252,400

451 Beaver Ave

1,148 sqft · Built 1955 · 0.3 mi · Sold 1/19/2026 · $220/sqft

12

SALE PRICE

$225,000

4024 Etna St

1,017 sqft · Built 1954 · 0.6 mi · Sold 1/28/2026 · $221/sqft

13

SALE PRICE

$225,000

4120 Mcallister Ave

769 sqft · Built 1949 · 1.1 mi · Sold 2/22/2026 · $293/sqft



14

SALE PRICE

$137,500

78 S Weyant Ave

1,011 sqft · Built 1950 · 1.3 mi · Sold 1/27/2026 · $136/sqft

15

SALE PRICE

$130,000

4144 Mcallister Ave

769 sqft · Built 1949 · 1.0 mi · Sold 1/22/2026 · $169/sqft

16

SALE PRICE

$90,000

281 S Weyant Ave

721 sqft · Built 1951 · 1.3 mi · Sold 2/23/2026 · $125/sqft

17

SALE PRICE

$110,000

278 S Weyant Ave

723 sqft · Built 1951 · 1.3 mi · Sold 2/1/2026 · $152/sqft

18

SALE PRICE

$115,000

201 S Weyant Ave

721 sqft · Built 1948 · 1.3 mi · Sold 1/11/2026 · $160/sqft

19

SALE PRICE

$185,000

178 S Weyant Ave

721 sqft · Built 1951 · 1.3 mi · Sold 1/1/2026 · $257/sqft

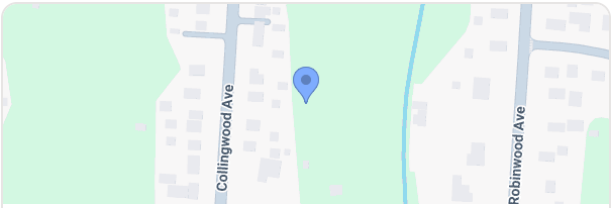

20

SALE PRICE

$90,000

206 Collingwood Ave

1,130 sqft · Built 1926 · 0.8 mi · Sold 2/17/2026 · $80/sqft