Property Tax Assessment Analysis

1915 SW 42nd St
Umatilla County · March 6, 2026

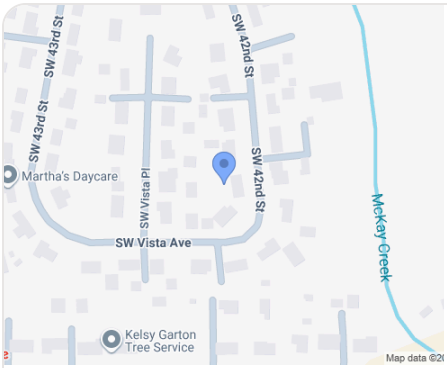

1915 SW 42nd St

Pendleton, OR 97801 · Parcel: 2N3221BC01600

Living Area	**1,074 sqft**	Lot Size	**14,525 sqft**
Bedrooms	**3**	Bathrooms	**2**
Year Built	**1978**	Property Type	**Residential**

Assessment Analysis

County Assessed Value (capped)	**$157,150**
County Market Value	**$210,220**
Market Value (Comps)	**$265,284**
Underassessment	**-$55,064**

Note: The most recent assessment data available for this property is from 2024. Current assessment values may differ. We recommend verifying your assessment with your county assessor before filing.

Valuation Analysis

The subject property at 1915 SW 42nd St, Pendleton, OR 97801 is a 1,074 sq ft Residential constructed in 1978, situated on a 14,525 sq ft lot.

A search of recent residential sales in the surrounding area identified 13 comparable properties sold within the past 24 months. These properties range from 1,104 to 1,793 sq ft. The median sale price per square foot among these comparables is $282. Note: An expanded search radius was used due to limited comparable sales in the immediate area.

Applying the 25th percentile sale price of $247 per square foot to the subject property's 1,074 sq ft yields a market value estimate of approximately $265,284.

The comparable sales used in this analysis are detailed in the table below. All properties are residential, sold within 24 months, and located in the surrounding area of the subject property.

Comparable Sales Analysis

#	ADDRESS	DISTANCE	SQFT	YEAR	SALE DATE	SALE PRICE	$/SQFT
S	**1915 SW 42nd St (Subject)**	**—**	**1,074**	**1978**	**—**	**—**	**—**
1	4032 SW PERKINS AVE	—	1,104	—	11/25/2025	$309,900	$281
2	1911 SW VISTA PL	—	1,164	—	8/7/2025	$398,900	$343
3	1511 SW 41ST ST	—	1,170	—	11/20/2025	$395,000	$338
4	4211 SW BROADLANE AVE	—	1,284	—	9/10/2025	$319,501	$249
5	4303 SW SHERIDAN AVE	—	1,342	—	7/13/2025	$395,000	$294
6	4218 SW JAY AVE	—	1,440	—	9/16/2025	$411,000	$285
7	1101 SW 37TH ST	—	1,336	—	5/29/2025	$330,000	$247
8	1338 SW 41ST ST	—	1,128	—	12/8/2024	$330,000	$293
9	3239 SW ISAAC AVE	—	1,332	—	12/18/2024	$375,000	$282
10	4147 SW QUINNEY AVE	—	1,468	—	2/17/2025	$360,000	$245
11	4038 SW PERKINS AVE	—	1,793	—	9/7/2025	$334,000	$186

#	ADDRESS	DISTANCE	SQFT	YEAR	SALE DATE	SALE PRICE	$/SQFT
12	4303 SW RUNNION CT	—	1,691	—	12/17/2025	$407,000	$241
13	1516 SW 41ST ST	—	1,473	—	11/13/2024	$440,500	$299

MEDIAN SALE PRICE	25TH PCTL $/SQFT	SUBJECT SQFT	MARKET VALUE
$375,000	$247	1,074	$265,284

Comparable sales in the surrounding area, sold within the past 24 months. All transactions are arm's-length sales from public county records.

Comparable Properties Map

Subject property (blue pin) and comparable sales locations (red pins)

Comparable Property Details



1

SALE PRICE
$309,900

4032 SW PERKINS AVE

1,104 sqft · Sold 11/25/2025 · $281/sqft

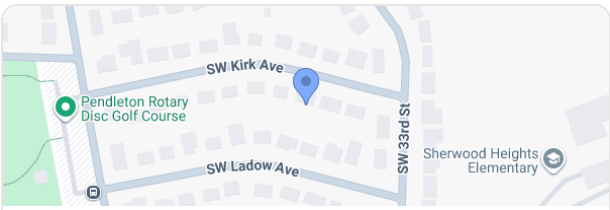

2

SALE PRICE
$398,900

1911 SW VISTA PL

1,164 sqft · Sold 8/7/2025 · $343/sqft



3

SALE PRICE
$395,000

1511 SW 41ST ST

1,170 sqft · Sold 11/20/2025 · $338/sqft

4

SALE PRICE
$319,501

4211 SW BROADLANE AVE

1,284 sqft · Sold 9/10/2025 · $249/sqft

5

SALE PRICE
$395,000

4303 SW SHERIDAN AVE

1,342 sqft · Sold 7/13/2025 · $294/sqft

6

SALE PRICE
$411,000

4218 SW JAY AVE

1,440 sqft · Sold 9/16/2025 · $285/sqft

7

SALE PRICE
$330,000

1101 SW 37TH ST

1,336 sqft · Sold 5/29/2025 · $247/sqft

8

SALE PRICE
$330,000

1338 SW 41ST ST

1,128 sqft · Sold 12/8/2024 · $293/sqft

9

SALE PRICE
$375,000

3239 SW ISAAC AVE

1,332 sqft · Sold 12/18/2024 · $282/sqft

10

SALE PRICE
$360,000

4147 SW QUINNEY AVE

1,468 sqft · Sold 2/17/2025 · $245/sqft

11

SALE PRICE
$334,000

4038 SW PERKINS AVE

1,793 sqft · Sold 9/7/2025 · $186/sqft

12

SALE PRICE
$407,000

4303 SW RUNNION CT

1,691 sqft · Sold 12/17/2025 · $241/sqft

13

SALE PRICE

$440,500

1516 SW 41ST ST

1,473 sqft · Sold 11/13/2024 · $299/sqft