Property Tax Assessment Analysis

43145 Sunderland Ter
Loudoun County · March 6, 2026

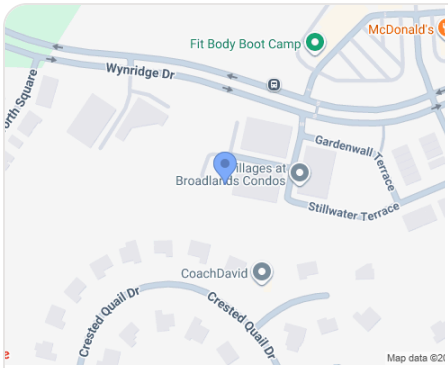

43145 Sunderland Ter

Broadlands, VA 20148 · Parcel: 120-46-3033-024

Living Area	1,712 sqft	Lot Size	1.89 acres
Bedrooms	3	Bathrooms	2
Year Built	2013	Property Type	Residential

Assessment Analysis

County Appraised Value	$442,600
Market Value (Comps)	$485,685
Underassessment	-$43,085

Factors Considered in Our Analysis

The following factors were considered in our analysis of your property's value:

🛣️ **Major Highway**
2 major highway(s) within 1 mile: State Rte 267, Dulles Greenway

🏭 **Commercial/Industrial Zone**
1 industrial, 3 retail zone(s) within 1 mile (incl. Shoppes at Ryan Park, Broadlands Marketplace)

Source: Census TIGERweb, FEMA National Flood Hazard Layer, OpenStreetMap

Valuation Analysis

The subject property at 43145 Sunderland Ter, Broadlands, VA 20148 is a 1,712 sq ft Residential constructed in 2013, situated on a 1.89-acre lot.

A search of recent residential sales within 0.7 miles identified 4 comparable properties sold within the past 12 months. These properties range from 1,528 to 1,796 sq ft. The median sale price per square foot among these comparables is $358. Note: An expanded search radius was used due to limited comparable sales in the immediate area.

Applying the 25th percentile sale price of $284 per square foot to the subject property's 1,712 sq ft yields a market value estimate of approximately $485,685.

The comparable sales used in this analysis are detailed in the table below. All properties are residential, sold within 12 months, and located within 0.7 miles of the subject property.

Additionally, environmental or locational factors affecting this property may further impact its market value.

Comparable Sales Analysis

#	ADDRESS	DISTANCE	SQFT	YEAR	SALE DATE	SALE PRICE	$/SQFT
S	**43145 Sunderland Ter (Subject)**	**—**	**1,712**	**2013**	**—**	**—**	**—**
1	43138 Stillwater Ter Unit 305	0.1 mi	1,712	2013	11/19/2025	$470,000	$275
2	43234 Farringdon Sq	0.5 mi	1,796	2022	12/16/2025	$515,000	$287
3	22099 Madison Point Sq	0.7 mi	1,528	2024	1/8/2026	$547,450	$358
4	43509 Old Ryan Rd	0.7 mi	1,538	2024	12/28/2025	$570,000	$371

MEDIAN SALE PRICE	25TH PCTL $/SQFT	SUBJECT SQFT	MARKET VALUE
$547,450	$284	1,712	$485,685

Comparable sales within 0.7 miles, sold within the past 12 months. All transactions are arm's-length sales from public county records.

Comparable Properties Map

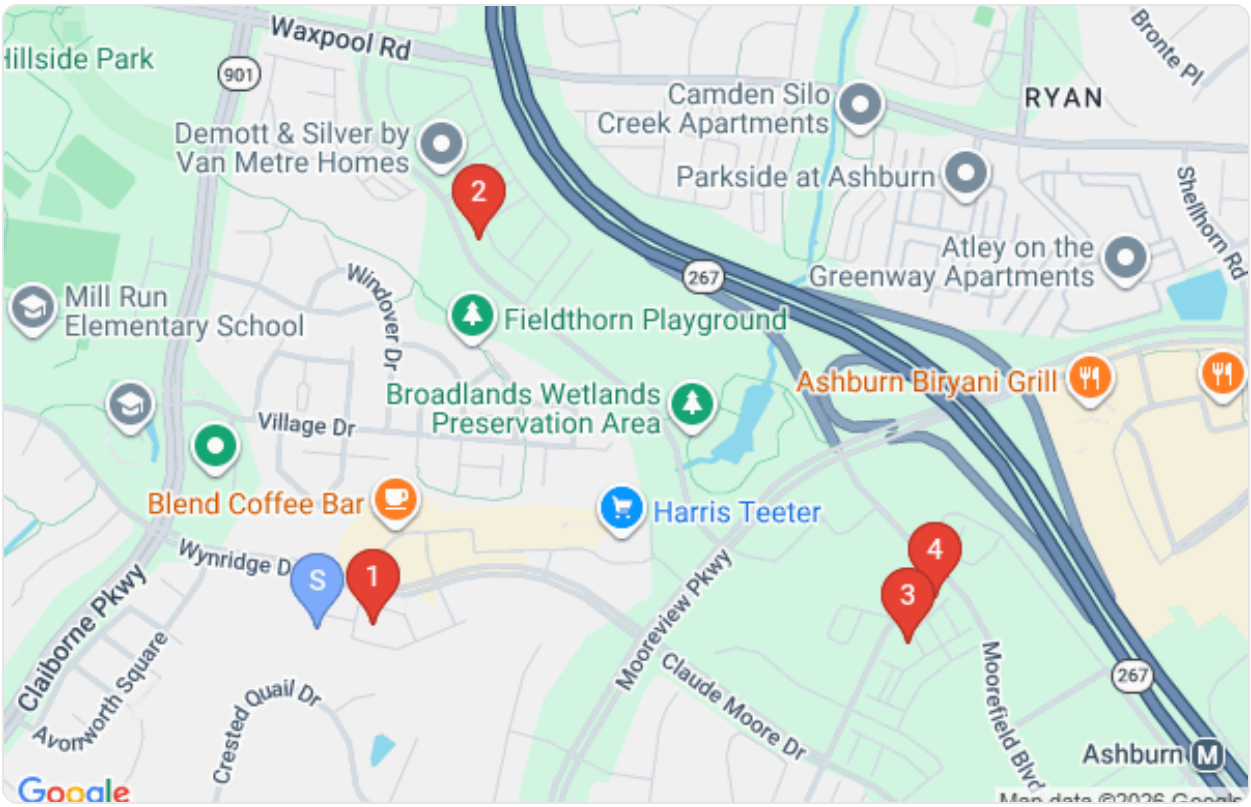

Subject property (blue pin) and comparable sales locations (red pins)

Comparable Property Details



1

SALE PRICE

$470,000

43138 Stillwater Ter Unit 305

1,712 sqft · Built 2013 · 0.1 mi · Sold 11/19/2025 · $275/sqft



2

SALE PRICE

$515,000

43234 Farringdon Sq

1,796 sqft · Built 2022 · 0.5 mi · Sold 12/16/2025 · $287/sqft



3

SALE PRICE

$547,450

22099 Madison Point Sq

1,528 sqft · Built 2024 · 0.7 mi · Sold 1/8/2026 · $358/sqft

4

SALE PRICE

$570,000

43509 Old Ryan Rd

1,538 sqft · Built 2024 · 0.7 mi · Sold 12/28/2025 · $371/sqft