Property Tax Assessment Analysis

4376 SE Bear Tree Ln
Kitsap County · March 6, 2026



4376 SE Bear Tree Ln

Port Orchard, WA 98367 · Parcel: 302302-4-086-2000

Living Area	1,440 sqft	Lot Size	2.08 acres
Bedrooms	3	Bathrooms	2
Year Built	1996	Property Type	Residential

Assessment Analysis

County Appraised Value	$585,790
Market Value (Comps)	$434,403
Overassessment	$151,387

Valuation Analysis

The subject property at 4376 SE Bear Tree Ln, Port Orchard, WA 98367 is a 1,440 sq ft Residential constructed in 1996, situated on a 2.08-acre lot.

A search of recent residential sales within 1.5 miles identified 4 comparable properties sold within the past 18 months. These properties range from 1,185 to 1,752 sq ft. The median sale price per square foot among these comparables is $411. Note: An expanded search radius was used due to limited comparable sales in the immediate area.

Applying the 25th percentile sale price of $302 per square foot to the subject property's 1,440 sq ft yields a market value estimate of approximately $434,403. The county's current appraised value of $585,790 exceeds this estimate by $151,387 (25.8%). At an effective tax rate of 0.85%, this overassessment represents approximately $1,291 in excess annual property taxes.

The comparable sales used in this analysis are detailed in the table below. All properties are residential, sold within 18 months, and located within 1.5 miles of the subject property.

Comparable Sales Analysis

#	ADDRESS	DISTANCE	SQFT	YEAR	SALE DATE	SALE PRICE	$/SQFT
S	**4376 SE Bear Tree Ln (Subject)**	**—**	**1,440**	**1996**	**—**	**—**	**—**
1	4752 Se Black Swan Ln	0.8 mi	1,752	1994	12/21/2025	$455,000	$260
2	10564 Se View Pl N	1.3 mi	1,558	1977	9/11/2025	$470,000	$302
3	8788 Deeridge Pl Se	1.4 mi	1,185	1986	2/12/2026	$487,000	$411
4	5201 Se Delta Pl	1.4 mi	1,699	1994	9/18/2025	$719,000	$423

MEDIAN SALE PRICE	25TH PCTL $/SQFT	SUBJECT SQFT	MARKET VALUE
$487,000	$302	1,440	$434,403

Comparable sales within 1.5 miles, sold within the past 18 months. All transactions are arm's-length sales from public county records.

Comparable Properties Map

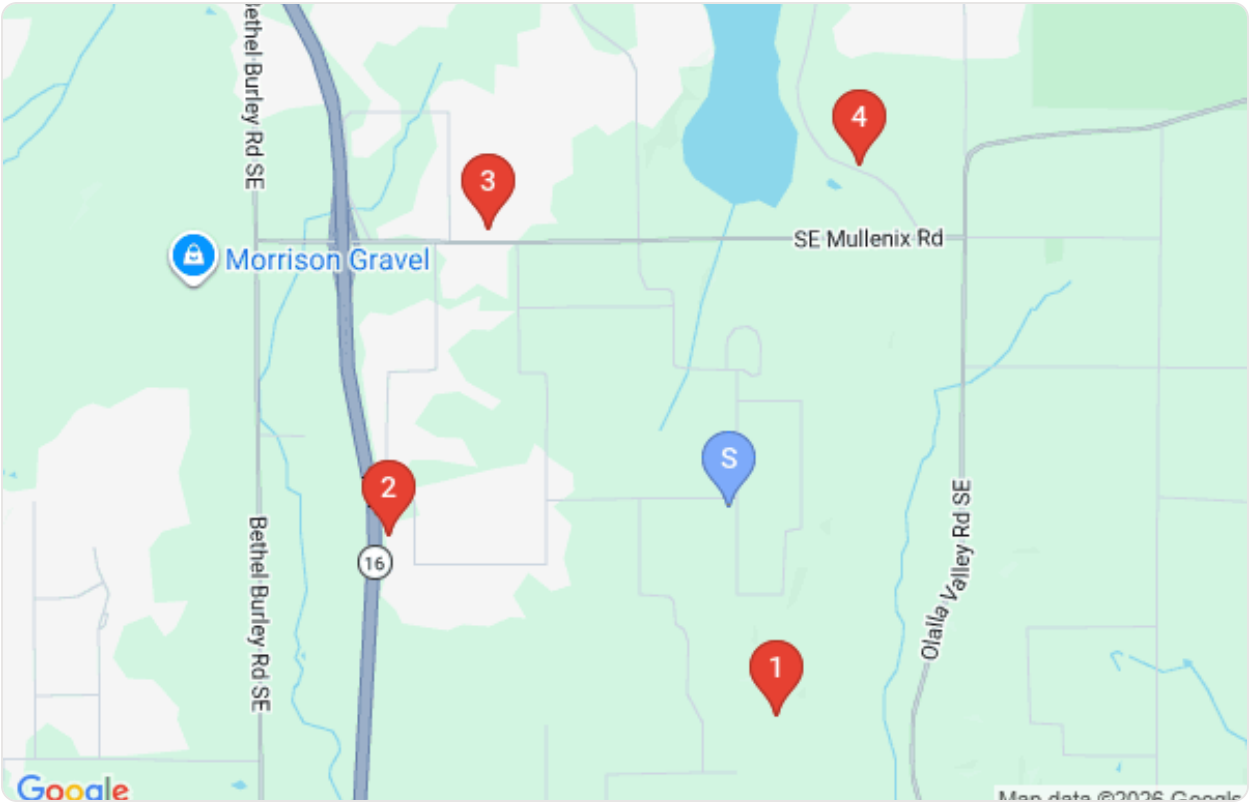

Subject property (blue pin) and comparable sales locations (red pins)

Comparable Property Details

1

SALE PRICE

$455,000

4752 Se Black Swan Ln

1,752 sqft · Built 1994 · 0.8 mi · Sold 12/21/2025 · $260/sqft

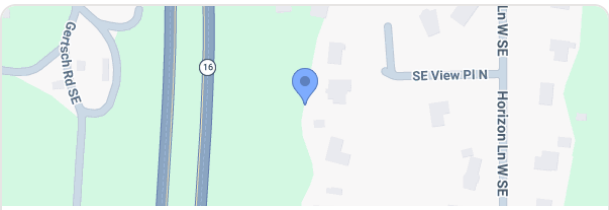

2

SALE PRICE

$470,000

10564 Se View Pl N

1,558 sqft · Built 1977 · 1.3 mi · Sold 9/11/2025 · $302/sqft



3

SALE PRICE

$487,000

8788 Deeridge Pl Se

1,185 sqft · Built 1986 · 1.4 mi · Sold 2/12/2026 · $411/sqft



4

SALE PRICE

$719,000

5201 Se Delta Pl

1,699 sqft · Built 1994 · 1.4 mi · Sold 9/18/2025 · $423/sqft