Property Tax Assessment Analysis

319 East Spring Street
Harrison County · March 6, 2026



319 East Spring Street

Cadiz, OH 43907 · Parcel: 05-0002272.000

Living Area	1,206 sqft	Lot Size	13,622 sqft
Bathrooms	2	Year Built	1984
Property Type	Residential		

Assessment Analysis

County Appraised Value	$94,940
Assessment Ratio (OH)	35%
Taxable Assessed Value	$33,229
Market Value (Comps)	$118,216
Underassessment	-$23,276

Note: The most recent assessment data available for this property is from 2024. Current assessment values may differ. We recommend verifying your assessment with your county assessor before filing.

Factors Considered in Our Analysis

The following factors were considered in our analysis of your property's value:

🚂 **Railroad**

1 railroad(s) within 1 mile: Conrail Shared Assets Operations

Source: Census TIGERweb, FEMA National Flood Hazard Layer, OpenStreetMap

Valuation Analysis

The subject property at 319 East Spring Street, Cadiz, OH 43907 is a 1,206 sq ft Residential constructed in 1984, situated on a 13,622 sq ft lot.

A search of recent residential sales within 0.5 miles identified 4 comparable properties sold within the past 6 months. These properties range from 1,036 to 1,120 sq ft. The median sale price per square foot among these comparables is $135.

Applying the 25th percentile sale price of $98 per square foot to the subject property's 1,206 sq ft yields a market value estimate of approximately $118,216.

The comparable sales used in this analysis are detailed in the table below. All properties are residential, sold within 6 months, and located within 0.5 miles of the subject property.

Additionally, environmental or locational factors affecting this property may further impact its market value.

Comparable Sales Analysis

#	ADDRESS	DISTANCE	SQFT	YEAR	SALE DATE	SALE PRICE	$/SQFT
S	**319 East Spring Street (Subject)**	**—**	**1,206**	**1984**	**—**	**—**	**—**
1	647 Kerr Ave	0.5 mi	1,112	1957	12/9/2025	$150,000	$135
2	207 Maplewood Dr	0.4 mi	1,120	1973	1/4/2026	$120,455	$108
3	254 S Buffalo St	0.3 mi	1,036	1953	1/13/2026	$155,000	$150
4	220 N Main St	0.2 mi	1,080	1945	10/6/2025	$75,000	$69

MEDIAN SALE PRICE	25TH PCTL $/SQFT	SUBJECT SQFT	MARKET VALUE
$150,000	$98	1,206	$118,216

Comparable sales within 0.5 miles, sold within the past 6 months. All transactions are arm's-length sales from public county records.

Comparable Properties Map

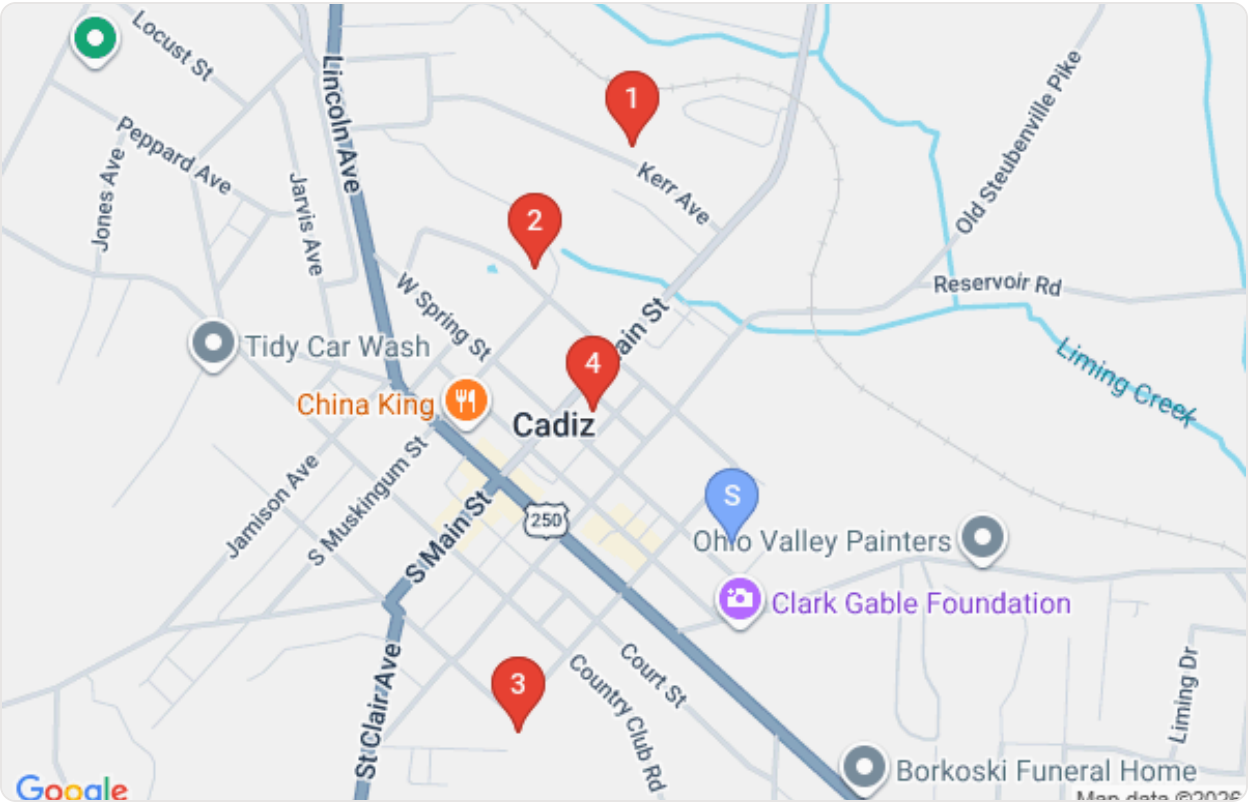

Subject property (blue pin) and comparable sales locations (red pins)

Comparable Property Details



1

SALE PRICE

$150,000

647 Kerr Ave

1,112 sqft · Built 1957 · 0.5 mi · Sold 12/9/2025 · $135/sqft

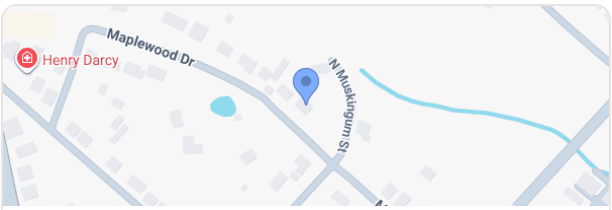

2

SALE PRICE

$120,455

207 Maplewood Dr

1,120 sqft · Built 1973 · 0.4 mi · Sold 1/4/2026 · $108/sqft

3

SALE PRICE

$155,000

254 S Buffalo St

1,036 sqft · Built 1953 · 0.3 mi · Sold 1/13/2026 · $150/sqft

4

SALE PRICE

$75,000

220 N Main St

1,080 sqft · Built 1945 · 0.2 mi · Sold 10/6/2025 · $69/sqft