Property Tax Assessment Analysis

3028 Bellavista Lane
Clark County · March 6, 2026

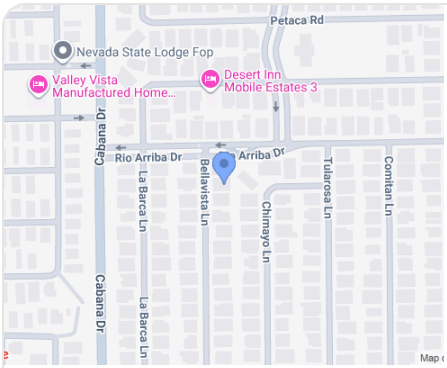

3028 Bellavista Lane

Las Vegas, NV 89122 · Parcel: 161-09-710-069

Living Area	1,440 sqft	Lot Size	5,227 sqft
Bedrooms	2	Bathrooms	2
Year Built	1986	Property Type	Residential

Assessment Analysis

County Appraised Value	$138,586
Assessment Ratio (NV)	35%
Taxable Assessed Value	$48,505
Market Value (Comps)	$143,571
Underassessment	-$4,985

Factors Considered in Our Analysis

The following factors were considered in our analysis of your property's value:

🏭 **Commercial/Industrial Zone**

2 commercial, 1 industrial, 18 retail zone(s) within 1 mile (incl. Winterwood Pavilion, Sahara - Nellis Center, Sun Peak Generating Station)

⚡ **Power Lines**

70 high-voltage transmission line(s) within 1 mile

Source: Census TIGERweb, FEMA National Flood Hazard Layer, OpenStreetMap

Valuation Analysis

The subject property at 3028 Bellavista Lane, Las Vegas, NV 89122 is a 1,440 sq ft Residential constructed in 1986, situated on a 5,227 sq ft lot.

A search of recent residential sales within 0.5 miles identified 9 comparable properties sold within the past 6 months. These properties range from 1,248 to 1,440 sq ft. The median sale price per square foot among these comparables is $175.

Applying the 25th percentile sale price of $100 per square foot to the subject property's 1,440 sq ft yields a market value estimate of approximately $143,571.

The comparable sales used in this analysis are detailed in the table below. All properties are residential, sold within 6 months, and located within 0.5 miles of the subject property.

Additionally, environmental or locational factors affecting this property may further impact its market value.

Comparable Sales Analysis

#	ADDRESS	DISTANCE	SQFT	YEAR	SALE DATE	SALE PRICE	$/SQFT
S	**3028 Bellavista Lane (Subject)**	**—**	**1,440**	**1986**	**—**	**—**	**—**
1	3076 Gavilan Ln	0.2 mi	1,440	1984	2/11/2026	$125,000	$87
2	5358 Tupelo Ln	0.4 mi	1,440	1979	2/22/2026	$115,000	$80

#	ADDRESS	DISTANCE	SQFT	YEAR	SALE DATE	SALE PRICE	$/SQFT
3	3117 Bellavista Ln	0.1 mi	1,344	1986	1/29/2026	$134,000	$100
4	5568 Aldama Rd	0.2 mi	1,344	1982	1/4/2026	$160,000	$119
5	3353 Katmai Dr	0.5 mi	1,432	1974	1/28/2026	$250,000	$175
6	3325 Isle Royale Dr	0.5 mi	1,248	1992	1/14/2026	$230,000	$184
7	3244 Bellavista Ln	0.3 mi	1,248	1986	1/7/2026	$241,500	$194
8	5512 Aldama Rd	0.2 mi	1,295	1986	1/29/2026	$255,000	$197
9	3202 Chimayo Ln	0.2 mi	1,248	1983	2/12/2026	$247,975	$199

MEDIAN SALE PRICE	25TH PCTL $/SQFT	SUBJECT SQFT	MARKET VALUE
$230,000	**$100**	**1,440**	**$143,571**

Comparable sales within 0.5 miles, sold within the past 6 months. All transactions are arm's-length sales from public county records.

Comparable Properties Map

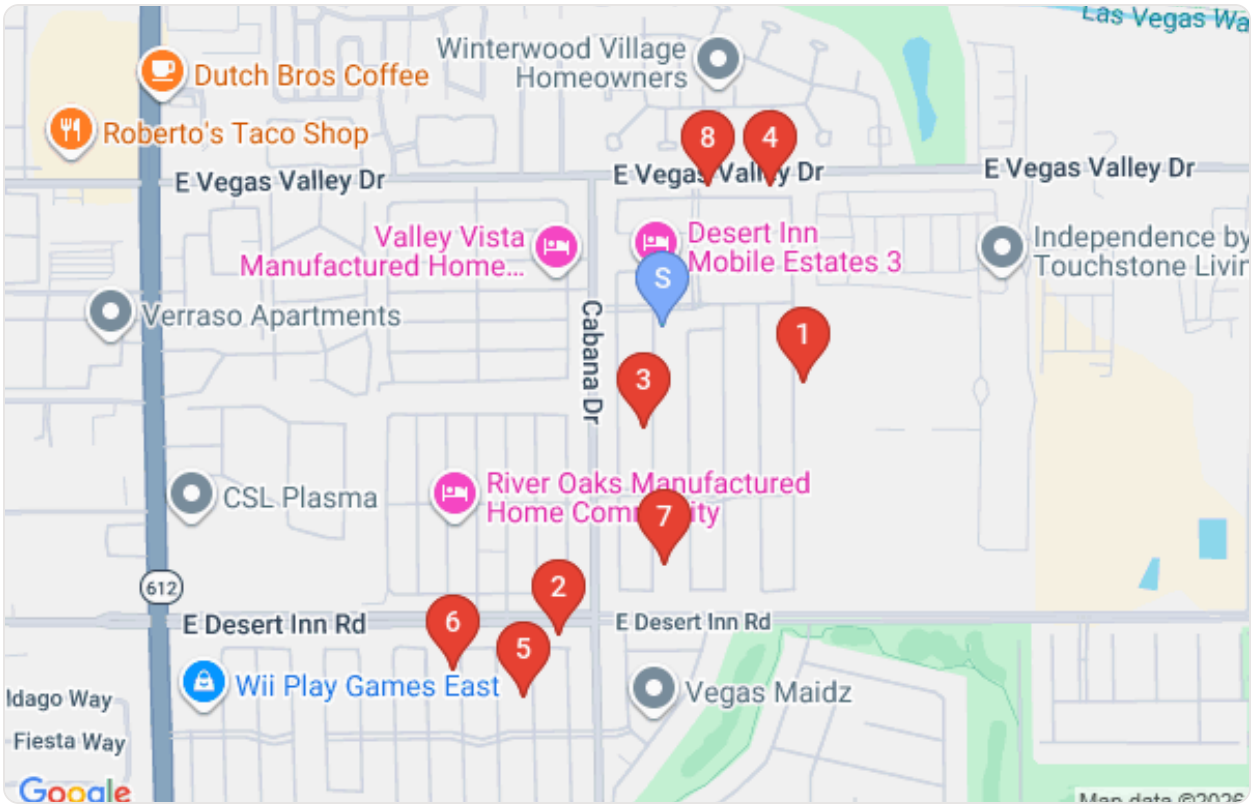

Subject property (blue pin) and comparable sales locations (red pins)

Comparable Property Details

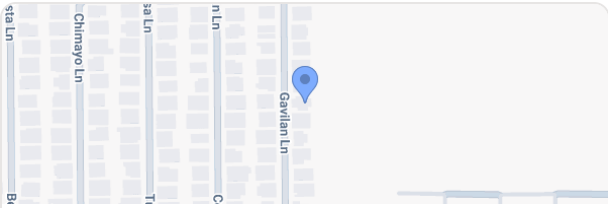

1

SALE PRICE

$125,000

3076 Gavilan Ln

1,440 sqft · Built 1984 · 0.2 mi · Sold 2/11/2026 · $87/sqft

2

SALE PRICE

$115,000

5358 Tupelo Ln

1,440 sqft · Built 1979 · 0.4 mi · Sold 2/22/2026 · $80/sqft

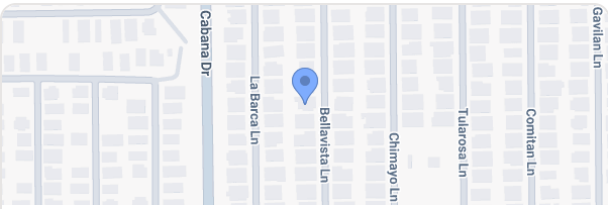

3

SALE PRICE

$134,000

3117 Bellavista Ln

1,344 sqft · Built 1986 · 0.1 mi · Sold 1/29/2026 · $100/sqft

4

SALE PRICE

$160,000

5568 Aldama Rd

1,344 sqft · Built 1982 · 0.2 mi · Sold 1/4/2026 · $119/sqft

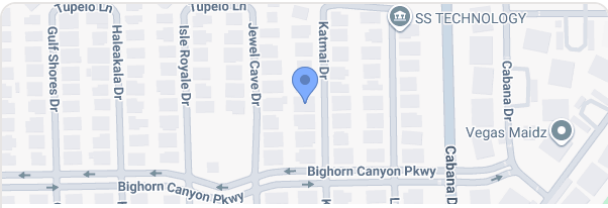

5

SALE PRICE

$250,000

3353 Katmai Dr

1,432 sqft · Built 1974 · 0.5 mi · Sold 1/28/2026 · $175/sqft

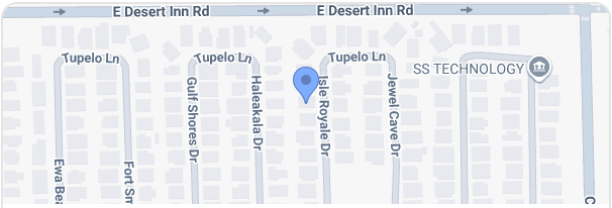

6

SALE PRICE

$230,000

3325 Isle Royale Dr

1,248 sqft · Built 1992 · 0.5 mi · Sold 1/14/2026 · $184/sqft

7

SALE PRICE

$241,500

3244 Bellavista Ln

1,248 sqft · Built 1986 · 0.3 mi · Sold 1/7/2026 · $194/sqft

8

SALE PRICE

$255,000

5512 Aldama Rd

1,295 sqft · Built 1986 · 0.2 mi · Sold 1/29/2026 · $197/sqft

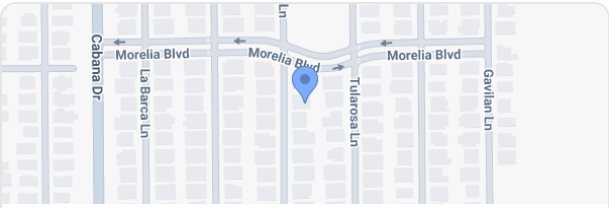

9

SALE PRICE

$247,975

3202 Chimayo Ln

1,248 sqft · Built 1983 · 0.2 mi · Sold 2/12/2026 · $199/sqft