Property Tax Assessment Analysis

4231 Blagden Avenue Northwest
District Of Columbia · March 6, 2026



4231 Blagden Avenue Northwest

Washington, DC 20011 · Parcel: 2642 0074

Living Area	2,028 sqft	Lot Size	14,273 sqft
Bedrooms	3	Bathrooms	3
Year Built	1965	Property Type	Residential

Assessment Analysis

County Appraised Value	$1,329,290
Market Value (Comps)	$993,584
Overassessment	**$335,706**

Environmental & Locational Factors

The following factors were detected within 1 mile of the subject property and may support a lower assessment:

🏭 **Commercial/Industrial Zone**

8 commercial, 1 industrial, 28 retail zone(s) within 1 mile (incl. Panda Plaza, Rock Creek Park Maintenance Yard)

Source: Census TIGERweb, FEMA National Flood Hazard Layer, OpenStreetMap

Valuation Analysis

The subject property at 4231 Blagden Avenue Northwest, Washington, DC 20011 is a 2,028 sq ft Residential constructed in 1965, situated on a 14,273 sq ft lot.

A search of recent residential sales within 5 miles identified 14 comparable properties sold within the past 24 months. These properties range from 1,656 to 2,750 sq ft. The median sale price per square foot among these comparables is $673. Note: An expanded search radius was used due to limited comparable sales in the immediate area.

Applying the 25th percentile sale price of $490 per square foot to the subject property's 2,028 sq ft yields a market value estimate of approximately $993,584. The county's current appraised value of $1,329,290 exceeds this estimate by $335,706 (25.3%). At an effective tax rate of 1.65%, this overassessment represents approximately $5,539 in excess annual property taxes.

The comparable sales used in this analysis are detailed in the table below. All properties are residential, sold within 24 months, and located within 5 miles of the subject property.

Additionally, environmental or locational factors affecting this property may further impact its market value. These factors are detailed in the Filing Guide included with this packet.

Comparable Sales Analysis

#	ADDRESS	DISTANCE	SQFT	YEAR	SALE DATE	SALE PRICE	$/SQFT
S	**4231 Blagden Avenue Northwest (Subject)**	**—**	**2,028**	**1965**	**—**	**—**	**—**
1	3524 WILLIAMSBURG LN NW	—	2,014	—	12/3/2025	$1,895,000	$941
2	1816 TAYLOR ST NW	—	2,135	—	9/10/2025	$1,000,000	$468
3	4601 BLAGDEN AVE NW	—	1,682	—	11/19/2025	$1,200,000	$713
4	4633 BLAGDEN AVE NW	—	2,412	—	9/16/2025	$1,075,000	$446
5	4122 16TH ST NW	—	2,445	—	9/11/2025	$900,000	$368
6	1715 CRESTWOOD DR NW	—	2,552	—	5/13/2025	$1,475,000	$578
7	1724 TAYLOR ST NW	—	2,437	—	12/29/2025	$1,665,000	$683
8	2603 KLINGLE RD NW	—	2,556	—	7/8/2025	$1,750,000	$685

#	ADDRESS	DISTANCE	SQFT	YEAR	SALE DATE	SALE PRICE	$/SQFT
9	4600 BLAGDEN TER NW	—	1,656	—	7/30/2025	$1,500,000	$906
10	1751 CRESTWOOD DR NW	—	2,750	—	8/10/2025	$1,850,000	$673
11	1406 INGRAHAM ST NW	—	2,235	—	7/21/2025	$1,095,000	$490
12	1312 GALLATIN ST NW	—	2,240	—	12/15/2025	$1,535,000	$685
13	1402 EMERSON ST NW	—	2,009	—	11/9/2025	$1,350,000	$672
14	4504 BLAGDEN AVE NW	—	2,376	—	11/14/2024	$1,525,000	$642

MEDIAN SALE PRICE	25TH PCTL $/SQFT	SUBJECT SQFT	MARKET VALUE
$1,500,000	**$490**	**2,028**	**$993,584**

Comparable sales within 5 miles, sold within the past 24 months. All transactions are arm's-length sales from public county records.

Comparable Properties Map

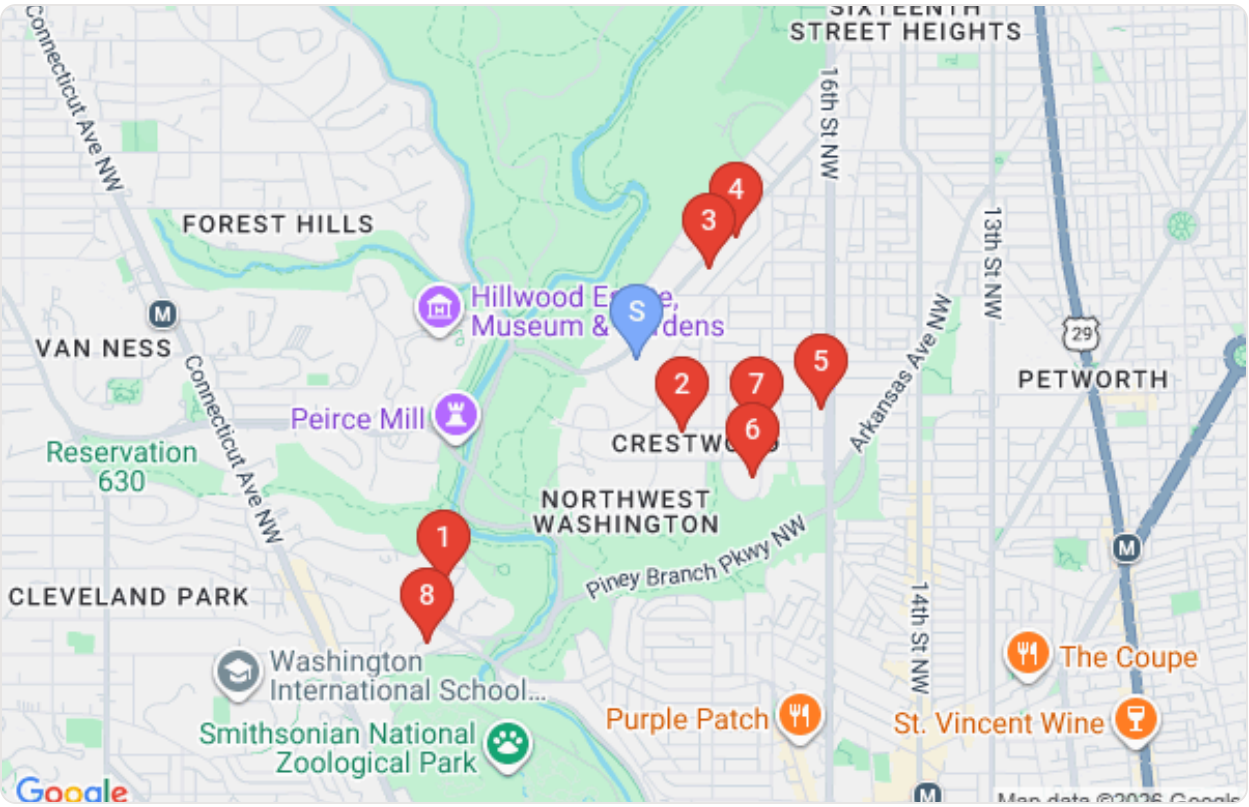

Subject property (blue pin) and comparable sales locations (red pins)

Comparable Property Details



1

SALE PRICE
$1,895,000

3524 WILLIAMSBURG LN NW

2,014 sqft · Sold 12/3/2025 · $941/sqft



2

SALE PRICE
$1,000,000

1816 TAYLOR ST NW

2,135 sqft · Sold 9/10/2025 · $468/sqft

3

SALE PRICE
$1,200,000

4601 BLAGDEN AVE NW

1,682 sqft · Sold 11/19/2025 · $713/sqft

4

SALE PRICE
$1,075,000

4633 BLAGDEN AVE NW

2,412 sqft · Sold 9/16/2025 · $446/sqft

5

SALE PRICE
$900,000

4122 16TH ST NW

2,445 sqft · Sold 9/11/2025 · $368/sqft

6

SALE PRICE
$1,475,000

1715 CRESTWOOD DR NW

2,552 sqft · Sold 5/13/2025 · $578/sqft

7

SALE PRICE
$1,665,000

1724 TAYLOR ST NW

2,437 sqft · Sold 12/29/2025 · $683/sqft

8

SALE PRICE
$1,750,000

2603 KLINGLE RD NW

2,556 sqft · Sold 7/8/2025 · $685/sqft



9

SALE PRICE

$1,500,000

4600 BLAGDEN TER NW

1,656 sqft · Sold 7/30/2025 · $906/sqft

10

SALE PRICE

$1,850,000

1751 CRESTWOOD DR NW

2,750 sqft · Sold 8/10/2025 · $673/sqft

11

SALE PRICE

$1,095,000

1406 INGRAHAM ST NW

2,235 sqft · Sold 7/21/2025 · $490/sqft

12

SALE PRICE

$1,535,000

1312 GALLATIN ST NW

2,240 sqft · Sold 12/15/2025 · $685/sqft



13

SALE PRICE

$1,350,000

1402 EMERSON ST NW

2,009 sqft · Sold 11/9/2025 · $672/sqft



14

SALE PRICE

$1,525,000

4504 BLAGDEN AVE NW

2,376 sqft · Sold 11/14/2024 · $642/sqft