Property Tax Assessment Analysis

66 Bingley Terrace
Providence County · March 6, 2026



66 Bingley Terrace

Johnston, RI 02919 · Parcel: JOHN M:0003 L:398

Living Area	1,154 sqft	Lot Size	2,610 sqft
Bedrooms	3	Bathrooms	1
Year Built	1900	Property Type	Residential

Assessment Analysis

County Assessed Value (capped)	$212,100
County Market Value	$347,000
Market Value (Comps)	$310,215
Overassessment	$36,785

Valuation Analysis

The subject property at 66 Bingley Terrace, Johnston, RI 02919 is a 1,154 sq ft Residential constructed in 1900, situated on a 2,610 sq ft lot.

A search of recent residential sales within 0.2 miles identified 15 comparable properties sold within the past 24 months. These properties range from 1,008 to 1,514 sq ft. The median sale price per square foot among these comparables is $322. Note: An expanded search radius was used due to limited comparable sales in the immediate area.

Applying the 25th percentile sale price of $269 per square foot to the subject property's 1,154 sq ft yields a market value estimate of approximately $310,215. The county's current market value of $347,000 exceeds this estimate by $36,785 (10.6%). At an effective tax rate of 0.95%, this overassessment represents approximately $351 in excess annual property taxes.

The comparable sales used in this analysis are detailed in the table below. All properties are residential, sold within 24 months, and located within 0.2 miles of the subject property.

Comparable Sales Analysis

#	ADDRESS	DISTANCE	SQFT	YEAR	SALE DATE	SALE PRICE	$/SQFT
S	**66 Bingley Terrace (Subject)**	**—**	**1,154**	**1900**	**—**	**—**	**—**
1	50 TACOMA ST	—	1,085	—	1/4/2026	$453,000	$418
2	85 ROCKWOOD AVE	—	1,378	—	12/11/2025	$300,000	$218
3	1476 PLAINFIELD PIKE	—	1,236	—	11/12/2025	$350,000	$283
4	141 CLARK AVE	—	1,008	—	10/14/2025	$325,000	$322
5	91 CURRY RD	—	1,144	—	12/11/2025	$437,500	$382
6	1440 PLAINFIELD PIKE	—	1,056	—	11/26/2024	$313,000	$296
7	41 YEOMAN AVE	—	1,045	—	12/10/2025	$497,000	$476
8	44 VALENTE DR	—	1,259	—	12/4/2025	$335,000	$266
9	3 LUTHER ST	—	1,208	—	8/14/2025	$449,000	$372
10	125 ROCKWOOD AVE	—	1,205	—	9/1/2025	$410,000	$340

#	ADDRESS	DISTANCE	SQFT	YEAR	SALE DATE	SALE PRICE	$/SQFT
11	12 TACOMA ST	—	1,488	—	4/15/2025	$400,000	$269
12	3 COOLIDGE ST	—	1,514	—	5/4/2025	$282,000	$186
13	43 ROYAL AVE	—	1,104	—	9/16/2025	$400,000	$362
14	71 WOODLAND AVE	—	1,344	—	10/23/2025	$425,000	$316
15	29 TACOMA ST	—	1,104	—	8/17/2025	$439,000	$398

MEDIAN SALE PRICE	25TH PCTL $/SQFT	SUBJECT SQFT	MARKET VALUE
$400,000	**$269**	**1,154**	**$310,215**

Comparable sales within 0.2 miles, sold within the past 24 months. All transactions are arm's-length sales from public county records.

Comparable Properties Map

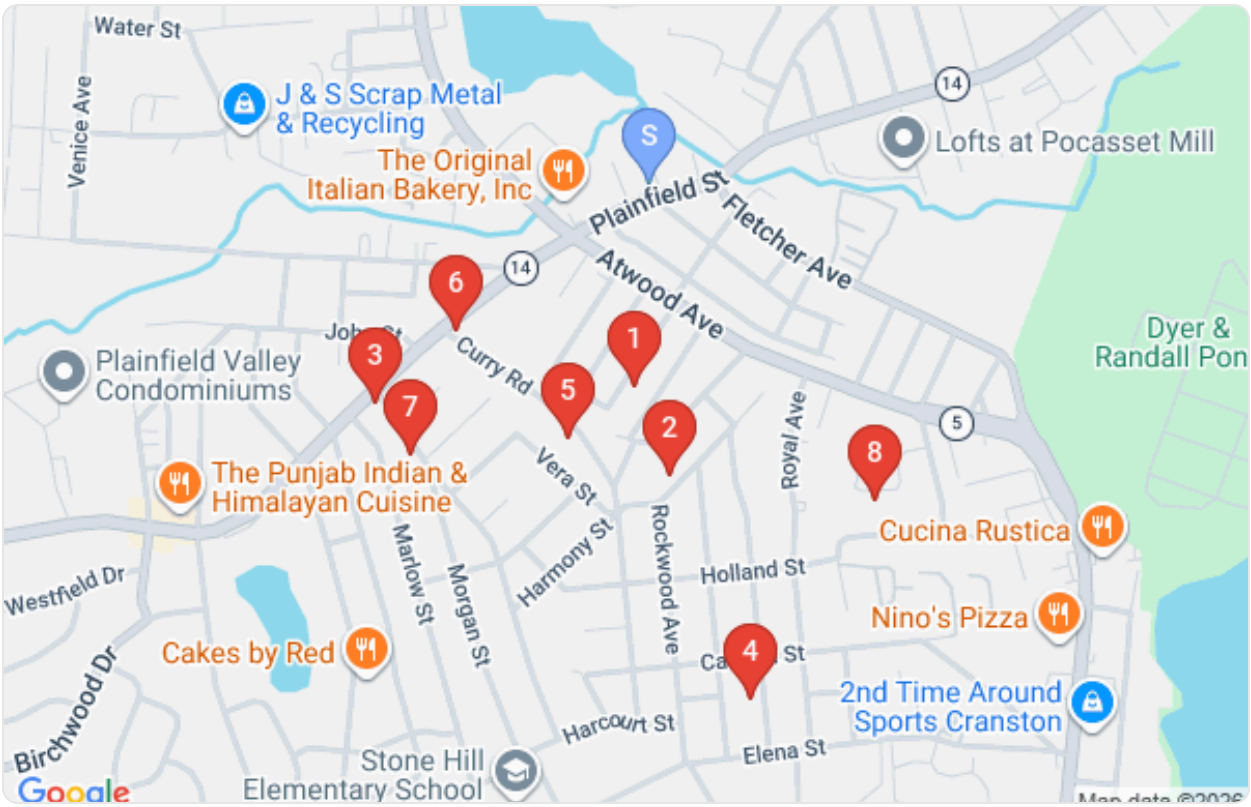

Subject property (blue pin) and comparable sales locations (red pins)

Comparable Property Details

1

SALE PRICE
$453,000

50 TACOMA ST

1,085 sqft · Sold 1/4/2026 · $418/sqft

2

SALE PRICE
$300,000

85 ROCKWOOD AVE

1,378 sqft · Sold 12/11/2025 · $218/sqft

3

SALE PRICE
$350,000

1476 PLAINFIELD PIKE

1,236 sqft · Sold 11/12/2025 · $283/sqft

4

SALE PRICE
$325,000

141 CLARK AVE

1,008 sqft · Sold 10/14/2025 · $322/sqft

5

SALE PRICE
$437,500

91 CURRY RD

1,144 sqft · Sold 12/11/2025 · $382/sqft

6

SALE PRICE
$313,000

1440 PLAINFIELD PIKE

1,056 sqft · Sold 11/26/2024 · $296/sqft

7

SALE PRICE
$497,000

41 YEOMAN AVE

1,045 sqft · Sold 12/10/2025 · $476/sqft

8

SALE PRICE
$335,000

44 VALENTE DR

1,259 sqft · Sold 12/4/2025 · $266/sqft

9

SALE PRICE
$449,000

3 LUTHER ST

1,208 sqft · Sold 8/14/2025 · $372/sqft

10

SALE PRICE
$410,000

125 ROCKWOOD AVE

1,205 sqft · Sold 9/1/2025 · $340/sqft

11

SALE PRICE
$400,000

12 TACOMA ST

1,488 sqft · Sold 4/15/2025 · $269/sqft

12

SALE PRICE
$282,000

3 COOLIDGE ST

1,514 sqft · Sold 5/4/2025 · $186/sqft

13

SALE PRICE
$400,000

43 ROYAL AVE

1,104 sqft · Sold 9/16/2025 · $362/sqft



14

SALE PRICE
$425,000

71 WOODLAND AVE

1,344 sqft · Sold 10/23/2025 · $316/sqft

15

SALE PRICE
$439,000

29 TACOMA ST

1,104 sqft · Sold 8/17/2025 · $398/sqft