Property Tax Assessment Analysis

161 Polk Street
Power County · March 6, 2026



161 Polk Street

American Falls, ID 83211 · Parcel: RPA0869-00

Living Area	**1,508 sqft**	Lot Size	**6,791 sqft**
Bedrooms	**3**	Year Built	**1969**
Property Type	**Residential**		

Assessment Analysis

County Assessed Value (capped)	**$128,414**
County Market Value	**$253,414**
Market Value (Comps)	**$314,375**
Underassessment	**-$60,961**

Factors Considered in Our Analysis

The following factors were considered in our analysis of your property's value:

🛣️ **Major Highway**
2 major highway(s) within 1 mile: I-86, US Hwy 30

🚂 **Railroad**
1 railroad(s) within 1 mile: Union Pacific RR

Source: Census TIGERweb, FEMA National Flood Hazard Layer, OpenStreetMap

Valuation Analysis

The subject property at 161 Polk Street, American Falls, ID 83211 is a 1,508 sq ft Residential constructed in 1969, situated on a 6,791 sq ft lot.

A search of recent residential sales within 0.7 miles identified 5 comparable properties sold within the past 24 months. These properties range from 1,144 to 1,732 sq ft. The median estimated value per square foot among these comparables is $217. Note: An expanded search radius was used due to limited comparable sales in the immediate area.

Applying the 25th percentile price of $208 per square foot to the subject property's 1,508 sq ft yields a market value estimate of approximately $314,375.

The comparable properties used in this analysis are detailed in the table below. All properties are residential, sold within 24 months, and located within 0.7 miles of the subject property.

Note: ID does not publicly disclose sale prices. Comparable values shown are estimated market values derived from property and market data.

Additionally, environmental or locational factors affecting this property may further impact its market value.

Comparable Property Analysis

#	ADDRESS	DISTANCE	SQFT	YEAR	SALE DATE	EST. MARKET VALUE	$/SQFT
S	**161 Polk Street (Subject)**	**—**	**1,508**	**1969**	**—**	**—**	**—**
1	247 Grant St	0.4 mi	1,511	1945	11/24/2025	$315,000	$208
2	190 Bannock Ave	0.7 mi	1,144	1975	2/3/2026	$335,000	$293
3	609 CALDER AVE	—	1,732	—	11/23/2025	$375,000	$217
4	650 HIGHLAND ST	—	1,333	—	9/28/2025	$358,000	$269
5	730 HUTCHINSON AVE	—	1,680	—	10/10/2024	$327,500	$195

MEDIAN EST. VALUE	25TH PCTL $/SQFT	SUBJECT SQFT	MARKET VALUE
$335,000	$208	1,508	$314,375

Comparable properties within 0.7 miles, sold within the past 24 months. Values shown are estimated market values — ID does not publicly disclose sale prices.

Comparable Properties Map

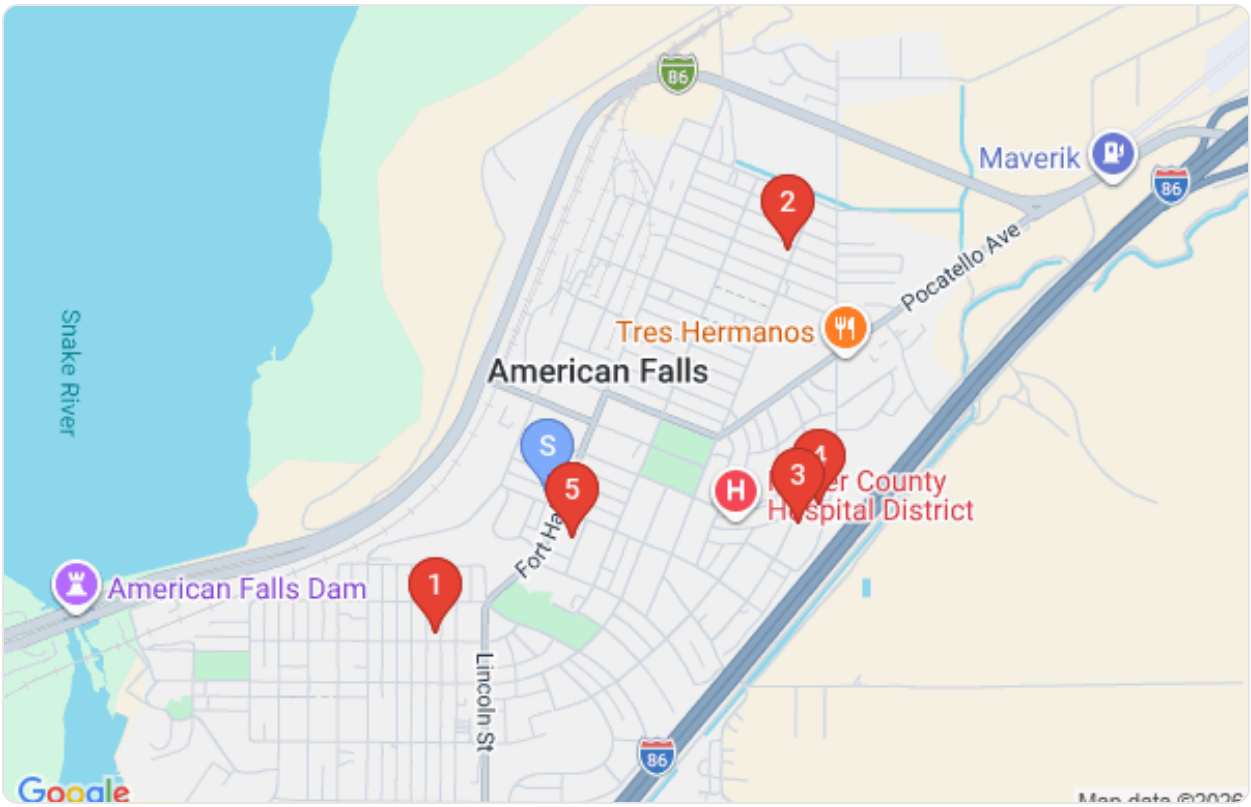

Subject property (blue pin) and comparable property locations (red pins)

Comparable Property Details

1

EST. MARKET VALUE

$315,000

247 Grant St

1,511 sqft · Built 1945 · 0.4 mi · Sold 11/24/2025 · $208/sqft



2

EST. MARKET VALUE

$335,000

190 Bannock Ave

1,144 sqft · Built 1975 · 0.7 mi · Sold 2/3/2026 · $293/sqft

3

EST. MARKET VALUE

$375,000

609 CALDER AVE

1,732 sqft · Sold 11/23/2025 · $217/sqft

4

EST. MARKET VALUE

$358,000

650 HIGHLAND ST

1,333 sqft · Sold 9/28/2025 · $269/sqft

5

EST. MARKET VALUE

$327,500

730 HUTCHINSON AVE

1,680 sqft · Sold 10/10/2024 · $195/sqft