Property Tax Assessment Analysis

379 2nd Avenue South
Gooding County · March 6, 2026



379 2nd Avenue South

Hagerman, ID 83332 · Parcel: H3000053011A

Living Area	1,456 sqft	Lot Size	9,383 sqft
Bedrooms	4	Bathrooms	2
Year Built	1982	Property Type	Residential

Assessment Analysis

County Appraised Value	$209,863
Market Value (Comps)	$326,886
Underassessment	-$117,023

Valuation Analysis

The subject property at 379 2nd Avenue South, Hagerman, ID 83332 is a 1,456 sq ft Residential constructed in 1982, situated on a 9,383 sq ft lot.

A search of recent residential sales within 0.2 miles identified 13 comparable properties sold within the past 24 months. These properties range from 732 to 1,724 sq ft. The median estimated value per square foot among these comparables is $272. Note: An expanded search radius was used due to limited comparable sales in the immediate area.

Applying the 25th percentile price of $225 per square foot to the subject property's 1,456 sq ft yields a market value estimate of approximately $326,886.

The comparable properties used in this analysis are detailed in the table below. All properties are residential, sold within 24 months, and located within 0.2 miles of the subject property.

Note: ID does not publicly disclose sale prices. Comparable values shown are estimated market values derived from property and market data.

Comparable Property Analysis

#	ADDRESS	DISTANCE	SQFT	YEAR	SALE DATE	SALE PRICE*	$/SQFT
S	**379 2nd Avenue South (Subject)**	**—**	**1,456**	**1982**	**—**	**—**	**—**
1	261 NORTH ST W	—	1,288	—	10/9/2025	$350,000	$272
2	231 E REED ST	—	732	—	9/3/2025	$108,000	$148
3	131 QUICK SILVER AVE	—	1,566	—	1/26/2025	$299,000	$191
4	2706 NORTHVIEW DR	—	1,724	—	5/5/2025	$415,000	$241
5	2736 NORTHVIEW DR	—	1,176	—	3/24/2025	$321,000	$273
6	181 E MAIN ST	—	1,242	—	2/27/2025	$345,000	$278
7	330 HAGERMAN AVE E	—	1,000	—	10/14/2024	$275,000	$275
8	350 E ORCHARD ST	—	1,024	—	1/29/2025	$175,000	$171
9	2734 NORTHVIEW DR	—	1,297	—	9/18/2024	$369,500	$285
10	560 N STATE ST	—	1,020	—	7/30/2025	$229,000	$225

#	ADDRESS	DISTANCE	SQFT	YEAR	SALE DATE	SALE PRICE*	$/SQFT
11	544 VALLEY CIRCLE RD	—	1,555	—	6/6/2024	$520,000	$334
12	354 ASPEN DR	—	1,708	—	6/19/2025	$495,000	$290
13	2732 S 850 E	—	1,262	—	5/9/2024	$342,500	$271

MEDIAN PRICE	25TH PCTL $/SQFT	SUBJECT SQFT	MARKET VALUE
$342,500	**$225**	**1,456**	**$326,886**

*Comparable sales within 0.2 miles, sold within the past 24 months. All transactions are arm's-length sales from public county records. *Estimated market value — actual sale price not publicly disclosed in this state.*

Comparable Properties Map

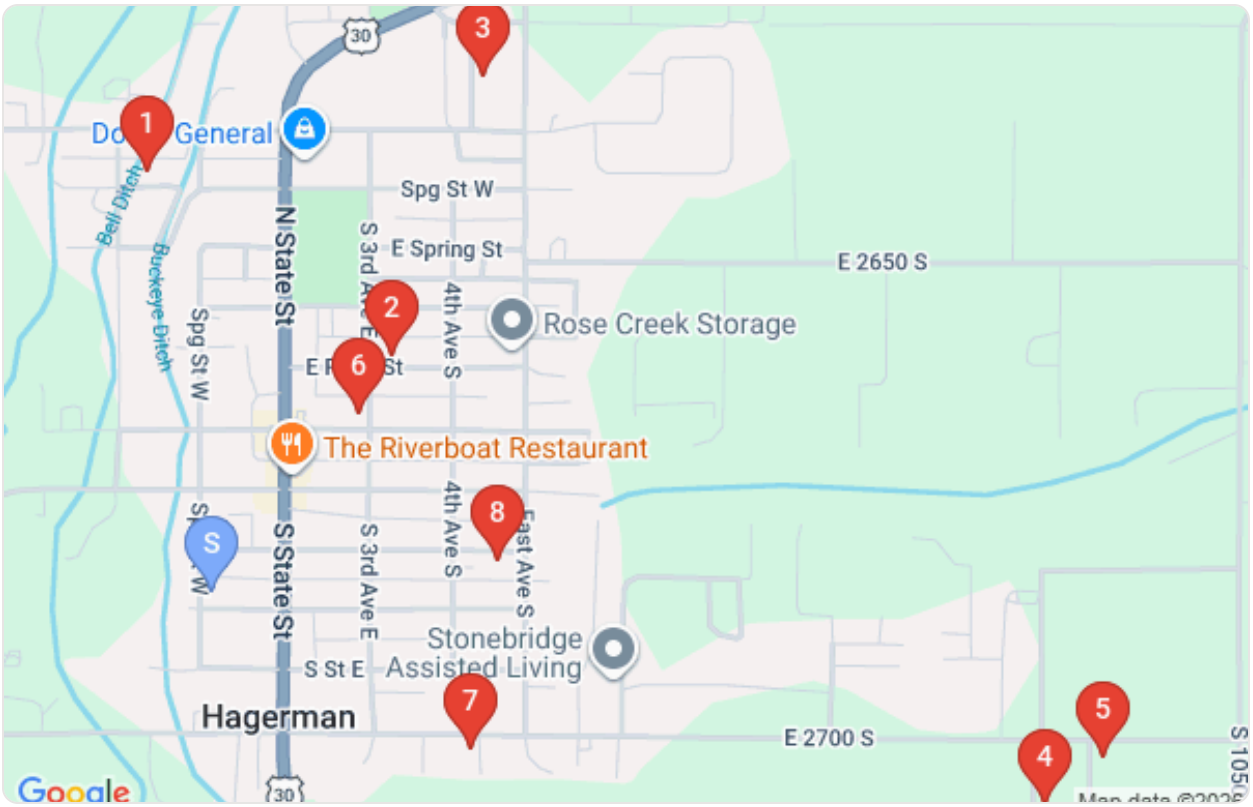

Subject property (blue pin) and comparable property locations (red pins)

Comparable Property Details

1

EST. MARKET VALUE

$350,000

261 NORTH ST W

1,288 sqft · Sold 10/9/2025 · $272/sqft

2

SALE PRICE

$108,000

231 E REED ST

732 sqft · Sold 9/3/2025 · $148/sqft

3

EST. MARKET VALUE

$299,000

131 QUICK SILVER AVE

1,566 sqft · Sold 1/26/2025 · $191/sqft

4

EST. MARKET VALUE

$415,000

2706 NORTHVIEW DR

1,724 sqft · Sold 5/5/2025 · $241/sqft

5

EST. MARKET VALUE

$321,000

2736 NORTHVIEW DR

1,176 sqft · Sold 3/24/2025 · $273/sqft

6

EST. MARKET VALUE

$345,000

181 E MAIN ST

1,242 sqft · Sold 2/27/2025 · $278/sqft

7

EST. MARKET VALUE

$275,000

330 HAGERMAN AVE E

1,000 sqft · Sold 10/14/2024 · $275/sqft



8

EST. MARKET VALUE

$175,000

350 E ORCHARD ST

1,024 sqft · Sold 1/29/2025 · $171/sqft

9

EST. MARKET VALUE

$369,500

2734 NORTHVIEW DR

1,297 sqft · Sold 9/18/2024 · $285/sqft

10

EST. MARKET VALUE

$229,000

560 N STATE ST

1,020 sqft · Sold 7/30/2025 · $225/sqft

11

EST. MARKET VALUE

$520,000

544 VALLEY CIRCLE RD

1,555 sqft · Sold 6/6/2024 · $334/sqft

12

EST. MARKET VALUE

$495,000

354 ASPEN DR

1,708 sqft · Sold 6/19/2025 · $290/sqft



13

EST. MARKET VALUE

$342,500

2732 S 850 E

1,262 sqft · Sold 5/9/2024 · $271/sqft