Property Tax Assessment Analysis

132 Sandoval Ln
St. Johns County · March 7, 2026

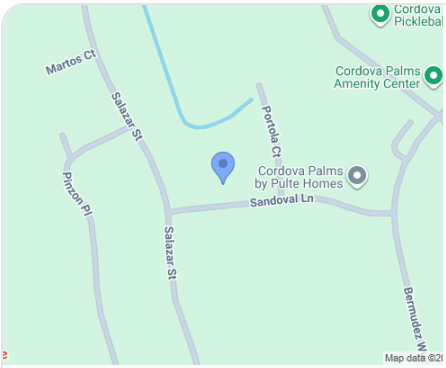

132 Sandoval Ln

St. Augustine, FL 32095 · Parcel: 072571 3740

Living Area	**3,454 sqft**	Lot Size	**6,534 sqft**
Bedrooms	**5**	Bathrooms	**4.5**
Year Built	**2024**	Property Type	**Residential**

Assessment Analysis

County Appraised Value	**$528,921**
Market Value (Comps)	**$608,391**
Underassessment	**-$79,470**

Factors Considered in Our Analysis

The following factors were considered in our analysis of your property's value:

🚂 **Railroad**
1 railroad(s) within 1 mile: Florida East Coast Rlwy

⚡ **Power Lines**
7 high-voltage transmission line(s) within 1 mile

Source: Census TIGERweb, FEMA National Flood Hazard Layer, OpenStreetMap

Valuation Analysis

The subject property at 132 Sandoval Ln, St. Augustine, FL 32095 is a 3,454 sq ft Residential constructed in 2024, situated on a 6,534 sq ft lot.

A search of recent residential sales within 1.5 miles identified 7 comparable properties sold within the past 18 months. These properties range from 2,495 to 3,598 sq ft. The median sale price per square foot among these comparables is $184. Note: An expanded search radius was used due to limited comparable sales in the immediate area.

Applying the 25th percentile sale price of $176 per square foot to the subject property's 3,454 sq ft yields a market value estimate of approximately $608,391.

The comparable sales used in this analysis are detailed in the table below. All properties are residential, sold within 18 months, and located within 1.5 miles of the subject property.

Additionally, environmental or locational factors affecting this property may further impact its market value.

Comparable Sales Analysis

#	ADDRESS	DISTANCE	SQFT	YEAR	SALE DATE	SALE PRICE	$/SQFT
S	**132 Sandoval Ln (Subject)**	**—**	**3,454**	**2024**	**—**	**—**	**—**
1	807 Cordova Palms Pkwy	0.4 mi	2,498	2025	2/24/2026	$440,000	$176
2	208 Salazar St	0.0 mi	2,758	2025	11/20/2025	$469,990	$170
3	38 Martos Ct	0.2 mi	2,495	2025	12/1/2025	$455,000	$182
4	129 Historic Brick Ln	1.3 mi	3,129	2016	11/14/2025	$730,000	$233
5	225 History Pl	1.4 mi	3,166	2015	11/14/2025	$845,000	$267
6	143 Istoria Dr	1.4 mi	3,598	2013	11/26/2025	$1,180,000	$328
7	410 Salazar St	0.2 mi	2,495	2025	12/2/2025	$460,000	$184

MEDIAN SALE PRICE	25TH PCTL $/SQFT	SUBJECT SQFT	MARKET VALUE
$469,990	**$176**	**3,454**	**$608,391**

Comparable sales within 1.5 miles, sold within the past 18 months. All transactions are arm's-length sales from public county records.

Comparable Properties Map

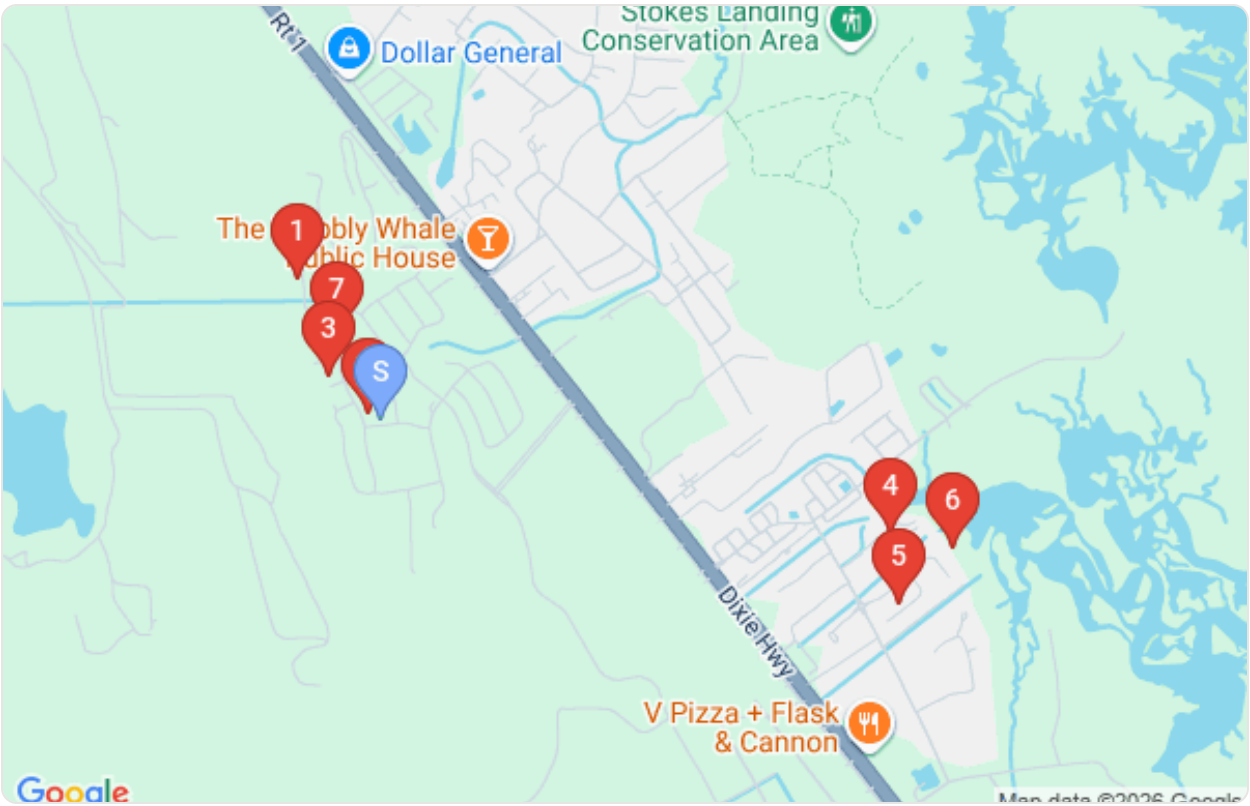

Subject property (blue pin) and comparable sales locations (red pins)

Comparable Property Details

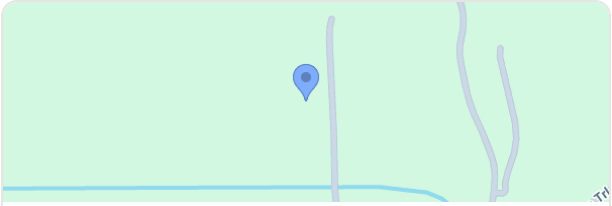

1

SALE PRICE

$440,000

807 Cordova Palms Pkwy

2,498 sqft · Built 2025 · 0.4 mi · Sold 2/24/2026 · $176/sqft

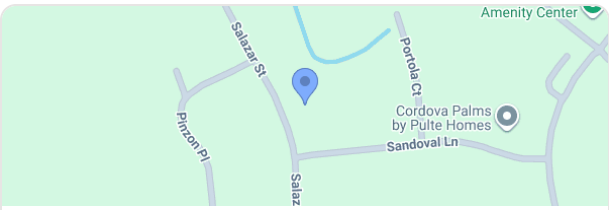

2

SALE PRICE

$469,990

208 Salazar St

2,758 sqft · Built 2025 · 0.0 mi · Sold 11/20/2025 · $170/sqft

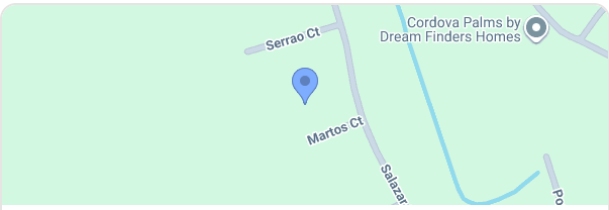

3

SALE PRICE

$455,000

38 Martos Ct

2,495 sqft · Built 2025 · 0.2 mi · Sold 12/1/2025 · $182/sqft

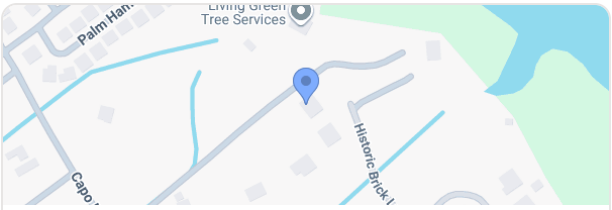

4

SALE PRICE

$730,000

129 Historic Brick Ln

3,129 sqft · Built 2016 · 1.3 mi · Sold 11/14/2025 · $233/sqft

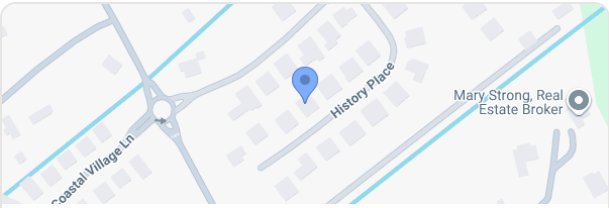

5

SALE PRICE

$845,000

225 History Pl

3,166 sqft · Built 2015 · 1.4 mi · Sold 11/14/2025 · $267/sqft

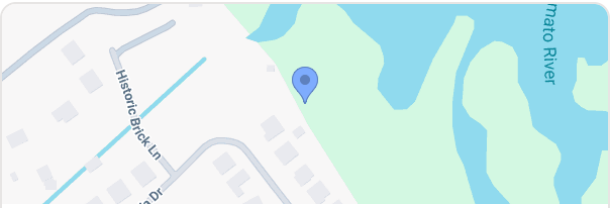

6

SALE PRICE

$1,180,000

143 Istoria Dr

3,598 sqft · Built 2013 · 1.4 mi · Sold 11/26/2025 · $328/sqft

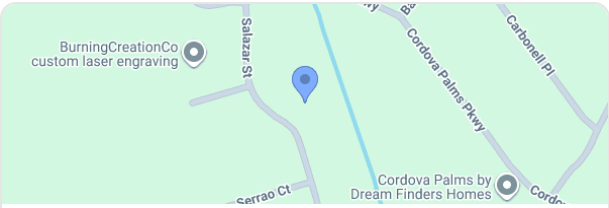

7

SALE PRICE

$460,000

410 Salazar St

2,495 sqft · Built 2025 · 0.2 mi · Sold 12/2/2025 · $184/sqft