Property Tax Assessment Analysis

49843 En Circle
Kenai Peninsula Borough · March 5, 2026

49843 En Circle

Kenai, AK 99611 · Parcel: 014-290-04

Living Area	2,340 sqft	Lot Size	1.15 acres
Bedrooms	3	Bathrooms	2
Year Built	1985	Property Type	Residential

Assessment Analysis

County Appraised Value	$310,200
Market Value (Comps)	$323,976
Underassessment	-$13,776

Valuation Analysis

The subject property at 49843 En Circle, Kenai, AK 99611 is a 2,340 sq ft Residential constructed in 1985, situated on a 1.15-acre lot.

A search of recent residential sales within 5 miles identified 12 comparable properties sold within the past 24 months. These properties range from 1,224 to 2,996 sq ft. The median estimated value per square foot among these comparables is $181. Note: An expanded search radius was used due to limited comparable sales in the immediate area.

Applying the 25th percentile price of $138 per square foot to the subject property's 2,340 sq ft yields a market value estimate of approximately $323,976.

The comparable properties used in this analysis are detailed in the table below. All properties are residential, sold within 24 months, and located within 5 miles of the subject property.

Note: AK does not publicly disclose sale prices. Comparable values shown are estimated market values derived from property and market data.

Comparable Property Analysis

#	ADDRESS	DISTANCE	SQFT	YEAR	SALE DATE	SALE PRICE*	$/SQFT
S	**49843 En Circle (Subject)**	**—**	**2,340**	**1985**	**—**	**—**	**—**
1	52620 WINWOOD CT	—	1,596	—	9/9/2025	$179,423	$112
2	51103 HOLT LAMPLIGHT RD	—	1,224	—	10/24/2025	$225,000	$184
3	52730 LAKE VIEW DR	—	1,694	—	10/31/2025	$435,000	$257
4	52899 KINGERY RD	—	1,864	—	9/25/2025	$255,000	$137
5	53225 VILLAGE AVE	—	1,524	—	9/26/2025	$211,000	$138
6	48604 CLEGHORN CIR	—	1,685	—	5/15/2025	$176,500	$105
7	46090 FIREWEED PL	—	2,227	—	12/2/2025	$350,000	$157
8	53315 FOLEY DR	—	2,352	—	5/22/2025	$425,000	$181
9	52700 LAKE VIEW DR	—	2,054	—	7/3/2024	$415,000	$202
10	53890 ALEXANDER RD	—	2,016	—	8/5/2025	$450,000	$223

#	ADDRESS	DISTANCE	SQFT	YEAR	SALE DATE	SALE PRICE*	$/SQFT
11	46070 FIREWEED PL	—	2,996	—	7/14/2025	$429,000	$143
12	48400 MCKENZIE ST	—	2,150	—	7/18/2024	$418,000	$194

MEDIAN PRICE	25TH PCTL $/SQFT	SUBJECT SQFT	MARKET VALUE
$415,000	**$138**	**2,340**	**$323,976**

*Comparable sales within 5 miles, sold within the past 24 months. All transactions are arm's-length sales from public county records. *Estimated market value — actual sale price not publicly disclosed in this state.*

Comparable Properties Map

Subject property (blue pin) and comparable property locations (red pins)

Comparable Property Details

1

SALE PRICE

$179,423

52620 WINWOOD CT

1,596 sqft · Sold 9/9/2025 · $112/sqft

2

SALE PRICE

$225,000

51103 HOLT LAMPLIGHT RD

1,224 sqft · Sold 10/24/2025 · $184/sqft

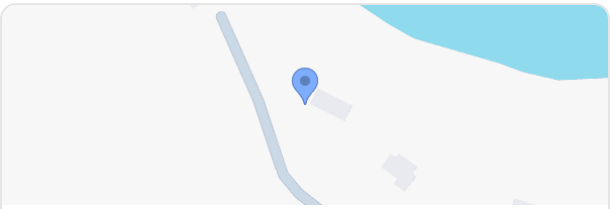

3

EST. MARKET VALUE

$435,000

52730 LAKE VIEW DR

1,694 sqft · Sold 10/31/2025 · $257/sqft

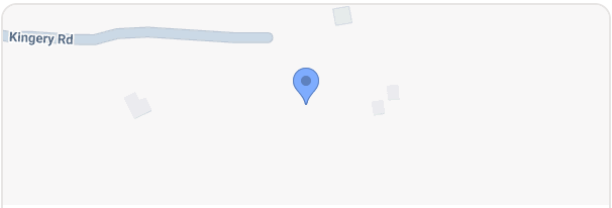

4

EST. MARKET VALUE

$255,000

52899 KINGERY RD

1,864 sqft · Sold 9/25/2025 · $137/sqft

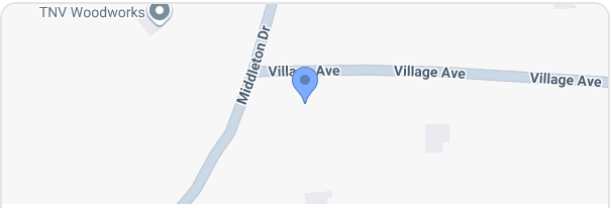

5

EST. MARKET VALUE

$211,000

53225 VILLAGE AVE

1,524 sqft · Sold 9/26/2025 · $138/sqft

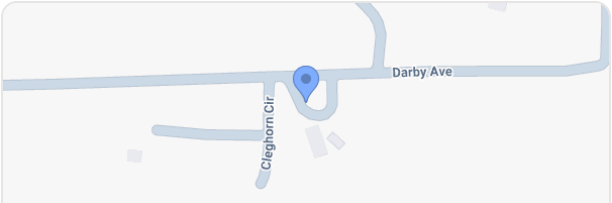

6

EST. MARKET VALUE

$176,500

48604 CLEGHORN CIR

1,685 sqft · Sold 5/15/2025 · $105/sqft

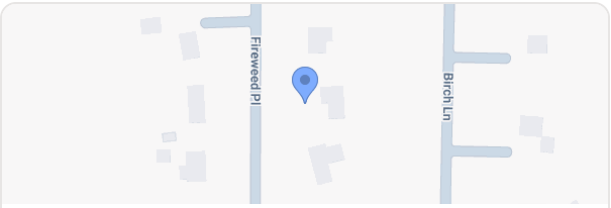

7

EST. MARKET VALUE

$350,000

46090 FIREWEED PL

2,227 sqft · Sold 12/2/2025 · $157/sqft



8

EST. MARKET VALUE

$425,000

53315 FOLEY DR

2,352 sqft · Sold 5/22/2025 · $181/sqft

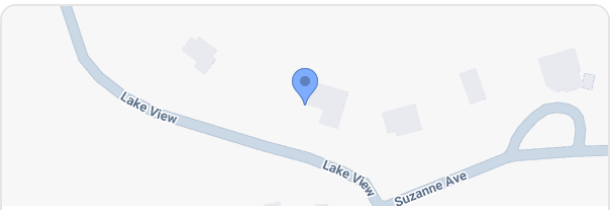

9

EST. MARKET VALUE

$415,000

52700 LAKE VIEW DR

2,054 sqft · Sold 7/3/2024 · $202/sqft

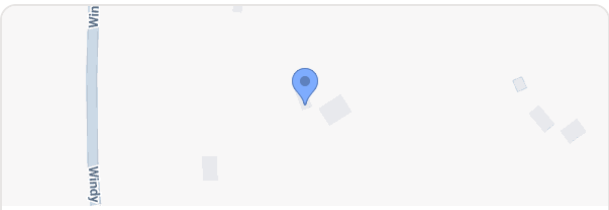

10

EST. MARKET VALUE

$450,000

53890 ALEXANDER RD

2,016 sqft · Sold 8/5/2025 · $223/sqft

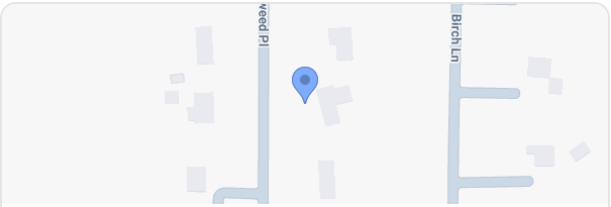

11

EST. MARKET VALUE

$429,000

46070 FIREWEED PL

2,996 sqft · Sold 7/14/2025 · $143/sqft

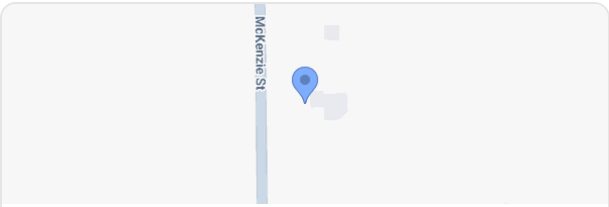

12

EST. MARKET VALUE

$418,000

48400 MCKENZIE ST

2,150 sqft · Sold 7/18/2024 · $194/sqft