Property Tax Assessment Analysis

236 Cody Creek Drive
Baxter County · March 5, 2026

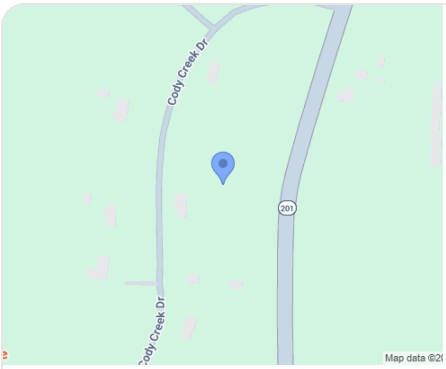

236 Cody Creek Drive

Mountain Home, AR 72653 · Parcel: 002-03040-000

Living Area	3,087 sqft	Lot Size	9,879 sqft
Bedrooms	4	Bathrooms	2
Year Built	2008	Property Type	Residential

Assessment Analysis

County Appraised Value	$355,750
Assessment Ratio (AR)	20%
Taxable Assessed Value	$71,150
Market Value (Comps)	$423,706
Underassessment	-$67,956

Valuation Analysis

The subject property at 236 Cody Creek Drive, Mountain Home, AR 72653 is a 3,087 sq ft Residential constructed in 2008, situated on a 9,879 sq ft lot.

A search of recent residential sales within 0.7 miles identified 15 comparable properties sold within the past 24 months. These properties range from 1,568 to 2,939 sq ft. The median sale price per square foot among these comparables is $173. Note: An expanded search radius was used due to limited comparable sales in the immediate area.

Applying the 25th percentile sale price of $137 per square foot to the subject property's 3,087 sq ft yields a market value estimate of approximately $423,706.

The comparable sales used in this analysis are detailed in the table below. All properties are residential, sold within 24 months, and located within 0.7 miles of the subject property.

Comparable Sales Analysis

#	ADDRESS	DISTANCE	SQFT	YEAR	SALE DATE	SALE PRICE	$/SQFT
S	**236 Cody Creek Drive (Subject)**	**—**	**3,087**	**2008**	**—**	**—**	**—**
1	19 Ole Hickory Ln	0.2 mi	2,022	—	10/1/2025	$175,000	$87
2	1788 County Road 604	0.7 mi	1,952	1997	9/29/2025	$511,000	$262
3	842 MILITARY DR	—	2,148	—	12/4/2025	$450,000	$209
4	65 WINDANCER CIR	—	2,179	—	8/5/2025	$482,000	$221
5	3654 OLD MILITARY RD	—	1,664	—	6/25/2025	$289,000	$174
6	68 HIDDEN VALLEY DR	—	1,904	—	10/6/2025	$365,000	$192
7	139 ROUND UP LN	—	2,277	—	5/29/2025	$390,000	$171
8	279 COUNTY ROAD 57	—	1,980	—	9/22/2025	$190,000	$96
9	187 FLINTRIDGE PL	—	2,939	—	9/26/2024	$367,000	$125
10	102 HERITAGE RD	—	2,894	—	7/8/2024	$499,900	$173
11	6285 HIGHWAY 201 S	—	1,568	—	9/5/2025	$270,000	$172

#	ADDRESS	DISTANCE	SQFT	YEAR	SALE DATE	SALE PRICE	$/SQFT
12	381 CODY CREEK DR	—	2,805	—	3/11/2024	$385,000	$137
13	241 COUNTY ROAD 612	—	2,346	—	10/3/2024	$359,900	$153
14	45 RIVIERA CT	—	2,255	—	6/16/2025	$430,000	$191
15	548 PLAINS DR	—	2,200	—	12/4/2024	$550,000	$250

MEDIAN SALE PRICE	25TH PCTL $/SQFT	SUBJECT SQFT	MARKET VALUE
$385,000	**$137**	**3,087**	**$423,706**

Comparable sales within 0.7 miles, sold within the past 24 months. All transactions are arm's-length sales from public county records.

Comparable Properties Map

Subject property (blue pin) and comparable sales locations (red pins)

Comparable Property Details

1

SALE PRICE
$175,000

19 Ole Hickory Ln

2,022 sqft · 0.2 mi · Sold 10/1/2025 · $87/sqft

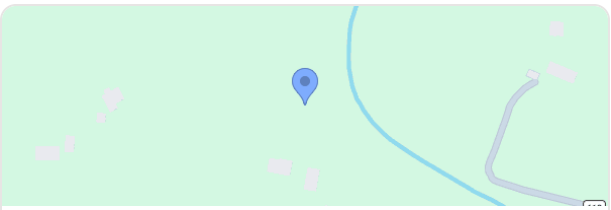

2

SALE PRICE
$511,000

1788 County Road 604

1,952 sqft · Built 1997 · 0.7 mi · Sold 9/29/2025 · $262/sqft



3

SALE PRICE
$450,000

842 MILITARY DR

2,148 sqft · Sold 12/4/2025 · $209/sqft

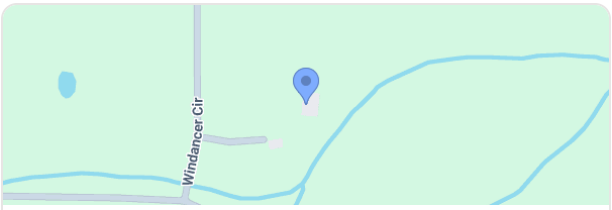

4

SALE PRICE
$482,000

65 WINDANCER CIR

2,179 sqft · Sold 8/5/2025 · $221/sqft

5

SALE PRICE
$289,000

3654 OLD MILITARY RD

1,664 sqft · Sold 6/25/2025 · $174/sqft

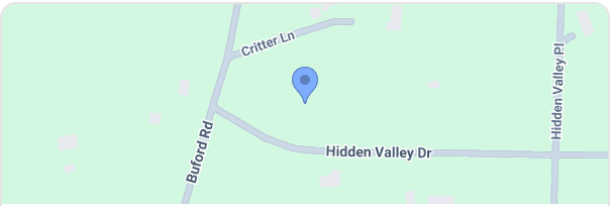

6

SALE PRICE
$365,000

68 HIDDEN VALLEY DR

1,904 sqft · Sold 10/6/2025 · $192/sqft

7

SALE PRICE
$390,000

139 ROUND UP LN

2,277 sqft · Sold 5/29/2025 · $171/sqft

8

SALE PRICE
$190,000

279 COUNTY ROAD 57

1,980 sqft · Sold 9/22/2025 · $96/sqft

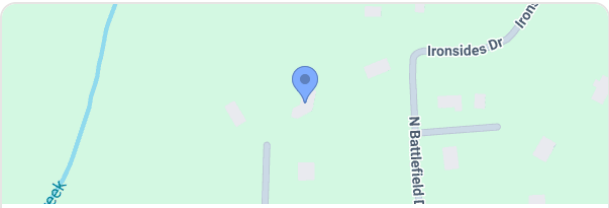

9

SALE PRICE
$367,000

187 FLINTRIDGE PL

2,939 sqft · Sold 9/26/2024 · $125/sqft

10

SALE PRICE
$499,900

102 HERITAGE RD

2,894 sqft · Sold 7/8/2024 · $173/sqft

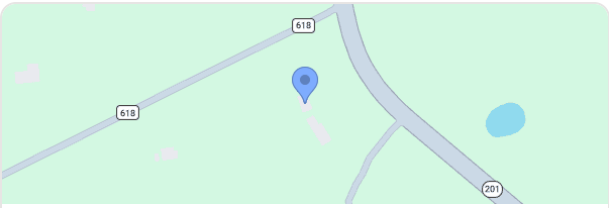

11

SALE PRICE
$270,000

6285 HIGHWAY 201 S

1,568 sqft · Sold 9/5/2025 · $172/sqft

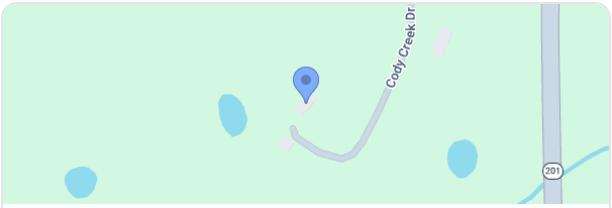

12

SALE PRICE
$385,000

381 CODY CREEK DR

2,805 sqft · Sold 3/11/2024 · $137/sqft

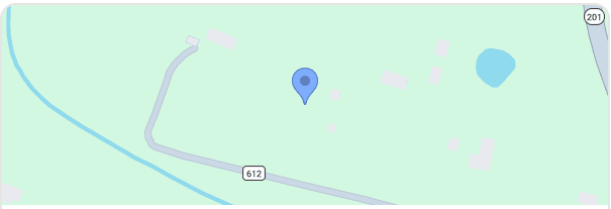

13

SALE PRICE
$359,900

241 COUNTY ROAD 612

2,346 sqft · Sold 10/3/2024 · $153/sqft

14

SALE PRICE
$430,000

45 RIVIERA CT

2,255 sqft · Sold 6/16/2025 · $191/sqft



15

SALE PRICE
$550,000

548 PLAINS DR

2,200 sqft · Sold 12/4/2024 · $250/sqft