Property Tax Assessment Analysis

13 Sheridan Street Northwest
District Of Columbia · March 5, 2026



13 Sheridan Street Northwest

Washington, DC 20011 · Parcel: 3371 0042

Living Area	1,088 sqft	Lot Size	2,558 sqft
Bedrooms	3	Bathrooms	1
Year Built	1949	Property Type	Residential

Assessment Analysis

County Appraised Value	$491,150
Market Value (Comps)	$486,234
Overassessment	$4,916

Factors Considered in Our Analysis

The following factors were considered in our analysis of your property's value:

🚂 **Railroad**
1 railroad(s) within 1 mile: Csx Transportation

🏭 **Commercial/Industrial Zone**
33 commercial, 28 retail zone(s) within 1 mile (incl. Takoma Center)

Source: Census TIGERweb, FEMA National Flood Hazard Layer, OpenStreetMap

Valuation Analysis

The subject property at 13 Sheridan Street Northwest, Washington, DC 20011 is a 1,088 sq ft Residential constructed in 1949, situated on a 2,558 sq ft lot.

A search of recent residential sales within 0.9 miles identified 3 comparable properties sold within the past 12 months. These properties range from 1,002 to 1,152 sq ft. The median sale price per square foot among these comparables is $530. Note: An expanded search radius was used due to limited comparable sales in the immediate area.

Applying the 25th percentile sale price of $447 per square foot to the subject property's 1,088 sq ft yields a market value estimate of approximately $486,234. The county's current appraised value of $491,150 exceeds this estimate by $4,916 (1.0%). At an effective tax rate of 0.69%, this overassessment represents approximately $34 in excess annual property taxes.

The comparable sales used in this analysis are detailed in the table below. All properties are residential, sold within 12 months, and located within 0.9 miles of the subject property.

Additionally, environmental or locational factors affecting this property may further impact its market value.

Comparable Sales Analysis

#	ADDRESS	DISTANCE	SQFT	YEAR	SALE DATE	SALE PRICE	$/SQFT
S	**13 Sheridan Street Northwest (Subject)**	—	**1,088**	**1949**	—	—	—
1	210 Spring Ave	0.5 mi	1,152	1922	2/2/2026	$610,000	$530
2	6605 Gude Ave	0.6 mi	1,098	1938	2/4/2026	$400,000	$364
3	7402 Maple Ave	0.9 mi	1,002	1918	1/28/2026	$1,325,000	$1322

MEDIAN SALE PRICE	25TH PCTL $/SQFT	SUBJECT SQFT	MARKET VALUE
$610,000	$447	1,088	$486,234

Comparable sales within 0.9 miles, sold within the past 12 months. All transactions are arm's-length sales from public county records.

Comparable Properties Map

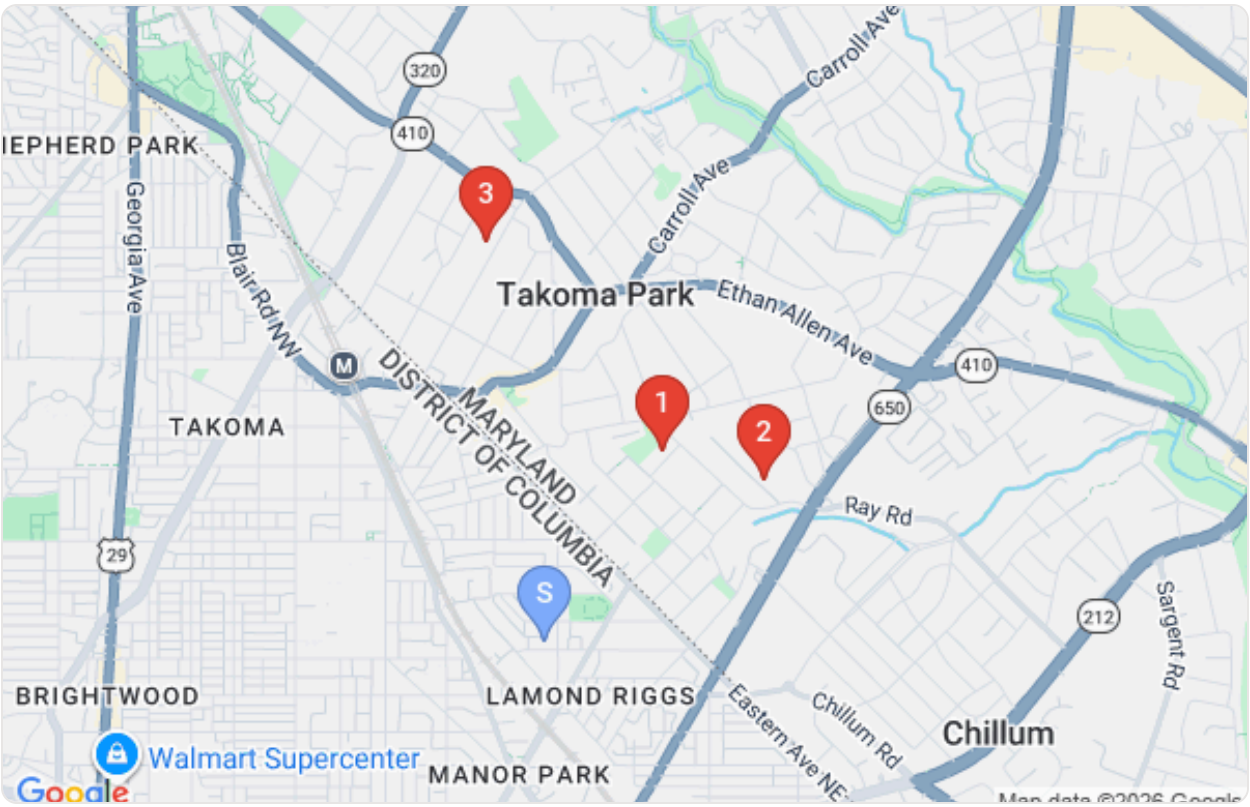

Subject property (blue pin) and comparable sales locations (red pins)

Comparable Property Details

1

SALE PRICE

$610,000

210 Spring Ave

1,152 sqft · Built 1922 · 0.5 mi · Sold 2/2/2026 · $530/sqft



2

SALE PRICE

$400,000

6605 Gude Ave

1,098 sqft · Built 1938 · 0.6 mi · Sold 2/4/2026 · $364/sqft



3

SALE PRICE

$1,325,000

7402 Maple Ave

1,002 sqft · Built 1918 · 0.9 mi · Sold 1/28/2026 · $1322/sqft