Property Tax Assessment Analysis

288 Granby Road
Lake County · March 6, 2026

288 Granby Road

Lake Forest, IL 60045 · Parcel: 12-28-314-011

Living Area	**698 sqft**	Lot Size	**4,251 sqft**
Bathrooms	**1**	Year Built	**1910**
Property Type	**Residential**		

Assessment Analysis

County Appraised Value	**$257,954**
Assessment Ratio (IL)	**33.3%**
Taxable Assessed Value	**$85,976**
Market Value (Comps)	**$247,334**
Overassessment	**$10,620**

Note: The most recent assessment data available for this property is from 2024. Current assessment values may differ. We recommend verifying your assessment with your county assessor before filing.

Environmental & Locational Factors

The following factors were detected within 1 mile of the subject property and may support a lower assessment:

🚂 **Railroad**

2 railroad(s) within 1 mile: Union Pacific RR, Chicago and North Western RR

🏭 **Commercial/Industrial Zone**

2 commercial zone(s) within 1 mile (incl. North Western Avenue Business District, Central Business District)

Source: Census TIGERweb, FEMA National Flood Hazard Layer, OpenStreetMap

Valuation Analysis

The subject property at 288 Granby Road, Lake Forest, IL 60045 is a 698 sq ft Residential constructed in 1910, situated on a 4,251 sq ft lot.

A search of recent residential sales within 1.4 miles identified 15 comparable properties sold within the past 24 months. These properties range from 1,335 to 9,926 sq ft. The median estimated value per square foot among these comparables is $416. Note: An expanded search radius was used due to limited comparable sales in the immediate area.

Applying the 25th percentile price of $354 per square foot to the subject property's 698 sq ft yields a market value estimate of approximately $247,334. The county's current appraised value of $257,954 exceeds this estimate by $10,620 (4.1%). At an effective tax rate of 1.93%, this overassessment represents approximately $205 in excess annual property taxes.

The comparable properties used in this analysis are detailed in the table below. All properties are residential, sold within 24 months, and located within 1.4 miles of the subject property.

Note: IL does not publicly disclose sale prices. Comparable values shown are estimated market values derived from property and market data.

Additionally, environmental or locational factors affecting this property may further impact its market value. These factors are detailed in the Filing Guide included with this packet.

Comparable Property Analysis

#	ADDRESS	DISTANCE	SQFT	YEAR	SALE DATE	SALE PRICE*	$/SQFT
S	**288 Granby Road (Subject)**	**—**	**698**	**1910**	**—**	**—**	**—**
1	869 N Mckinley Rd	0.1 mi	1,515	1910	12/2/2025	$550,000	$363
2	284 Granby Rd	0.0 mi	1,335	1924	12/2/2025	$602,500	$451
3	916 Oakwood Ave	0.2 mi	1,856	1910	1/2/2026	$650,000	$350
4	856 Oakwood Ave	0.2 mi	1,755	1914	12/22/2025	$990,000	$564
5	131 Moffett Rd	1.1 mi	6,072	1915	12/18/2025	$3,000,000	$494
6	765 N Sheridan Rd	0.4 mi	6,452	1923	12/30/2025	$3,225,000	$500
7	873 Summit Ave	0.2 mi	2,493	1923	11/20/2025	$1,220,000	$489
8	401 N Ahwahnee Rd	1.0 mi	9,926	1928	2/19/2026	$3,100,000	$312
9	40 S June Ter	1.2 mi	1,852	1927	1/22/2026	$640,000	$346
10	1525 N Sheridan Rd	0.8 mi	1,496	1941	12/8/2025	$795,000	$531
11	383 Washington Rd	0.8 mi	2,704	1921	12/1/2025	$1,275,000	$472
12	595 Crab Tree Ln	0.6 mi	4,727	1923	11/10/2025	$1,675,000	$354
13	223 Sylvan Rd	1.4 mi	2,464	1943	1/16/2026	$1,025,000	$416
14	362 Newman Ct	1.3 mi	1,746	1925	1/7/2026	$689,000	$395
15	354 Hirst Ct	1.3 mi	2,696	1937	12/11/2025	$1,080,000	$401

MEDIAN PRICE	25TH PCTL $/SQFT	SUBJECT SQFT	MARKET VALUE
$1,025,000	**$354**	**698**	**$247,334**

*Comparable sales within 1.4 miles, sold within the past 24 months. All transactions are arm's-length sales from public county records. *Estimated market value — actual sale price not publicly disclosed in this state.*

Comparable Properties Map

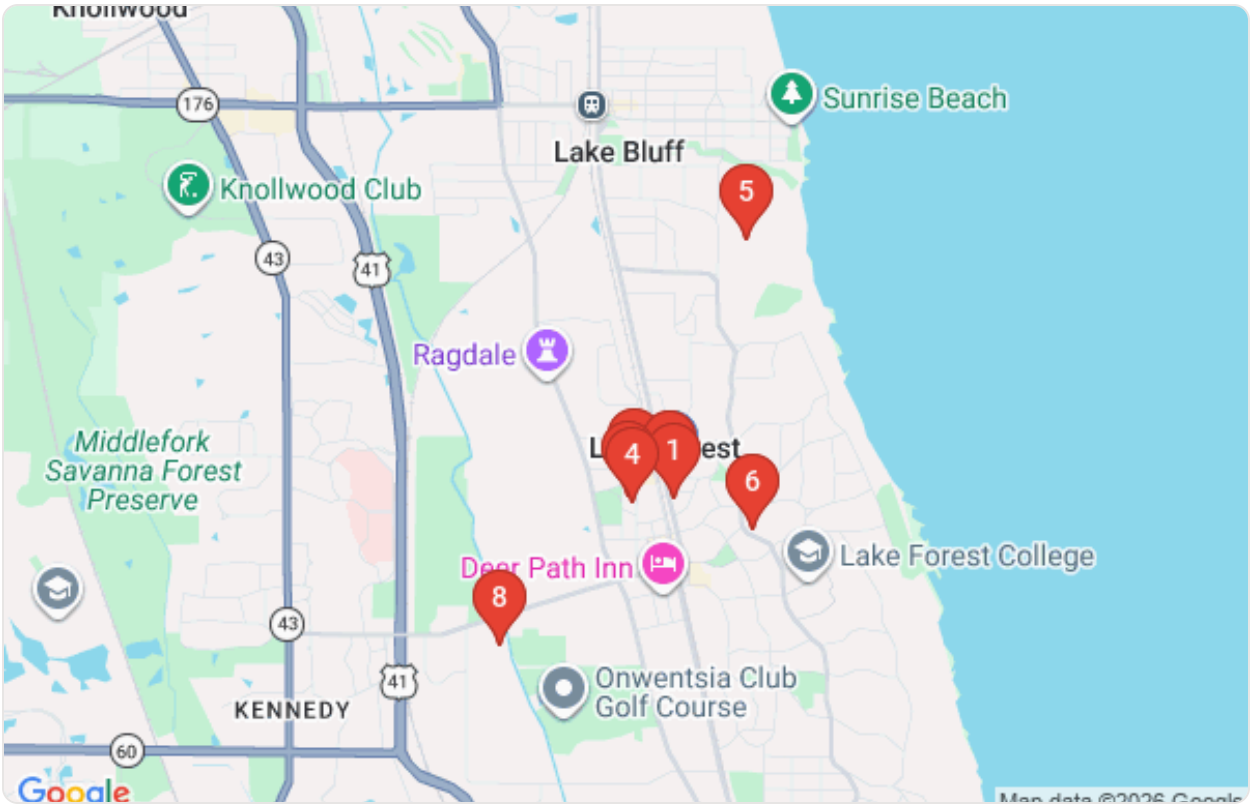

Subject property (blue pin) and comparable property locations (red pins)

Comparable Property Details

1

SALE PRICE

$550,000

869 N Mckinley Rd

1,515 sqft · Built 1910 · 0.1 mi · Sold 12/2/2025 · $363/sqft

2

SALE PRICE

$602,500

284 Granby Rd

1,335 sqft · Built 1924 · 0.0 mi · Sold 12/2/2025 · $451/sqft

3

SALE PRICE

$650,000

916 Oakwood Ave

1,856 sqft · Built 1910 · 0.2 mi · Sold 1/2/2026 · $350/sqft

4

SALE PRICE

$990,000

856 Oakwood Ave

1,755 sqft · Built 1914 · 0.2 mi · Sold 12/22/2025 · $564/sqft



5

SALE PRICE

$3,000,000

131 Moffett Rd

6,072 sqft · Built 1915 · 1.1 mi · Sold 12/18/2025 · $494/sqft

6

SALE PRICE

$3,225,000

765 N Sheridan Rd

6,452 sqft · Built 1923 · 0.4 mi · Sold 12/30/2025 · $500/sqft

SALE PRICE

7

$1,220,000

873 Summit Ave

2,493 sqft · Built 1923 · 0.2 mi · Sold 11/20/2025 · $489/sqft

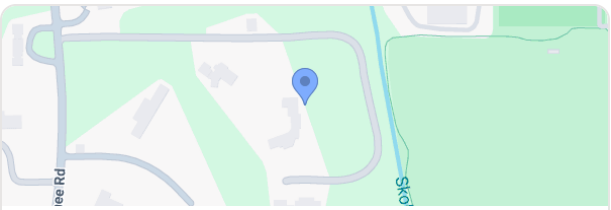

SALE PRICE

8

$3,100,000

401 N Ahwahnee Rd

9,926 sqft · Built 1928 · 1.0 mi · Sold 2/19/2026 · $312/sqft

EST. MARKET VALUE

9

$640,000

40 S June Ter

1,852 sqft · Built 1927 · 1.2 mi · Sold 1/22/2026 · $346/sqft

EST. MARKET VALUE

10

$795,000

1525 N Sheridan Rd

1,496 sqft · Built 1941 · 0.8 mi · Sold 12/8/2025 · $531/sqft

SALE PRICE

11

$1,275,000

383 Washington Rd

2,704 sqft · Built 1921 · 0.8 mi · Sold 12/1/2025 · $472/sqft



SALE PRICE

12

$1,675,000

595 Crab Tree Ln

4,727 sqft · Built 1923 · 0.6 mi · Sold 11/10/2025 · $354/sqft



SALE PRICE

13

$1,025,000

223 Sylvan Rd

2,464 sqft · Built 1943 · 1.4 mi · Sold 1/16/2026 · $416/sqft



SALE PRICE

14

$689,000

362 Newman Ct

1,746 sqft · Built 1925 · 1.3 mi · Sold 1/7/2026 · $395/sqft



15

SALE PRICE

$1,080,000

354 Hirst Ct

2,696 sqft · Built 1937 · 1.3 mi · Sold 12/11/2025 · $401/sqft