Property Tax Assessment Analysis

24 Browning Court
Douglas County · March 6, 2026

24 Browning Court

Eudora, KS 66025 · Parcel: 093-08-0-20-05-014.00-0 01

Living Area	**1,040 sqft**	Lot Size	**8,276 sqft**
Bedrooms	**3**	Bathrooms	**1**
Year Built	**1972**	Property Type	**Single Family Residence**

Assessment Analysis

County Appraised Value	**$207,200**
Assessment Ratio (KS)	**11.5%**
Taxable Assessed Value	**$23,828**
Market Value (Comps)	**$188,776**
Overassessment	**$18,424**

Note: The most recent assessment data available for this property is from 2024. Current assessment values may differ. We recommend verifying your assessment with your county assessor before filing.

Environmental & Locational Factors

The following factors were detected within 1 mile of the subject property and may support a lower assessment:

Major Highway
1 major highway(s) within 1 mile: State Hwy 10

Railroad
1 railroad(s) within 1 mile: Bnsf

Source: Census TIGERweb, FEMA National Flood Hazard Layer, OpenStreetMap

Valuation Analysis

The subject property at 24 Browning Court, Eudora, KS 66025 is a 1,040 sq ft Single Family Residence constructed in 1972, situated on a 8,276 sq ft lot.

A search of recent residential sales within 1.1 miles identified 9 comparable properties sold within the past 24 months. These properties range from 975 to 1,517 sq ft. The median estimated value per square foot among these comparables is $218. Note: An expanded search radius was used due to limited comparable sales in the immediate area.

Applying the 25th percentile price of $182 per square foot to the subject property's 1,040 sq ft yields a market value estimate of approximately $188,776. The county's current appraised value of $207,200 exceeds this estimate by $18,424 (8.9%). At an effective tax rate of 1.64%, this overassessment represents approximately $302 in excess annual property taxes.

The comparable properties used in this analysis are detailed in the table below. All properties are residential, sold within 24 months, and located within 1.1 miles of the subject property.

Note: KS does not publicly disclose sale prices. Comparable values shown are estimated market values derived from property and market data.

Additionally, environmental or locational factors affecting this property may further impact its market value. These factors are detailed in the Filing Guide included with this packet.

Comparable Property Analysis

#	ADDRESS	DISTANCE	SQFT	YEAR	SALE DATE	EST. MARKET VALUE	$/SQFT
S	**24 Browning Court (Subject)**	**—**	**1,040**	**1972**	**—**	**—**	**—**
1	1231 TALLGRASS DR	—	980	—	5/12/2025	$242,000	$247
2	1311 LOCUST ST	—	1,201	—	1/15/2025	$218,000	$182
3	1012 W 14TH ST	—	985	—	2/4/2025	$280,000	$284
4	1111 W 13TH LN	—	1,517	—	9/11/2025	$335,000	$221
5	1029 CHERRY ST	—	975	—	7/9/2024	$159,750	$164
6	1329 CHERRY ST	—	1,252	—	11/1/2024	$205,000	$164
7	74 STEVENS RD	—	1,080	—	9/27/2024	$235,000	$218
8	1313 MAIN ST	—	1,204	—	10/7/2024	$220,000	$183
9	1601 ACORN LN	—	1,336	—	7/7/2025	$390,000	$292

MEDIAN EST. VALUE	25TH PCTL $/SQFT	SUBJECT SQFT	MARKET VALUE
$235,000	**$182**	**1,040**	**$188,776**

Comparable properties within 1.1 miles, sold within the past 24 months. Values shown are estimated market values — KS does not publicly disclose sale prices.

Comparable Properties Map

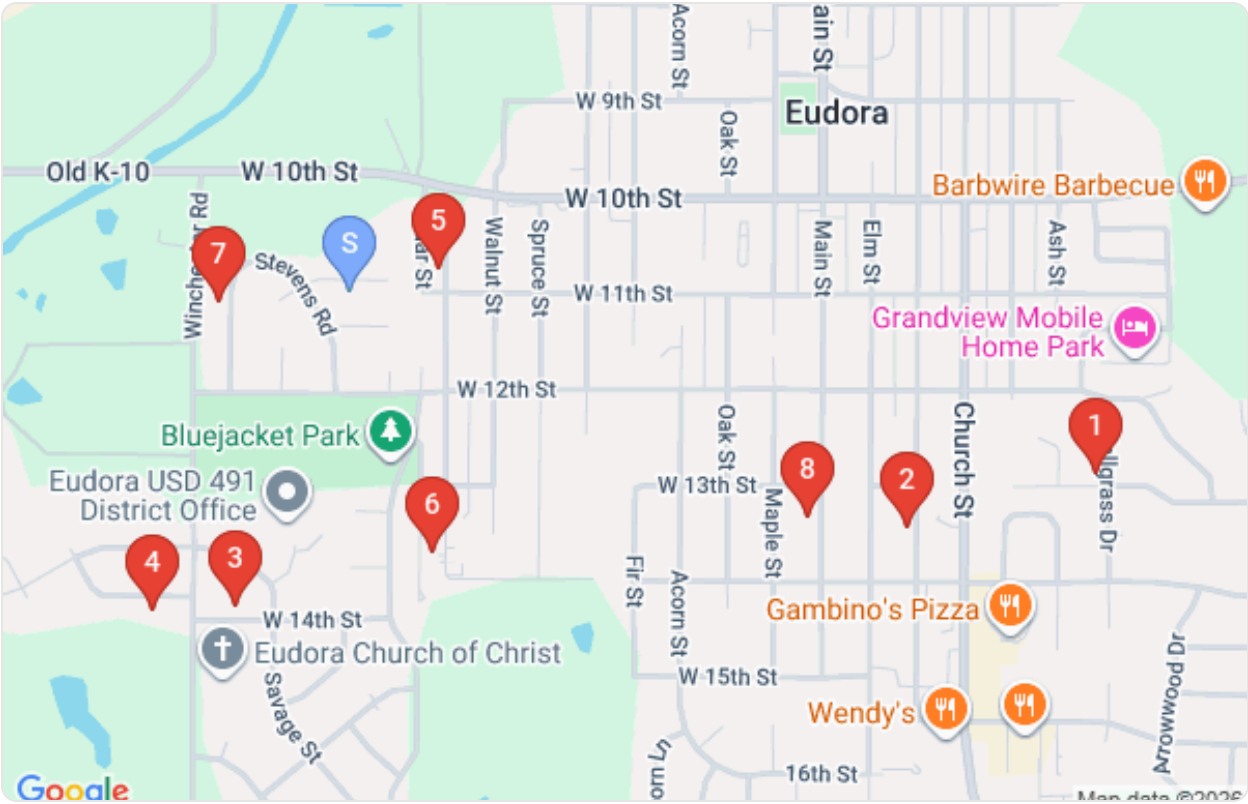

Subject property (blue pin) and comparable property locations (red pins)

Comparable Property Details

1

EST. MARKET VALUE
$242,000

1231 TALLGRASS DR

980 sqft · Sold 5/12/2025 · $247/sqft



2

EST. MARKET VALUE
$218,000

1311 LOCUST ST

1,201 sqft · Sold 1/15/2025 · $182/sqft

3

EST. MARKET VALUE
$280,000

1012 W 14TH ST

985 sqft · Sold 2/4/2025 · $284/sqft

4

EST. MARKET VALUE
$335,000

1111 W 13TH LN

1,517 sqft · Sold 9/11/2025 · $221/sqft

5

EST. MARKET VALUE
$159,750

1029 CHERRY ST

975 sqft · Sold 7/9/2024 · $164/sqft

6

EST. MARKET VALUE
$205,000

1329 CHERRY ST

1,252 sqft · Sold 11/1/2024 · $164/sqft

7

EST. MARKET VALUE
$235,000

74 STEVENS RD

1,080 sqft · Sold 9/27/2024 · $218/sqft

8

EST. MARKET VALUE
$220,000

1313 MAIN ST

1,204 sqft · Sold 10/7/2024 · $183/sqft



9

EST. MARKET VALUE

$390,000

1601 ACORN LN

1,336 sqft · Sold 7/7/2025 · $292/sqft