Property Tax Assessment Analysis

115 Maple Street
Christian County · March 6, 2026

115 Maple Street

Hopkinsville, KY 42240 · Parcel: 222-00 06 043.00

Living Area	**1,573 sqft**	Lot Size	**24,000 sqft**
Bedrooms	**3**	Bathrooms	**2**
Year Built	**N/A**	Property Type	**Single Family**

Assessment Analysis

County Appraised Value	**$70,000**
Market Value (Comps)	**$134,315**
Underassessment	**-$64,315**

Valuation Analysis

The subject property at 115 Maple Street, Hopkinsville, KY 42240 is a 1,573 sq ft Single Family constructed in N/A, situated on a 24,000 sq ft lot.

A search of recent residential sales in the surrounding area identified 13 comparable properties sold within the past 24 months. These properties range from 1,200 to 1,934 sq ft. The median sale price per square foot among these comparables is $115. Note: An expanded search radius was used due to limited comparable sales in the immediate area.

Applying the 25th percentile sale price of $85 per square foot to the subject property's 1,573 sq ft yields a market value estimate of approximately $134,315.

The comparable sales used in this analysis are detailed in the table below. All properties are residential, sold within 24 months, and located in the surrounding area of the subject property.

Comparable Sales Analysis

#	ADDRESS	DISTANCE	SQFT	YEAR	SALE DATE	SALE PRICE	$/SQFT
S	**115 Maple Street (Subject)**	**—**	**1,573**	**—**	**—**	**—**	**—**
1	7310 ROCK CLIFF DR	—	1,300	—	12/17/2025	$191,000	$147
2	1801 1ST STREET EXT	—	1,300	—	4/7/2025	$125,000	$96
3	512 COUNTRY CLUB LN	—	1,885	—	9/24/2025	$135,000	$72
4	308 HILLAIRE DR	—	1,450	—	10/13/2025	$205,000	$141
5	1816 VALLEY VIEW DR	—	1,663	—	12/4/2025	$142,000	$85
6	417 BLANE DR	—	1,404	—	7/3/2025	$190,000	$135
7	530 MCLEAN AVE	—	1,200	—	3/31/2025	$80,000	$67
8	328 BLANE DR	—	1,934	—	10/13/2025	$120,000	$62
9	916 OWEN DR	—	1,656	—	9/15/2025	$190,000	$115
10	525 HIGHPOINT DR	—	1,332	—	1/14/2026	$144,900	$109
11	212 S WOOLDRIDGE RD	—	1,426	—	9/16/2024	$164,900	$116
12	2811 NELSON DR	—	1,375	—	7/3/2024	$159,900	$116
13	311 ANDREW DR	—	1,912	—	8/6/2025	$249,900	$131

MEDIAN SALE PRICE	25TH PCTL $/SQFT	SUBJECT SQFT	MARKET VALUE
$159,900	**$85**	**1,573**	**$134,315**

Comparable sales in the surrounding area, sold within the past 24 months. All transactions are arm's-length sales from public county records.

Comparable Properties Map

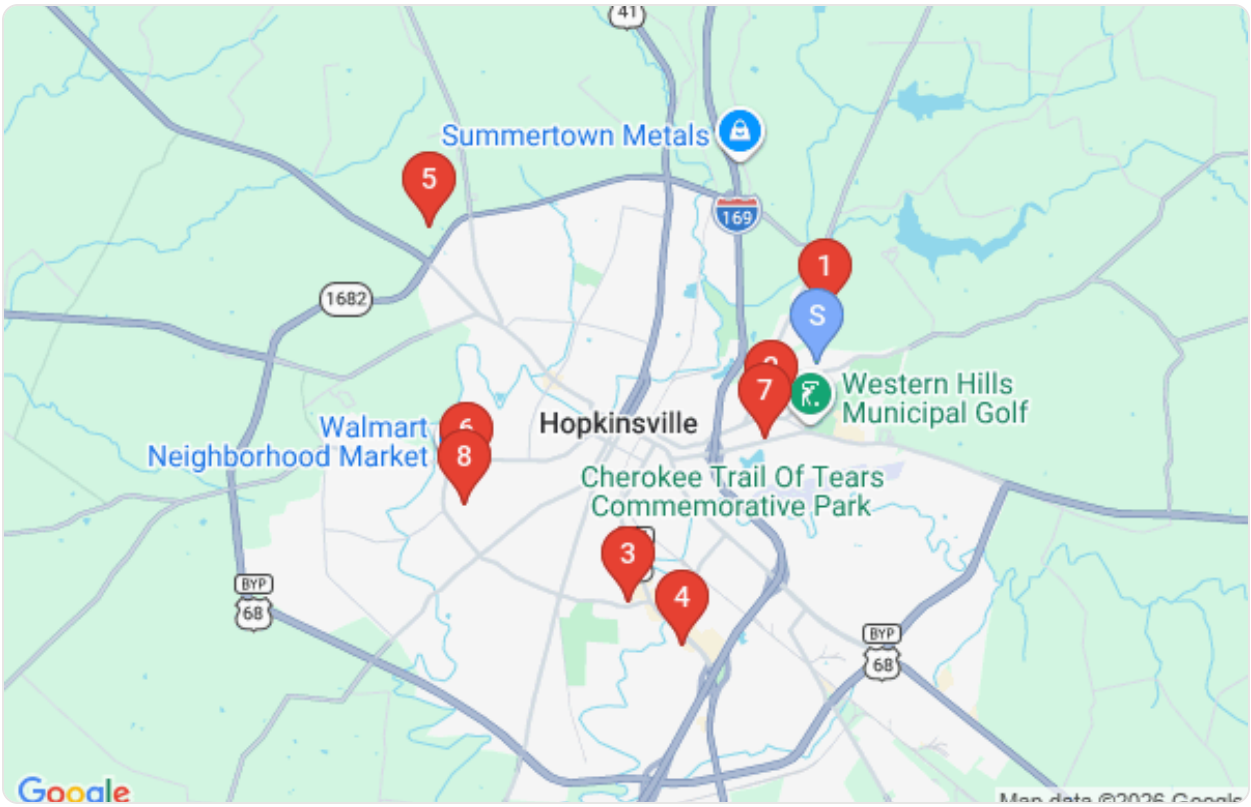

Subject property (blue pin) and comparable sales locations (red pins)

Comparable Property Details



1

SALE PRICE
$191,000

7310 ROCK CLIFF DR

1,300 sqft · Sold 12/17/2025 · $147/sqft

2

SALE PRICE
$125,000

1801 1ST STREET EXT

1,300 sqft · Sold 4/7/2025 · $96/sqft

3

SALE PRICE
$135,000

512 COUNTRY CLUB LN

1,885 sqft · Sold 9/24/2025 · $72/sqft



4

SALE PRICE
$205,000

308 HILLAIRE DR

1,450 sqft · Sold 10/13/2025 · $141/sqft

5

SALE PRICE
$142,000

1816 VALLEY VIEW DR

1,663 sqft · Sold 12/4/2025 · $85/sqft

6

SALE PRICE
$190,000

417 BLANE DR

1,404 sqft · Sold 7/3/2025 · $135/sqft



7

SALE PRICE
$80,000

530 MCLEAN AVE

1,200 sqft · Sold 3/31/2025 · $67/sqft

8

SALE PRICE
$120,000

328 BLANE DR

1,934 sqft · Sold 10/13/2025 · $62/sqft

9

SALE PRICE

$190,000

916 OWEN DR

1,656 sqft · Sold 9/15/2025 · $115/sqft

10

SALE PRICE

$144,900

525 HIGHPOINT DR

1,332 sqft · Sold 1/14/2026 · $109/sqft

11

SALE PRICE

$164,900

212 S WOOLDRIDGE RD

1,426 sqft · Sold 9/16/2024 · $116/sqft

12

SALE PRICE

$159,900

2811 NELSON DR

1,375 sqft · Sold 7/3/2024 · $116/sqft

13

SALE PRICE

$249,900

311 ANDREW DR

1,912 sqft · Sold 8/6/2025 · $131/sqft