Property Tax Assessment Analysis

61 Arlington Street
Essex County · March 6, 2026

61 Arlington Street

Haverhill, MA 01830 · Parcel:
HAVE M:0205 B:0040C L:61B

Living Area	**846 sqft**	Lot Size	**640 sqft**
Bedrooms	**2**	Bathrooms	**1**
Year Built	**1900**	Property Type	**Residential**

Assessment Analysis

County Assessed Value (capped)	**$223,500**
County Market Value	**$315,000**
Market Value (Comps)	**$304,913**
Overassessment	**$10,087**

Environmental & Locational Factors

The following factors were detected within 1 mile of the subject property and may support a lower assessment:

🚂 **Railroad**
1 railroad(s) within 1 mile: Csx Transportation

⚡ **Power Lines**
1 high-voltage transmission line(s) within 1 mile

Source: Census TIGERweb, FEMA National Flood Hazard Layer, OpenStreetMap

Valuation Analysis

The subject property at 61 Arlington Street, Haverhill, MA 01830 is a 846 sq ft Residential constructed in 1900, situated on a 640 sq ft lot.

A search of recent residential sales within 0.2 miles identified 4 comparable properties sold within the past 6 months. These properties range from 774 to 918 sq ft. The median sale price per square foot among these comparables is $385.

Applying the 25th percentile sale price of $360 per square foot to the subject property's 846 sq ft yields a market value estimate of approximately $304,913. The county's current market value of $315,000 exceeds this estimate by $10,087 (3.2%). At an effective tax rate of 0.76%, this overassessment represents approximately $77 in excess annual property taxes.

The comparable sales used in this analysis are detailed in the table below. All properties are residential, sold within 6 months, and located within 0.2 miles of the subject property.

Additionally, environmental or locational factors affecting this property may further impact its market value. These factors are detailed in the Filing Guide included with this packet.

Comparable Sales Analysis

#	ADDRESS	DISTANCE	SQFT	YEAR	SALE DATE	SALE PRICE	$/SQFT
S	**61 Arlington Street (Subject)**	**—**	**846**	**1900**	**—**	**—**	**—**
1	61 Arlington St # 4	—	846	1900	10/23/2025	$310,000	$366
2	64 Arlington St # A	0.0 mi	780	1900	1/30/2026	$300,000	$385
3	8 Bartlett Ave	0.2 mi	774	1988	12/23/2025	$265,000	$342
4	1 Bartlett Ave Apt F	0.2 mi	918	1987	11/4/2025	$380,000	$414

MEDIAN SALE PRICE	25TH PCTL $/SQFT	SUBJECT SQFT	MARKET VALUE
$310,000	$360	846	$304,913

Comparable sales within 0.2 miles, sold within the past 6 months. All transactions are arm's-length sales from public county records.

Comparable Properties Map

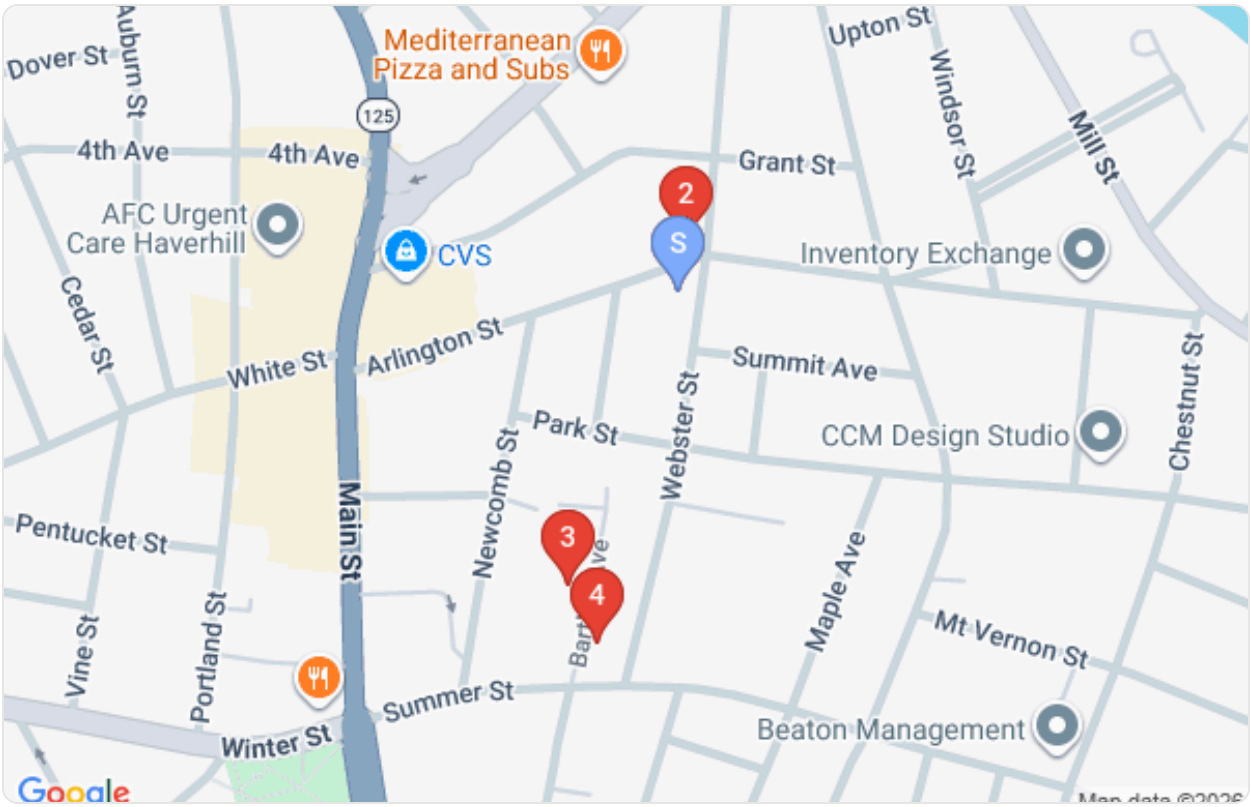

Subject property (blue pin) and comparable sales locations (red pins)

Comparable Property Details



1

SALE PRICE

$310,000

61 Arlington St # 4

846 sqft · Built 1900 · Sold 10/23/2025 · $366/sqft

2

SALE PRICE

$300,000

64 Arlington St # A

780 sqft · Built 1900 · 0.0 mi · Sold 1/30/2026 · $385/sqft

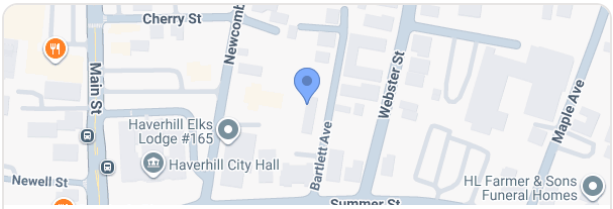

3

SALE PRICE

$265,000

8 Bartlett Ave

774 sqft · Built 1988 · 0.2 mi · Sold 12/23/2025 · $342/sqft

4

SALE PRICE

$380,000

1 Bartlett Ave Apt F

918 sqft · Built 1987 · 0.2 mi · Sold 11/4/2025 · $414/sqft