Property Tax Assessment Analysis

723 Brooks Avenue
Oakland County · March 6, 2026

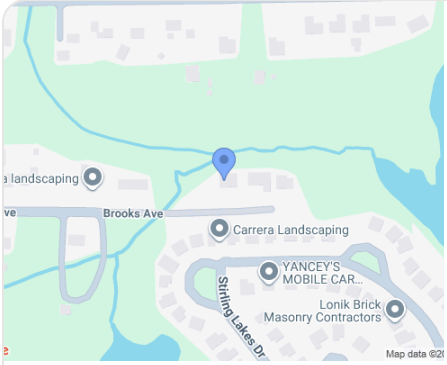

723 Brooks Avenue

Pontiac, MI 48340 · Parcel: 64-14-09-426-013

Living Area	1,209 sqft	Lot Size	26,615 sqft
Bedrooms	3	Bathrooms	2
Year Built	1993	Property Type	Residential

Assessment Analysis

County Appraised Value	$245,440
Assessment Ratio (MI)	50%
Taxable Assessed Value	$122,720
Market Value (Comps)	$214,642
Overassessment	$30,798

Environmental & Locational Factors

The following factors were detected within 1 mile of the subject property and may support a lower assessment:

🛣️ **Major Highway**
1 major highway(s) within 1 mile: I-75

🏭 **Commercial/Industrial Zone**
3 commercial, 10 industrial, 7 retail zone(s) within 1 mile (incl. Carnival Market Plaza, Joslyn Commerce Park)

Source: Census TIGERweb, FEMA National Flood Hazard Layer, OpenStreetMap

Valuation Analysis

The subject property at 723 Brooks Avenue, Pontiac, MI 48340 is a 1,209 sq ft Residential constructed in 1993, situated on a 26,615 sq ft lot.

A search of recent residential sales within 1 mile identified 3 comparable properties sold within the past 12 months. These properties range from 1,033 to 1,188 sq ft. The median sale price per square foot among these comparables is $178. Note: An expanded search radius was used due to limited comparable sales in the immediate area.

Applying the 25th percentile sale price of $178 per square foot to the subject property's 1,209 sq ft yields a market value estimate of approximately $214,642. The county's current appraised value of $245,440 exceeds this estimate by $30,798 (12.5%). At an effective tax rate of 0.84%, this overassessment represents approximately $259 in excess annual property taxes.

The comparable sales used in this analysis are detailed in the table below. All properties are residential, sold within 12 months, and located within 1 mile of the subject property.

Additionally, environmental or locational factors affecting this property may further impact its market value. These factors are detailed in the Filing Guide included with this packet.

Comparable Sales Analysis

#	ADDRESS	DISTANCE	SQFT	YEAR	SALE DATE	SALE PRICE	$/SQFT
S	723 Brooks Avenue (Subject)	—	1,209	1993	—	—	—

#	ADDRESS	DISTANCE	SQFT	YEAR	SALE DATE	SALE PRICE	$/SQFT
1	3085 Simmons Ct	0.2 mi	1,188	1945	12/11/2025	$210,500	$177
2	1481 Giddings Rd	0.7 mi	1,040	1970	12/9/2025	$185,000	$178
3	686 4th Ave	1.0 mi	1,033	1946	11/14/2025	$185,000	$179

MEDIAN SALE PRICE	25TH PCTL $/SQFT	SUBJECT SQFT	MARKET VALUE
$185,000	**$178**	**1,209**	**$214,642**

Comparable sales within 1 mile, sold within the past 12 months. All transactions are arm's-length sales from public county records.

Comparable Properties Map

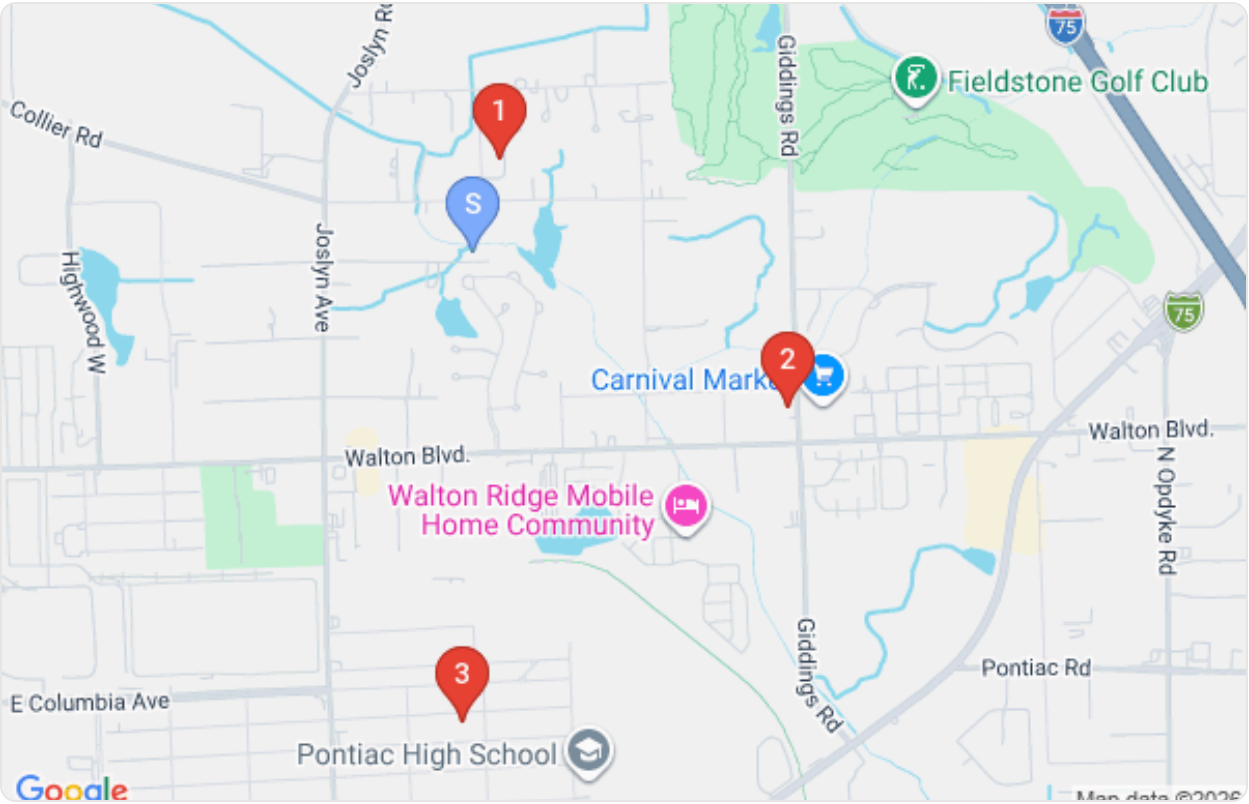

Subject property (blue pin) and comparable sales locations (red pins)

Comparable Property Details

1

SALE PRICE

$210,500

3085 Simmons Ct

1,188 sqft · Built 1945 · 0.2 mi · Sold 12/11/2025 · $177/sqft

2

SALE PRICE

$185,000

1481 Giddings Rd

1,040 sqft · Built 1970 · 0.7 mi · Sold 12/9/2025 · $178/sqft



3

SALE PRICE

$185,000

686 4th Ave

1,033 sqft · Built 1946 · 1.0 mi · Sold 11/14/2025 · $179/sqft