# Property Tax Assessment Analysis

17063 Nile Lily Way
San Bernardino County · March 4, 2026



## 17063 Nile Lily Way

Fontana, CA 92337 · Parcel: 0194-571-12-0000

| | | | |
|---|---|---|---|
| Living Area | 1,900 sqft | Lot Size | 10,567 sqft |
| Bedrooms | 3 | Bathrooms | 2 |
| Year Built | 2005 | Property Type | Residential |

## Assessment Analysis

| | |
|---|---|
| County Appraised Value | $599,647 |
| Market Value (Comps) | $631,906 |
| Underassessment | -$32,259 |

## Factors Considered in Our Analysis

The following factors were considered in our analysis of your property's value:

🚂 **Railroad**
2 railroad(s) within 1 mile: Amtrak - National Railroad Passenger, Union Pacific RR

⚡ **Power Lines**
3 high-voltage transmission line(s) within 1 mile

*Source: Census TIGERweb, FEMA National Flood Hazard Layer, OpenStreetMap*

## Valuation Analysis

The subject property at 17063 Nile Lily Way, Fontana, CA 92337 is a 1,900 sq ft Residential constructed in 2005, situated on a 10,567 sq ft lot.

A search of recent residential sales within 0.9 miles identified 3 comparable properties sold within the past 12 months. These properties range from 1,807 to 2,208 sq ft. The median sale price per square foot among these comparables is $371. Note: An expanded search radius was used due to limited comparable sales in the immediate area.

**Applying the 25th percentile sale price of $333 per square foot to the subject property's 1,900 sq ft yields a market value estimate of approximately $631,906.**

The comparable sales used in this analysis are detailed in the table below. All properties are residential, sold within 12 months, and located within 0.9 miles of the subject property.

*Additionally, environmental or locational factors affecting this property may further impact its market value.*

# Comparable Sales Analysis

| # | ADDRESS | DISTANCE | SQFT | YEAR | SALE DATE | SALE PRICE | $/SQFT |
|---|---|---|---|---|---|---|---|
| **S** | **17063 Nile Lily Way (Subject)** | **—** | **1,900** | **2005** | **—** | **—** | **—** |
| 1 | 17108 Red Ash Ct | 0.1 mi | 1,807 | 2005 | 12/21/2025 | $670,000 | $371 |
| 2 | 17455 Madrone St | 0.5 mi | 2,032 | 2003 | 11/19/2025 | $820,000 | $404 |
| 3 | 16442 Applegate Dr | 0.9 mi | 2,208 | 1994 | 10/19/2025 | $650,000 | $294 |

| MEDIAN SALE PRICE | 25TH PCTL $/SQFT | SUBJECT SQFT | MARKET VALUE |
|---|---|---|---|
| $670,000 | $333 | 1,900 | $631,906 |

*Comparable sales within 0.9 miles, sold within the past 12 months. All transactions are arm's-length sales from public county records.*

## Comparable Properties Map

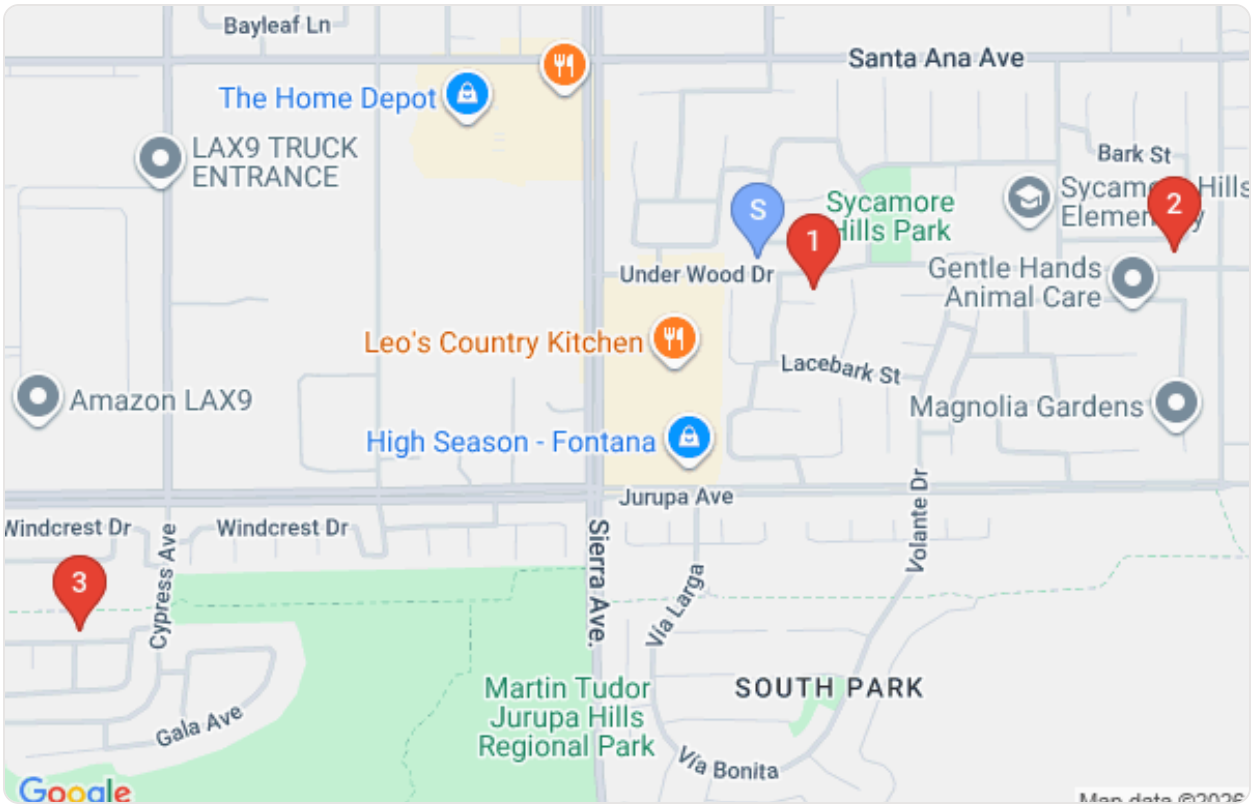


*Subject property (blue pin) and comparable sales locations (red pins)*

# Comparable Property Details

1

SALE PRICE

**$670,000**

### 17108 Red Ash Ct

1,807 sqft · Built 2005 · 0.1 mi · Sold 12/21/2025 · $371/sqft

2

SALE PRICE

**$820,000**

### 17455 Madrone St

2,032 sqft · Built 2003 · 0.5 mi · Sold 11/19/2025 · $404/sqft




3

SALE PRICE

**$650,000**

### 16442 Applegate Dr

2,208 sqft · Built 1994 · 0.9 mi · Sold 10/19/2025 · $294/sqft