Property Tax Assessment Analysis

7014 Tartan Dr
Williamson County · March 4, 2026

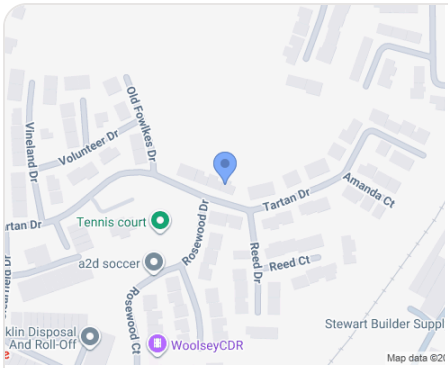

7014 Tartan Dr

Brentwood, TN 37027 · Parcel: 094053C A 00100C083

Living Area	1,899 sqft	Lot Size	1.00 acres
Bedrooms	3	Bathrooms	2
Year Built	1983	Property Type	Residential

Assessment Analysis

County Appraised Value	$492,700
Assessment Ratio (TN)	25%
Taxable Assessed Value	$123,175
Market Value (Comps)	$577,430
Underassessment	-$84,730

Factors Considered in Our Analysis

The following factors were considered in our analysis of your property's value:

🛣️ **Major Highway**
1 major highway(s) within 1 mile: I-65

🚂 **Railroad**
1 railroad(s) within 1 mile: Csx Transportation

🏭 **Commercial/Industrial Zone**
4 commercial, 8 retail zone(s) within 1 mile (incl. Westgate Commons, Cool Springs Pointe, Coolsprings Crossing)

⚡ **Power Lines**
1 high-voltage transmission line(s) within 1 mile

Source: Census TIGERweb, FEMA National Flood Hazard Layer, OpenStreetMap

Valuation Analysis

The subject property at 7014 Tartan Dr, Brentwood, TN 37027 is a 1,899 sq ft Residential constructed in 1983, situated on a 1.00-acre lot.

A search of recent residential sales within 1.4 miles identified 8 comparable properties sold within the past 18 months. These properties range from 1,568 to 2,400 sq ft. The median sale price per square foot among these comparables is $379. Note: An expanded search radius was used due to limited comparable sales in the immediate area.

Applying the 25th percentile sale price of $304 per square foot to the subject property's 1,899 sq ft yields a market value estimate of approximately $577,430.

The comparable sales used in this analysis are detailed in the table below. All properties are residential, sold within 18 months, and located within 1.4 miles of the subject property.

Additionally, environmental or locational factors affecting this property may further impact its market value.

Comparable Sales Analysis

#	ADDRESS	DISTANCE	SQFT	YEAR	SALE DATE	SALE PRICE	$/SQFT
S	**7014 Tartan Dr (Subject)**	**—**	**1,899**	**1983**	**—**	**—**	**—**
1	921 Brentwood Pt	0.6 mi	1,857	1986	11/23/2025	$468,000	$252
2	8002 Sunrise Cir	1.3 mi	2,039	1999	2/9/2026	$620,000	$304
3	8009 Sunrise Cir	1.3 mi	2,039	1999	11/16/2025	$625,000	$307
4	1833 Brentwood Pointe	1.1 mi	1,568	2008	12/3/2025	$475,000	$303
5	8110 Patrice Dr	1.4 mi	1,980	1970	2/2/2026	$1,100,000	$556
6	8011 Wikle Rd E	1.2 mi	1,744	1969	1/7/2026	$910,000	$522
7	7017 Boone Trail Cir	0.7 mi	2,400	1983	12/2/2025	$910,000	$379
8	8009 Wikle Rd E	1.2 mi	2,195	1969	12/30/2025	$900,000	$410

MEDIAN SALE PRICE	25TH PCTL $/SQFT	SUBJECT SQFT	MARKET VALUE
$900,000	**$304**	**1,899**	**$577,430**

Comparable sales within 1.4 miles, sold within the past 18 months. All transactions are arm's-length sales from public county records.

Comparable Properties Map

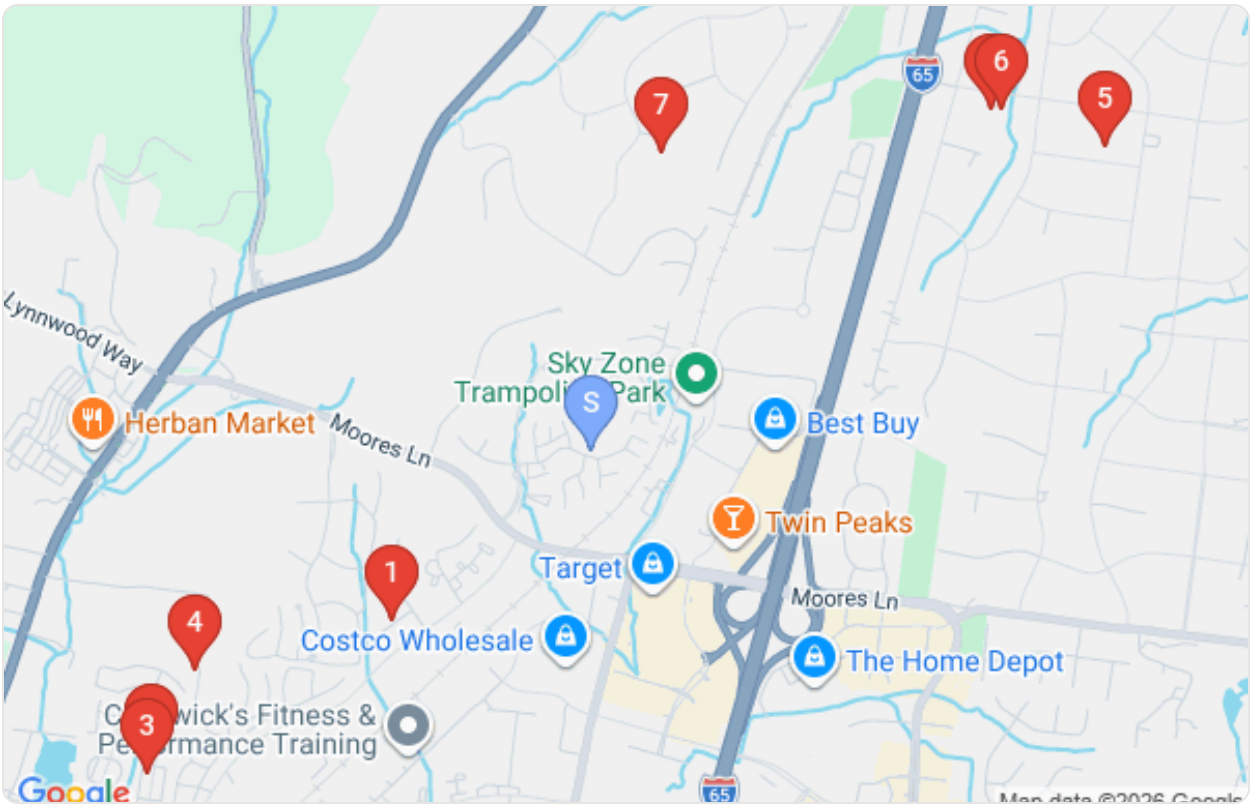

Subject property (blue pin) and comparable sales locations (red pins)

Comparable Property Details

1

SALE PRICE

$468,000

921 Brentwood Pt

1,857 sqft · Built 1986 · 0.6 mi · Sold 11/23/2025 · $252/sqft

2

SALE PRICE

$620,000

8002 Sunrise Cir

2,039 sqft · Built 1999 · 1.3 mi · Sold 2/9/2026 · $304/sqft



3

SALE PRICE

$625,000

8009 Sunrise Cir

2,039 sqft · Built 1999 · 1.3 mi · Sold 11/16/2025 · $307/sqft

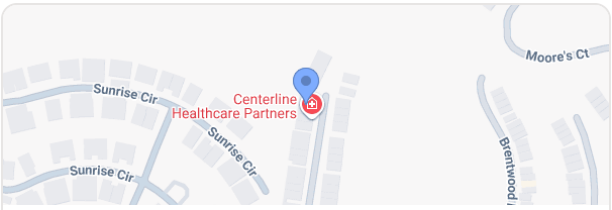

4

SALE PRICE

$475,000

1833 Brentwood Pointe

1,568 sqft · Built 2008 · 1.1 mi · Sold 12/3/2025 · $303/sqft

5

SALE PRICE

$1,100,000

8110 Patrice Dr

1,980 sqft · Built 1970 · 1.4 mi · Sold 2/2/2026 · $556/sqft

6

SALE PRICE

$910,000

8011 Wikle Rd E

1,744 sqft · Built 1969 · 1.2 mi · Sold 1/7/2026 · $522/sqft

7

SALE PRICE

$910,000

7017 Boone Trail Cir

2,400 sqft · Built 1983 · 0.7 mi · Sold 12/2/2025 · $379/sqft



8

SALE PRICE

$900,000

8009 Wikle Rd E

2,195 sqft · Built 1969 · 1.2 mi · Sold 12/30/2025 · $410/sqft