Property Tax Assessment Analysis

1166 Needleleaf Dr
Brunswick County · March 4, 2026



1166 Needleleaf Dr

Winnabow, NC 28479 · Parcel: 059HD008

Living Area	**3,182 sqft**	Lot Size	**9,792 sqft**
Bedrooms	**4**	Bathrooms	**3**
Year Built	**2021**	Property Type	**Residential**

Assessment Analysis

County Appraised Value	**$480,750**
Market Value (Comps)	**$868,541**
Underassessment	**-$387,791**

Valuation Analysis

The subject property at 1166 Needleleaf Dr, Winnabow, NC 28479 is a 3,182 sq ft Residential constructed in 2021, situated on a 9,792 sq ft lot.

A search of recent residential sales within 1.5 miles identified 4 comparable properties sold within the past 18 months. These properties range from 2,271 to 3,864 sq ft. The median sale price per square foot among these comparables is $301. Note: An expanded search radius was used due to limited comparable sales in the immediate area.

Applying the 25th percentile sale price of $273 per square foot to the subject property's 3,182 sq ft yields a market value estimate of approximately $868,541.

The comparable sales used in this analysis are detailed in the table below. All properties are residential, sold within 18 months, and located within 1.5 miles of the subject property.

Comparable Sales Analysis

#	ADDRESS	DISTANCE	SQFT	YEAR	SALE DATE	SALE PRICE	$/SQFT
S	**1166 Needleleaf Dr (Subject)**	**—**	**3,182**	**2021**	**—**	**—**	**—**
1	10185 Vandorn Ct Se	1.3 mi	2,571	2021	12/1/2025	$775,000	$301
2	6041 Shore Park Dr	0.9 mi	3,864	2015	12/9/2025	$1,100,000	$285
3	4322 Cushendale Ct	1.5 mi	2,811	2020	12/14/2025	$890,000	$317
4	1109 Wilwood Ct	1.3 mi	2,271	2007	10/28/2025	$540,000	$238

MEDIAN SALE PRICE	25TH PCTL $/SQFT	SUBJECT SQFT	MARKET VALUE
$890,000	**$273**	**3,182**	**$868,541**

Comparable sales within 1.5 miles, sold within the past 18 months. All transactions are arm's-length sales from public county records.

Comparable Properties Map

Subject property (blue pin) and comparable sales locations (red pins)

Comparable Property Details

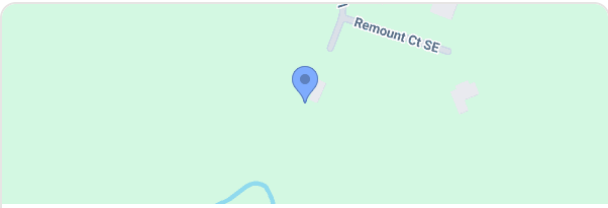

1

SALE PRICE

$775,000

10185 Vandorn Ct Se

2,571 sqft · Built 2021 · 1.3 mi · Sold 12/1/2025 · $301/sqft

2

SALE PRICE

$1,100,000

6041 Shore Park Dr

3,864 sqft · Built 2015 · 0.9 mi · Sold 12/9/2025 · $285/sqft



3

SALE PRICE

$890,000

4322 Cushendale Ct

2,811 sqft · Built 2020 · 1.5 mi · Sold 12/14/2025 · $317/sqft

4

SALE PRICE

$540,000

1109 Wilwood Ct

2,271 sqft · Built 2007 · 1.3 mi · Sold 10/28/2025 · $238/sqft