Property Tax Assessment Analysis

26483 W Timberhill Rd
Sherburne County · March 4, 2026

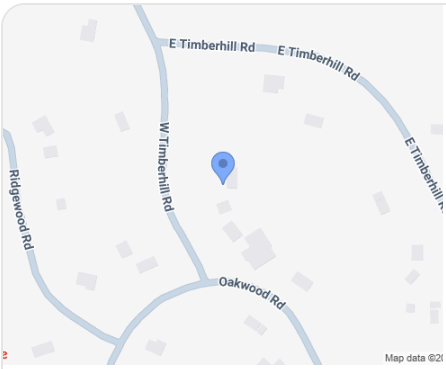

26483 W Timberhill Rd

Zimmerman, MN 55398 · Parcel: 95-00417-0450

Living Area	876 sqft	Lot Size	1.24 acres
Bedrooms	2	Bathrooms	2
Year Built	1990	Property Type	Residential

Assessment Analysis

County Appraised Value	$365,500
Market Value (Comps)	$307,315
Overassessment	**$58,185**

Environmental & Locational Factors

The following factors were detected within 1 mile of the subject property and may support a lower assessment:

Power Lines
3 high-voltage transmission line(s) within 1 mile

Source: Census TIGERweb, FEMA National Flood Hazard Layer, OpenStreetMap

Valuation Analysis

The subject property at 26483 W Timberhill Rd, Zimmerman, MN 55398 is a 876 sq ft Residential constructed in 1990, situated on a 1.24-acre lot.

A search of recent residential sales within 0.4 miles identified 4 comparable properties sold within the past 6 months. These properties range from 876 to 985 sq ft. The median sale price per square foot among these comparables is $381.

Applying the 25th percentile sale price of $351 per square foot to the subject property's 876 sq ft yields a market value estimate of approximately $307,315. The county's current appraised value of $365,500 exceeds this estimate by $58,185 (15.9%). At an effective tax rate of 1.23%, this overassessment represents approximately $714 in excess annual property taxes.

The comparable sales used in this analysis are detailed in the table below. All properties are residential, sold within 6 months, and located within 0.4 miles of the subject property.

Additionally, environmental or locational factors affecting this property may further impact its market value. These factors are detailed in the Filing Guide included with this packet.

Comparable Sales Analysis

#	ADDRESS	DISTANCE	SQFT	YEAR	SALE DATE	SALE PRICE	$/SQFT
S	**26483 W Timberhill Rd (Subject)**	**—**	**876**	**1990**	**—**	**—**	**—**
1	26483 W Timberhill Rd	—	876	1990	12/10/2025	$370,000	$422
2	26407 E Timberhill Rd	0.2 mi	942	1985	1/14/2026	$359,000	$381
3	26298 10th Street Cir	0.4 mi	968	1994	1/20/2026	$297,000	$307
4	13252 Oakwood Rd	0.3 mi	985	1992	12/29/2025	$360,000	$365

MEDIAN SALE PRICE	25TH PCTL $/SQFT	SUBJECT SQFT	MARKET VALUE
$360,000	$351	876	$307,315

Comparable sales within 0.4 miles, sold within the past 6 months. All transactions are arm's-length sales from public county records.

Comparable Properties Map

Subject property (blue pin) and comparable sales locations (red pins)

Comparable Property Details

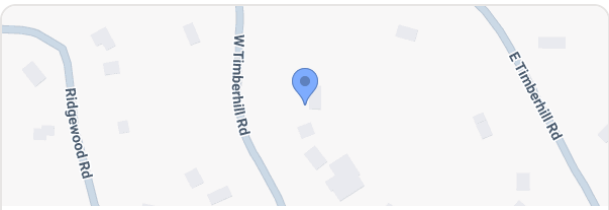

1

SALE PRICE

$370,000

26483 W Timberhill Rd

876 sqft · Built 1990 · Sold 12/10/2025 · $422/sqft

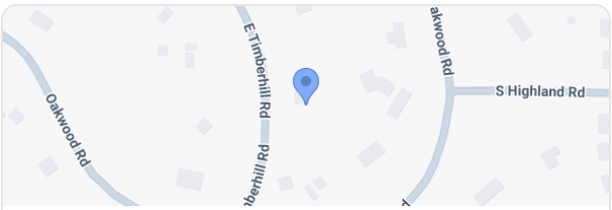

2

SALE PRICE

$359,000

26407 E Timberhill Rd

942 sqft · Built 1985 · 0.2 mi · Sold 1/14/2026 · $381/sqft

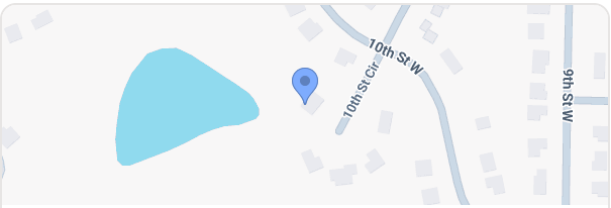

3

SALE PRICE

$297,000

26298 10th Street Cir

968 sqft · Built 1994 · 0.4 mi · Sold 1/20/2026 · $307/sqft

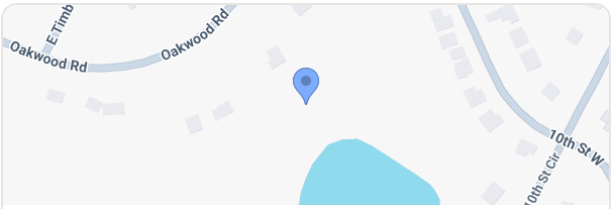

4

SALE PRICE

$360,000

13252 Oakwood Rd

985 sqft · Built 1992 · 0.3 mi · Sold 12/29/2025 · $365/sqft