Property Tax Assessment Analysis

1122 Hall St
Philadelphia County · March 4, 2026



1122 Hall St

Philadelphia, PA 19147 · Parcel: 02-1-0621-05

Living Area	**2,127 sqft**	Lot Size	**995 sqft**
Bedrooms	**3**	Year Built	**2015**
Property Type	**Residential**		

Assessment Analysis

County Appraised Value	**$720,600**
Market Value (Comps)	**$420,654**
Overassessment	**$299,946**

Environmental & Locational Factors

The following factors were detected within 1 mile of the subject property and may support a lower assessment:

🛣️ **Major Highway**
2 major highway(s) within 1 mile: I-95, Delaware Expy

🏭 **Commercial/Industrial Zone**
3 commercial, 17 retail zone(s) within 1 mile (incl. Riverview Plaza, Constitution Health Plaza, Wing Phat Plaza, New World Plaza, Hoa Binh Plaza)

Source: Census TIGERweb, FEMA National Flood Hazard Layer, OpenStreetMap

Valuation Analysis

The subject property at 1122 Hall St, Philadelphia, PA 19147 is a 2,127 sq ft Residential constructed in 2015, situated on a 995 sq ft lot.

A search of recent residential sales within 0.8 miles identified 4 comparable properties sold within the past 12 months. These properties range from 1,740 to 2,214 sq ft. The median sale price per square foot among these comparables is $350. Note: An expanded search radius was used due to limited comparable sales in the immediate area.

Applying the 25th percentile sale price of $198 per square foot to the subject property's 2,127 sq ft yields a market value estimate of approximately $420,654. The county's current appraised value of $720,600 exceeds this estimate by $299,946 (41.6%). At an effective tax rate of 1.40%, this overassessment represents approximately $4,199 in excess annual property taxes.

The comparable sales used in this analysis are detailed in the table below. All properties are residential, sold within 12 months, and located within 0.8 miles of the subject property.

Additionally, environmental or locational factors affecting this property may further impact its market value. These factors are detailed in the Filing Guide included with this packet.

Comparable Sales Analysis

#	ADDRESS	DISTANCE	SQFT	YEAR	SALE DATE	SALE PRICE	$/SQFT
S	**1122 Hall St (Subject)**	**—**	**2,127**	**2015**	**—**	**—**	**—**
1	318 Federal St	0.8 mi	2,214	1910	1/28/2026	$775,000	$350
2	701 S 17th St	0.5 mi	2,040	1915	1/20/2026	$450,000	$221
3	724 Fitzwater St	0.4 mi	1,740	1920	2/11/2026	$225,000	$129
4	225 Montrose St	0.8 mi	1,800	1920	2/5/2026	$887,500	$493

MEDIAN SALE PRICE	25TH PCTL $/SQFT	SUBJECT SQFT	MARKET VALUE
$775,000	$198	2,127	$420,654

Comparable sales within 0.8 miles, sold within the past 12 months. All transactions are arm's-length sales from public county records.

Comparable Properties Map

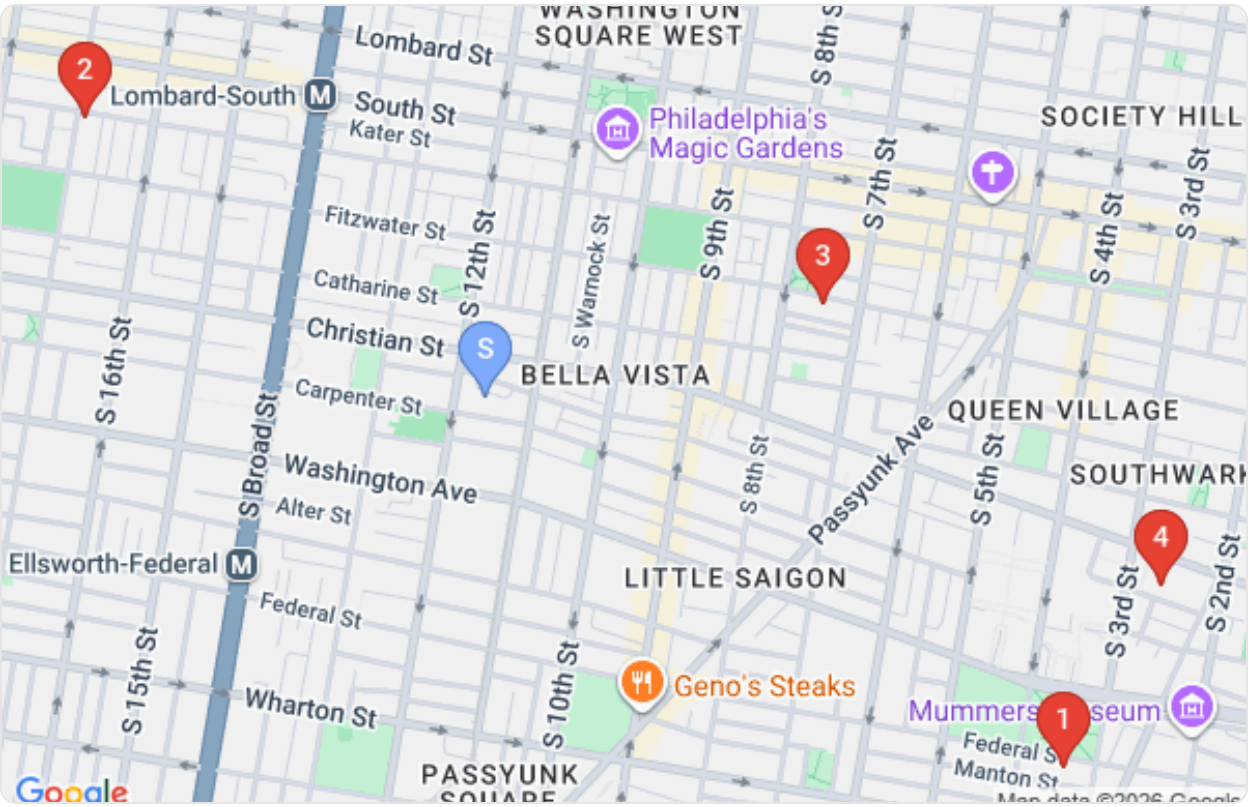

Subject property (blue pin) and comparable sales locations (red pins)

Comparable Property Details



1

SALE PRICE

$775,000

318 Federal St

2,214 sqft · Built 1910 · 0.8 mi · Sold 1/28/2026 · $350/sqft



2

SALE PRICE

$450,000

701 S 17th St

2,040 sqft · Built 1915 · 0.5 mi · Sold 1/20/2026 · $221/sqft



3

SALE PRICE

$225,000

724 Fitzwater St

1,740 sqft · Built 1920 · 0.4 mi · Sold 2/11/2026 · $129/sqft

4

SALE PRICE

$887,500

225 Montrose St

1,800 sqft · Built 1920 · 0.8 mi · Sold 2/5/2026 · $493/sqft