Property Tax Assessment Analysis

4832 Dresden Way
Fayette County · March 4, 2026



4832 Dresden Way

Lexington, KY 40514 · Parcel: 38040030

Living Area	3,031 sqft	Lot Size	8,046 sqft
Bedrooms	4	Bathrooms	2
Year Built	2001	Property Type	Residential

Assessment Analysis

County Appraised Value	$439,000
Market Value (Comps)	$597,068
Underassessment	-$158,068

Factors Considered in Our Analysis

The following factors were considered in our analysis of your property's value:

🏭 **Commercial/Industrial Zone**
1 industrial, 1 retail zone(s) within 1 mile

Source: Census TIGERweb, FEMA National Flood Hazard Layer, OpenStreetMap

Valuation Analysis

The subject property at 4832 Dresden Way, Lexington, KY 40514 is a 3,031 sq ft Residential constructed in 2001, situated on a 8,046 sq ft lot.

A search of recent residential sales within 0.4 miles identified 3 comparable properties sold within the past 6 months. These properties range from 2,698 to 3,164 sq ft. The median sale price per square foot among these comparables is $198.

Applying the 25th percentile sale price of $197 per square foot to the subject property's 3,031 sq ft yields a market value estimate of approximately $597,068.

The comparable sales used in this analysis are detailed in the table below. All properties are residential, sold within 6 months, and located within 0.4 miles of the subject property.

Additionally, environmental or locational factors affecting this property may further impact its market value.

Comparable Sales Analysis

#	ADDRESS	DISTANCE	SQFT	YEAR	SALE DATE	SALE PRICE	$/SQFT
S	**4832 Dresden Way (Subject)**	**—**	**3,031**	**2001**	**—**	**—**	**—**
1	2048 Twain Ridge Dr	0.4 mi	3,164	2003	11/30/2025	$620,000	$196
2	1433 Copperfield Ct	0.3 mi	2,698	1990	12/9/2025	$597,000	$221
3	4728 Matthew Ct	0.3 mi	2,828	1990	2/3/2026	$560,000	$198

MEDIAN SALE PRICE	25TH PCTL $/SQFT	SUBJECT SQFT	MARKET VALUE
$597,000	$197	3,031	$597,068

Comparable sales within 0.4 miles, sold within the past 6 months. All transactions are arm's-length sales from public county records.

Comparable Properties Map

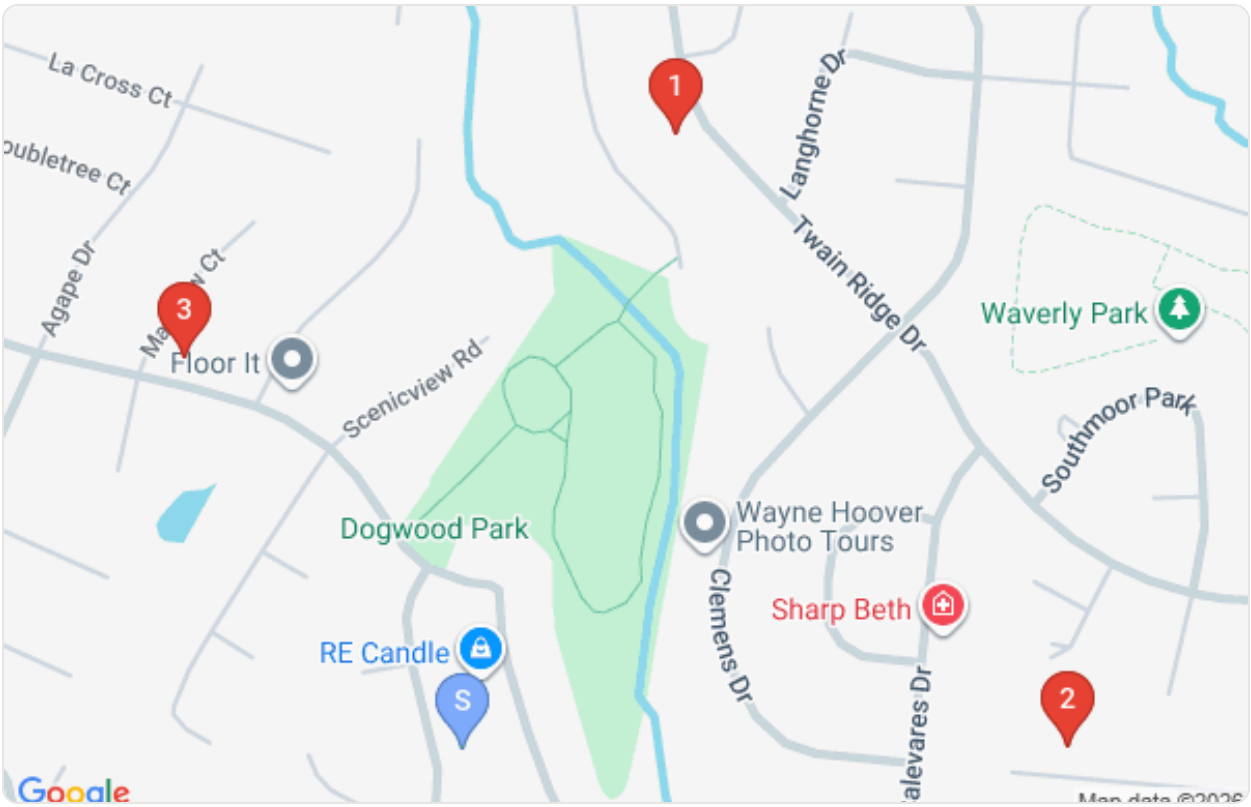

Subject property (blue pin) and comparable sales locations (red pins)

Comparable Property Details

1

SALE PRICE

$620,000

2048 Twain Ridge Dr

3,164 sqft · Built 2003 · 0.4 mi · Sold 11/30/2025 · $196/sqft

2

SALE PRICE

$597,000

1433 Copperfield Ct

2,698 sqft · Built 1990 · 0.3 mi · Sold 12/9/2025 · $221/sqft



3

SALE PRICE

$560,000

4728 Matthew Ct

2,828 sqft · Built 1990 · 0.3 mi · Sold 2/3/2026 · $198/sqft