Property Tax Assessment Analysis

36 Richards Ave
Rockingham County · March 4, 2026



36 Richards Ave

Portsmouth, NH 03801 · Parcel: PRSM M:0136 B:0014 L:

Living Area	2,700 sqft	Lot Size	1,307 sqft
Bedrooms	2	Bathrooms	1
Year Built	1930	Property Type	Residential

Assessment Analysis

County Assessed Value (capped)	$772,100
County Market Value	$1,009,000
Market Value (Comps)	$1,202,789
Underassessment	-$193,789

Note: The most recent assessment data available for this property is from 2024. Current assessment values may differ. We recommend verifying your assessment with your county assessor before filing.

Factors Considered in Our Analysis

The following factors were considered in our analysis of your property's value:

🛣️ **Major Highway**
2 major highway(s) within 1 mile: I-95, New Hampshire Tpke

🚂 **Railroad**
1 railroad(s) within 1 mile: Csx Transportation

🏭 **Commercial/Industrial Zone**
13 commercial, 6 industrial, 9 retail zone(s) within 1 mile (incl. Peirce Island Wastewater Treatment Facility, Market Street Marine Terminal, Plaza 800, Granite State Minerals, Lafayette Professional Park & Center)

⚡ **Power Lines**
2 high-voltage transmission line(s) within 1 mile

Source: Census TIGERweb, FEMA National Flood Hazard Layer, OpenStreetMap

Valuation Analysis

The subject property at 36 Richards Ave, Portsmouth, NH 03801 is a 2,700 sq ft Residential constructed in 1930, situated on a 1,307 sq ft lot.

A search of recent residential sales within 0.5 miles identified 3 comparable properties sold within the past 12 months. These properties range from 2,610 to 3,196 sq ft. The median sale price per square foot among these comparables is $508. Note: An expanded search radius was used due to limited comparable sales in the immediate area.

Applying the 25th percentile sale price of $445 per square foot to the subject property's 2,700 sq ft yields a market value estimate of approximately $1,202,789.

The comparable sales used in this analysis are detailed in the table below. All properties are residential, sold within 12 months, and located within 0.5 miles of the subject property.

Additionally, environmental or locational factors affecting this property may further impact its market value.

Comparable Sales Analysis

#	ADDRESS	DISTANCE	SQFT	YEAR	SALE DATE	SALE PRICE	$/SQFT
S	**36 Richards Ave (Subject)**	**—**	**2,700**	**1930**	**—**	**—**	**—**
1	405 Pleasant St	0.5 mi	2,610	1780	1/14/2026	$1,325,000	$508
2	30 Spring St	0.4 mi	2,829	1900	11/13/2025	$1,925,000	$680
3	332 Hanover St	0.2 mi	3,196	1910	1/20/2026	$1,225,000	$383

MEDIAN SALE PRICE	25TH PCTL $/SQFT	SUBJECT SQFT	MARKET VALUE
$1,325,000	**$445**	**2,700**	**$1,202,789**

Comparable sales within 0.5 miles, sold within the past 12 months. All transactions are arm's-length sales from public county records.

Comparable Properties Map

Subject property (blue pin) and comparable sales locations (red pins)

Comparable Property Details

1

SALE PRICE

$1,325,000

405 Pleasant St

2,610 sqft · Built 1780 · 0.5 mi · Sold 1/14/2026 · $508/sqft



2

SALE PRICE

$1,925,000

30 Spring St

2,829 sqft · Built 1900 · 0.4 mi · Sold 11/13/2025 · $680/sqft



3

SALE PRICE

$1,225,000

332 Hanover St

3,196 sqft · Built 1910 · 0.2 mi · Sold 1/20/2026 · $383/sqft