Property Tax Assessment Analysis

226 55Th St Ne
District Of Columbia · March 4, 2026

226 55Th St Ne

Washington, DC 20019 · Parcel: 5252 0166

Living Area	1,476 sqft	Lot Size	3,255 sqft
Bedrooms	3	Bathrooms	1
Year Built	2006	Property Type	Residential

Assessment Analysis

County Appraised Value	$393,830
Market Value (Comps)	$270,347
Overassessment	**$123,483**

Valuation Analysis

The subject property at 226 55Th St Ne, Washington, DC 20019 is a 1,476 sq ft Residential constructed in 2006, situated on a 3,255 sq ft lot.

A search of recent residential sales within 1 mile identified 10 comparable properties sold within the past 12 months. These properties range from 1,200 to 1,488 sq ft. The median sale price per square foot among these comparables is $207. Note: An expanded search radius was used due to limited comparable sales in the immediate area.

Applying the 25th percentile sale price of $183 per square foot to the subject property's 1,476 sq ft yields a market value estimate of approximately $270,347. The county's current appraised value of $393,830 exceeds this estimate by $123,483 (31.4%). At an effective tax rate of 0.39%, this overassessment represents approximately $485 in excess annual property taxes.

The comparable sales used in this analysis are detailed in the table below. All properties are residential, sold within 12 months, and located within 1 mile of the subject property.

Comparable Sales Analysis

#	ADDRESS	DISTANCE	SQFT	YEAR	SALE DATE	SALE PRICE	$/SQFT
S	**226 55Th St Ne (Subject)**	**—**	**1,476**	**2006**	**—**	**—**	**—**
1	42 54th St Se	0.3 mi	1,292	1950	1/6/2026	$226,204	$175
2	5817 Coolidge St	0.9 mi	1,480	1926	1/21/2026	$387,000	$261
3	607 Larchmont Ave	0.8 mi	1,488	1952	1/7/2026	$308,900	$208
4	11 Tunic Ave	0.8 mi	1,348	1936	1/20/2026	$315,000	$234
5	1103 Chapelwood Ln	0.8 mi	1,400	1930	1/22/2026	$379,000	$271
6	218 57th Pl Ne	0.2 mi	1,240	1970	1/7/2026	$205,000	$165
7	5919 Crown St	1.0 mi	1,240	1972	2/1/2026	$231,000	$186
8	5807 Dade St	0.9 mi	1,200	1916	1/22/2026	$230,000	$192
9	620 Suffolk Ave	1.0 mi	1,208	1972	2/10/2026	$220,000	$182
10	217 Maryland Park Dr	0.7 mi	1,236	1923	2/1/2026	$256,000	$207

MEDIAN SALE PRICE	25TH PCTL $/SQFT	SUBJECT SQFT	MARKET VALUE
$256,000	**$183**	**1,476**	**$270,347**

Comparable sales within 1 mile, sold within the past 12 months. All transactions are arm's-length sales from public county records.

Comparable Properties Map

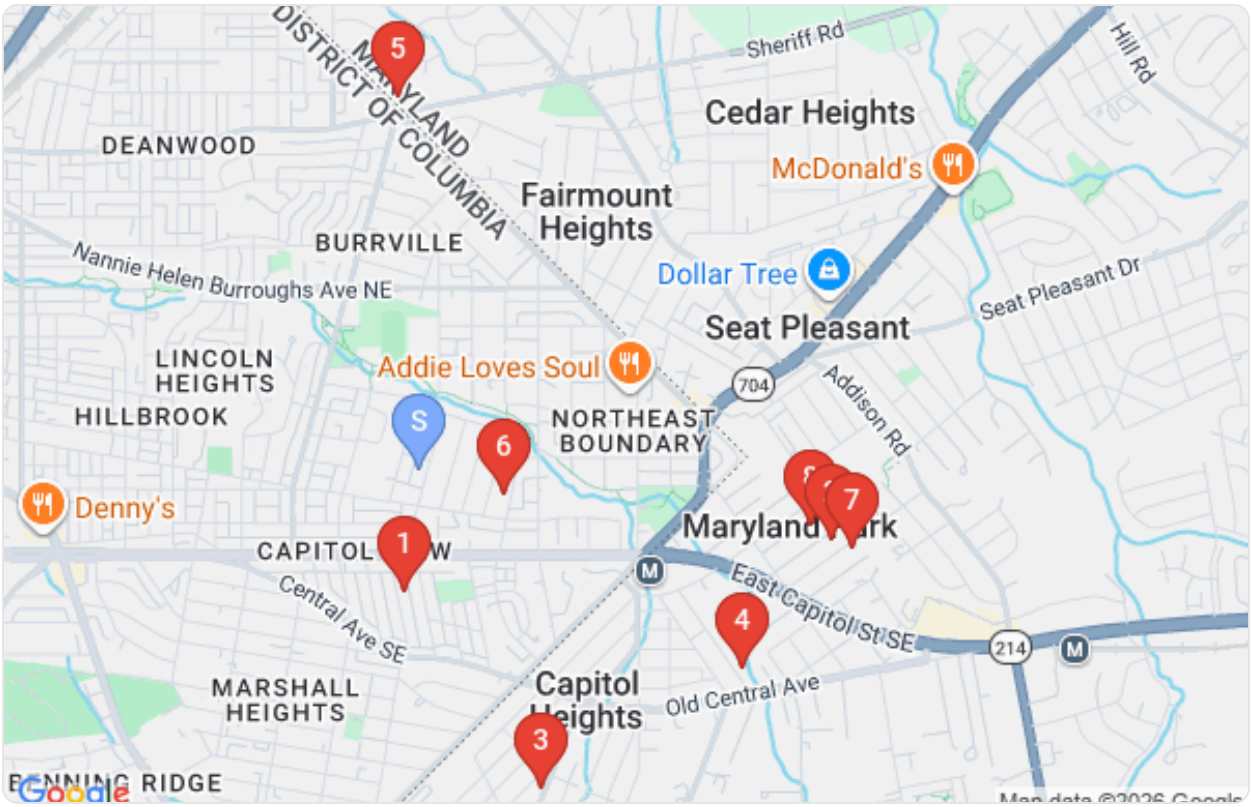

Subject property (blue pin) and comparable sales locations (red pins)

Comparable Property Details



1

SALE PRICE
$226,204

42 54th St Se

1,292 sqft · Built 1950 · 0.3 mi · Sold 1/6/2026 · $175/sqft



2

SALE PRICE
$387,000

5817 Coolidge St

1,480 sqft · Built 1926 · 0.9 mi · Sold 1/21/2026 · $261/sqft

3

SALE PRICE
$308,900

607 Larchmont Ave

1,488 sqft · Built 1952 · 0.8 mi · Sold 1/7/2026 · $208/sqft



4

SALE PRICE
$315,000

11 Tunic Ave

1,348 sqft · Built 1936 · 0.8 mi · Sold 1/20/2026 · $234/sqft

5

SALE PRICE
$379,000

1103 Chapelwood Ln

1,400 sqft · Built 1930 · 0.8 mi · Sold 1/22/2026 · $271/sqft

6

SALE PRICE
$205,000

218 57th Pl Ne

1,240 sqft · Built 1970 · 0.2 mi · Sold 1/7/2026 · $165/sqft

7

SALE PRICE
$231,000

5919 Crown St

1,240 sqft · Built 1972 · 1.0 mi · Sold 2/1/2026 · $186/sqft

8

SALE PRICE
$230,000

5807 Dade St

1,200 sqft · Built 1916 · 0.9 mi · Sold 1/22/2026 · $192/sqft

9

SALE PRICE

$220,000

620 Suffolk Ave

1,208 sqft · Built 1972 · 1.0 mi · Sold 2/10/2026 · $182/sqft

10

SALE PRICE

$256,000

217 Maryland Park Dr

1,236 sqft · Built 1923 · 0.7 mi · Sold 2/1/2026 · $207/sqft