Property Tax Assessment Analysis

3816 Roland Dr
Desoto County · March 4, 2026

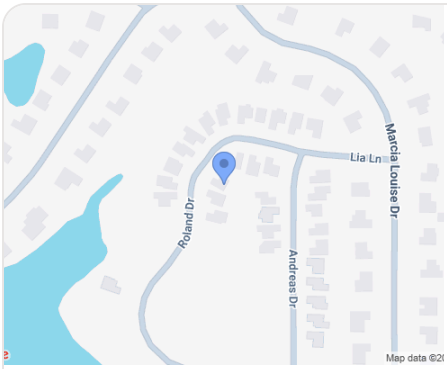

3816 Roland Dr

Southaven, MS 38672 · Parcel: 2-07-4-17-22-0-00383-00

Living Area	**2,377 sqft**	Lot Size	**8,990 sqft**
Bedrooms	**4**	Year Built	**2022**
Property Type	**Residential**		

Assessment Analysis

County Appraised Value	**$283,665**
Assessment Ratio (MS)	**10%**
Taxable Assessed Value	**$28,367**
Market Value (Comps)	**$321,538**
Underassessment	**-$37,873**

Valuation Analysis

The subject property at 3816 Roland Dr, Southaven, MS 38672 is a 2,377 sq ft Residential constructed in 2022, situated on a 8,990 sq ft lot.

A search of recent residential sales within 5 miles identified 11 comparable properties sold within the past 24 months. These properties range from 2,067 to 2,660 sq ft. The median estimated value per square foot among these comparables is $146. Note: An expanded search radius was used due to limited comparable sales in the immediate area.

Applying the 25th percentile price of $135 per square foot to the subject property's 2,377 sq ft yields a market value estimate of approximately $321,538.

The comparable properties used in this analysis are detailed in the table below. All properties are residential, sold within 24 months, and located within 5 miles of the subject property.

Note: MS does not publicly disclose sale prices. Comparable values shown are estimated market values derived from property and market data.

Comparable Property Analysis

#	ADDRESS	DISTANCE	SQFT	YEAR	SALE DATE	SALE PRICE*	$/SQFT
S	**3816 Roland Dr (Subject)**	**—**	**2,377**	**2022**	**—**	**—**	**—**
1	3451 SABRA LN	—	2,226	—	10/23/2024	$251,000	$113
2	3289 MARION LN	—	2,126	—	10/12/2025	$313,000	$147
3	3430 OODIE LN	—	2,660	—	12/16/2025	$340,000	$128
4	2217 WALK JONES WAY	—	2,314	—	6/30/2025	$317,000	$137
5	3374 OODIE LN	—	2,262	—	12/2/2025	$329,900	$146
6	3463 ENCLAVE DR	—	2,136	—	10/6/2025	$319,000	$149
7	3498 JAGUAR BLVD	—	2,562	—	6/30/2025	$353,700	$138
8	3601 HARVEST TREE DR	—	2,067	—	11/30/2025	$325,000	$157
9	2488 MARION LN	—	2,237	—	4/29/2025	$302,600	$135
10	2634 HARVEST TREE DR	—	2,067	—	7/29/2025	$315,000	$152

#	ADDRESS	DISTANCE	SQFT	YEAR	SALE DATE	SALE PRICE*	$/SQFT
11	3899 WASHINGTON WOODS RD	—	2,331	—	1/12/2026	$370,000	$159

MEDIAN PRICE	25TH PCTL $/SQFT	SUBJECT SQFT	MARKET VALUE
$319,000	**$135**	**2,377**	**$321,538**

*Comparable sales within 5 miles, sold within the past 24 months. All transactions are arm's-length sales from public county records. *Estimated market value — actual sale price not publicly disclosed in this state.*

Comparable Properties Map

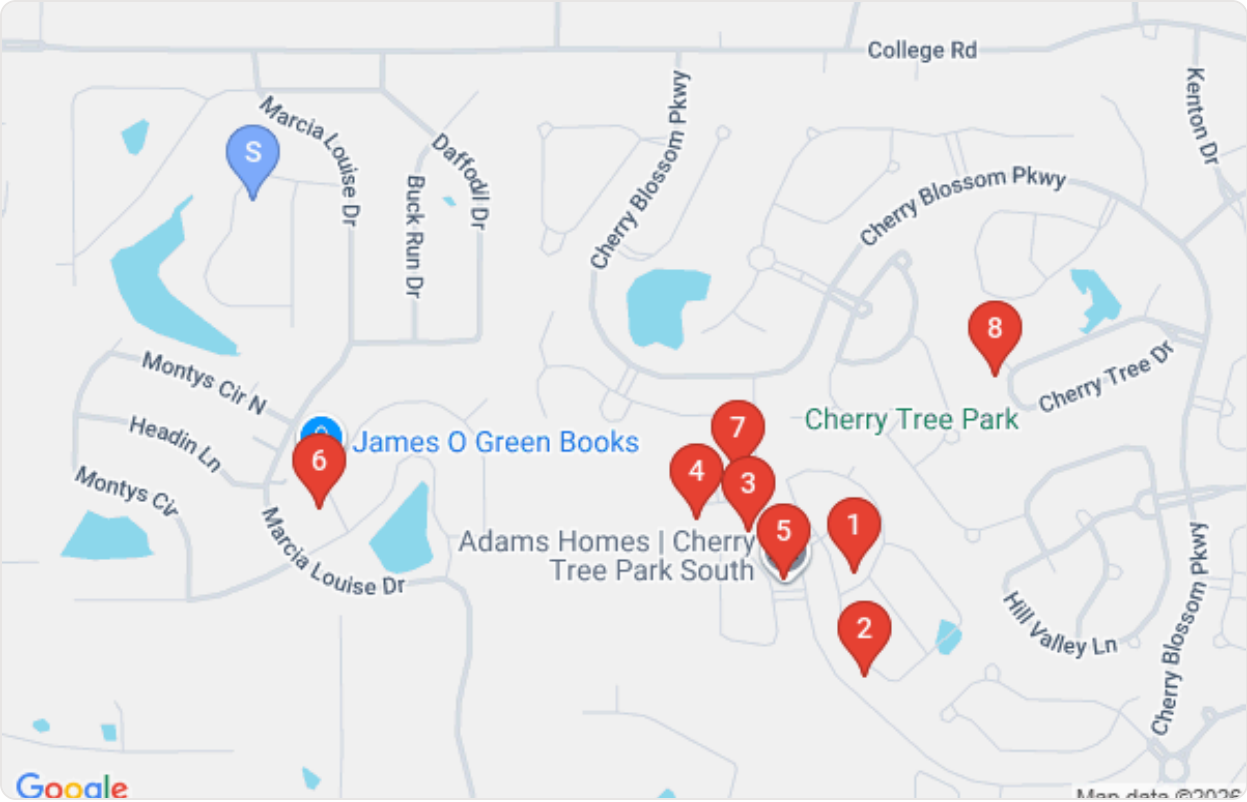

Subject property (blue pin) and comparable property locations (red pins)

Comparable Property Details

1

SALE PRICE

$251,000

3451 SABRA LN

2,226 sqft · Sold 10/23/2024 · $113/sqft

2

EST. MARKET VALUE

$313,000

3289 MARION LN

2,126 sqft · Sold 10/12/2025 · $147/sqft

3

EST. MARKET VALUE

$340,000

3430 OODIE LN

2,660 sqft · Sold 12/16/2025 · $128/sqft

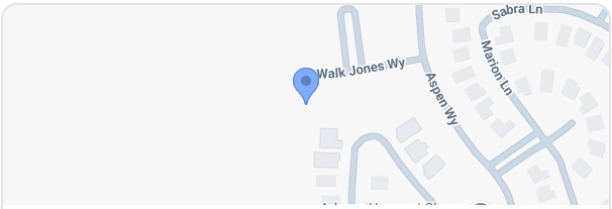

4

EST. MARKET VALUE

$317,000

2217 WALK JONES WAY

2,314 sqft · Sold 6/30/2025 · $137/sqft

5

EST. MARKET VALUE

$329,900

3374 OODIE LN

2,262 sqft · Sold 12/2/2025 · $146/sqft



6

EST. MARKET VALUE

$319,000

3463 ENCLAVE DR

2,136 sqft · Sold 10/6/2025 · $149/sqft

7

EST. MARKET VALUE

$353,700

3498 JAGUAR BLVD

2,562 sqft · Sold 6/30/2025 · $138/sqft

8

EST. MARKET VALUE

$325,000

3601 HARVEST TREE DR

2,067 sqft · Sold 11/30/2025 · $157/sqft

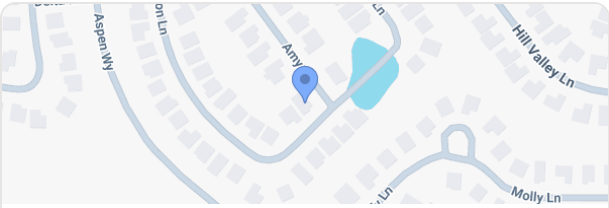

9

EST. MARKET VALUE

$302,600

2488 MARION LN

2,237 sqft · Sold 4/29/2025 · $135/sqft

10

EST. MARKET VALUE

$315,000

2634 HARVEST TREE DR

2,067 sqft · Sold 7/29/2025 · $152/sqft

11

EST. MARKET VALUE

$370,000

3899 WASHINGTON WOODS RD

2,331 sqft · Sold 1/12/2026 · $159/sqft