Property Tax Assessment Analysis

10719 Greensboro Rd
Caroline County · March 4, 2026

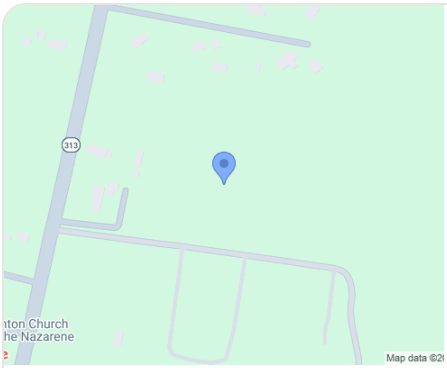

10719 Greensboro Rd

Denton, MD 21629 · Parcel: 03-004821

Living Area	1,492 sqft	Lot Size	7.00 acres
Bedrooms	3	Bathrooms	1
Year Built	1965	Property Type	Residential

Assessment Analysis

County Appraised Value	$277,900
Market Value (Comps)	$307,629
Underassessment	-$29,729

Factors Considered in Our Analysis

The following factors were considered in our analysis of your property's value:

🏭 **Commercial/Industrial Zone**
8 commercial, 2 industrial zone(s) within 1 mile (incl. Eastern Shore Waste and Recycling)

Source: Census TIGERweb, FEMA National Flood Hazard Layer, OpenStreetMap

Valuation Analysis

The subject property at 10719 Greensboro Rd, Denton, MD 21629 is a 1,492 sq ft Residential constructed in 1965, situated on a 7.00-acre lot.

A search of recent residential sales within 1.5 miles identified 4 comparable properties sold within the past 18 months. These properties range from 1,256 to 1,868 sq ft. The median sale price per square foot among these comparables is $251. Note: An expanded search radius was used due to limited comparable sales in the immediate area.

Applying the 25th percentile sale price of $206 per square foot to the subject property's 1,492 sq ft yields a market value estimate of approximately $307,629.

The comparable sales used in this analysis are detailed in the table below. All properties are residential, sold within 18 months, and located within 1.5 miles of the subject property.

Additionally, environmental or locational factors affecting this property may further impact its market value.

Comparable Sales Analysis

#	ADDRESS	DISTANCE	SQFT	YEAR	SALE DATE	SALE PRICE	$/SQFT
S	**10719 Greensboro Rd (Subject)**	**—**	**1,492**	**1965**	**—**	**—**	**—**
1	25130 Adams Landing Rd	1.0 mi	1,680	1961	11/13/2025	$177,000	$105
2	25211 Adams Landing Rd	0.9 mi	1,868	1960	12/18/2025	$700,000	$375
3	25432 Piney Branch Ln	0.6 mi	1,746	1982	9/7/2025	$360,000	$206
4	25266 Smith Landing Rd	1.1 mi	1,256	1953	9/15/2025	$315,000	$251

MEDIAN SALE PRICE	25TH PCTL $/SQFT	SUBJECT SQFT	MARKET VALUE
$360,000	$206	1,492	$307,629

Comparable sales within 1.5 miles, sold within the past 18 months. All transactions are arm's-length sales from public county records.

Comparable Properties Map

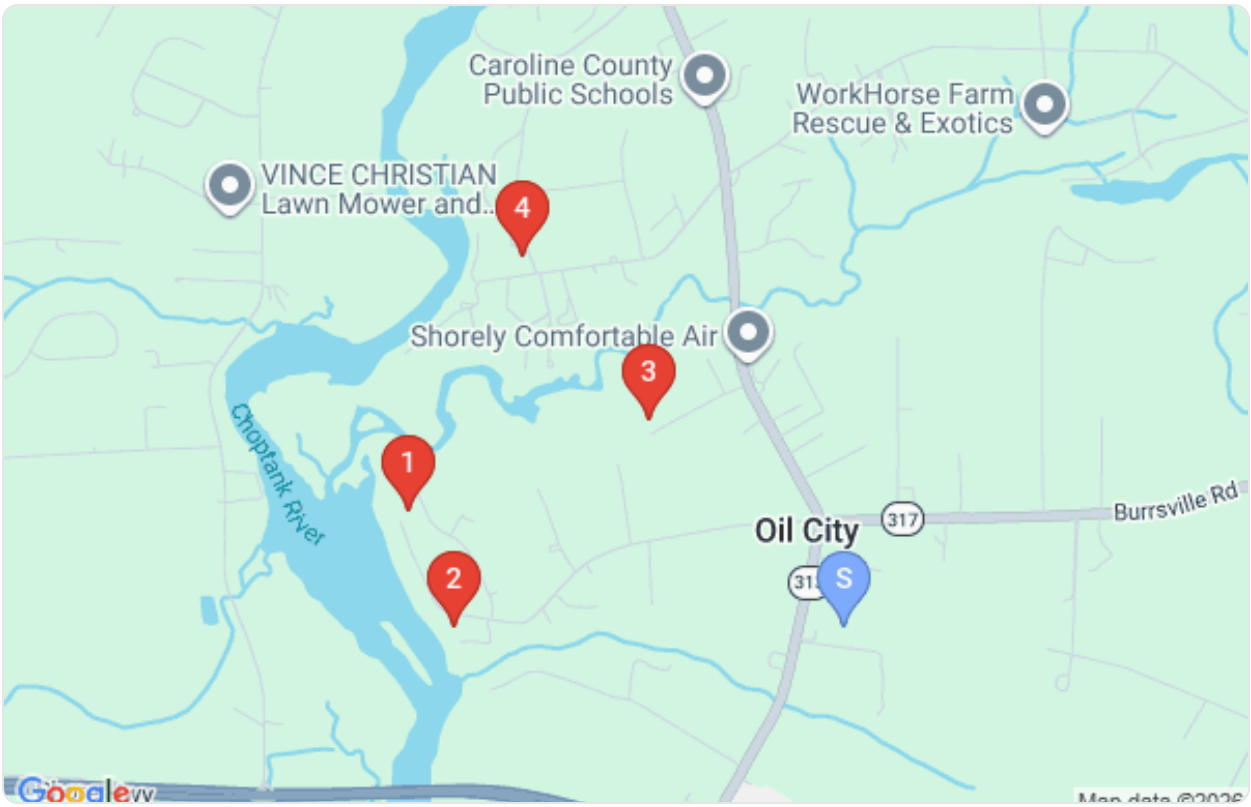

Subject property (blue pin) and comparable sales locations (red pins)

Comparable Property Details

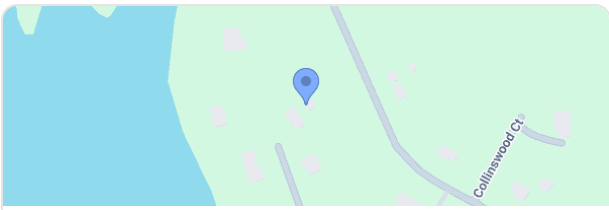

1

SALE PRICE

$177,000

25130 Adams Landing Rd

1,680 sqft · Built 1961 · 1.0 mi · Sold 11/13/2025 · $105/sqft

2

SALE PRICE

$700,000

25211 Adams Landing Rd

1,868 sqft · Built 1960 · 0.9 mi · Sold 12/18/2025 · $375/sqft

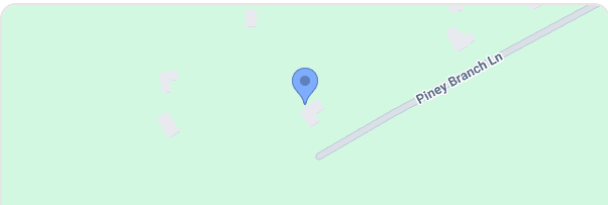

3

SALE PRICE

$360,000

25432 Piney Branch Ln

1,746 sqft · Built 1982 · 0.6 mi · Sold 9/7/2025 · $206/sqft

4

SALE PRICE

$315,000

25266 Smith Landing Rd

1,256 sqft · Built 1953 · 1.1 mi · Sold 9/15/2025 · $251/sqft