Property Tax Assessment Analysis

613 Links Dr
Monongalia County · March 4, 2026

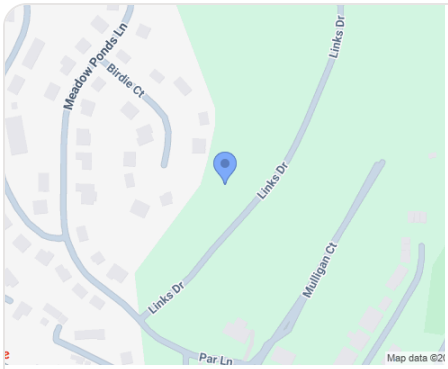

613 Links Dr

Maidsville, WV 26541 · Parcel: 31-03- 11A-0007.0000

Living Area	1,970 sqft	Lot Size	12,197 sqft
Bedrooms	3	Bathrooms	2
Year Built	2022	Property Type	Residential

Assessment Analysis

County Appraised Value	$309,000
Assessment Ratio (WV)	60%
Taxable Assessed Value	$185,400
Market Value (Comps)	$296,718
Overassessment	$12,282

Environmental & Locational Factors

The following factors were detected within 1 mile of the subject property and may support a lower assessment:

🚂 **Railroad**
1 railroad(s) within 1 mile: Csx Transportation

🏭 **Commercial/Industrial Zone**
1 industrial zone(s) within 1 mile

⚡ **Power Lines**
2 high-voltage transmission line(s) within 1 mile

Source: Census TIGERweb, FEMA National Flood Hazard Layer, OpenStreetMap

Valuation Analysis

The subject property at 613 Links Dr, Maidsville, WV 26541 is a 1,970 sq ft Residential constructed in 2022, situated on a 12,197 sq ft lot.

A search of recent residential sales within 0.3 miles identified 4 comparable properties sold within the past 6 months. These properties range from 1,760 to 2,264 sq ft. The median sale price per square foot among these comparables is $176.

Applying the 25th percentile sale price of $151 per square foot to the subject property's 1,970 sq ft yields a market value estimate of approximately $296,718. The county's current appraised value of $309,000 exceeds this estimate by $12,282 (4.0%). At an effective tax rate of 0.64%, this overassessment represents approximately $79 in excess annual property taxes.

The comparable sales used in this analysis are detailed in the table below. All properties are residential, sold within 6 months, and located within 0.3 miles of the subject property.

Additionally, environmental or locational factors affecting this property may further impact its market value. These factors are detailed in the Filing Guide included with this packet.

Comparable Sales Analysis

#	ADDRESS	DISTANCE	SQFT	YEAR	SALE DATE	SALE PRICE	$/SQFT
S	**613 Links Dr (Subject)**	**—**	**1,970**	**2022**	**—**	**—**	**—**
1	227 Meadow Ponds Ln	0.2 mi	1,891	2016	11/2/2025	$350,000	$185
2	507 Watson Dr	0.2 mi	2,184	2016	12/4/2025	$385,000	$176
3	628 Links Dr	0.1 mi	2,264	2024	9/29/2025	$341,000	$151
4	Near Maidsville, WV	0.3 mi	1,760	2017	12/7/2025	$245,000	$139

MEDIAN SALE PRICE	25TH PCTL $/SQFT	SUBJECT SQFT	MARKET VALUE
$350,000	**$151**	**1,970**	**$296,718**

Comparable sales within 0.3 miles, sold within the past 6 months. All transactions are arm's-length sales from public county records.

Comparable Properties Map

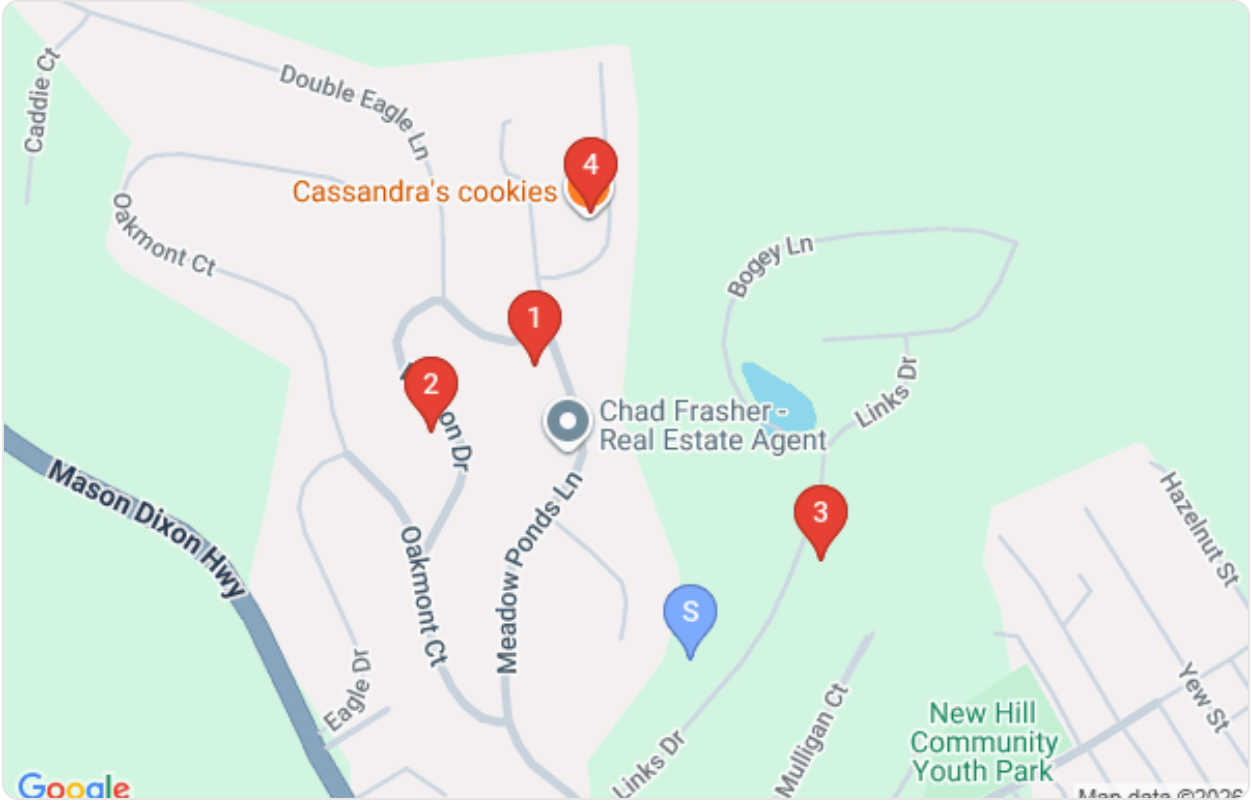

Subject property (blue pin) and comparable sales locations (red pins)

Comparable Property Details

1

SALE PRICE

$350,000

227 Meadow Ponds Ln

1,891 sqft · Built 2016 · 0.2 mi · Sold 11/2/2025 · $185/sqft

2

SALE PRICE

$385,000

507 Watson Dr

2,184 sqft · Built 2016 · 0.2 mi · Sold 12/4/2025 · $176/sqft

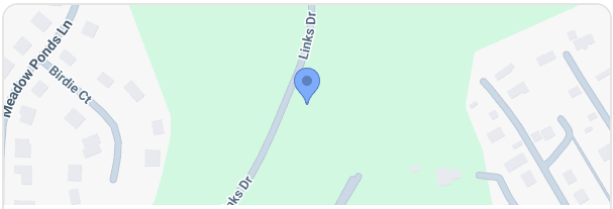

3

SALE PRICE

$341,000

628 Links Dr

2,264 sqft · Built 2024 · 0.1 mi · Sold 9/29/2025 · $151/sqft



4

SALE PRICE

$245,000

Near Maidsville, WV

1,760 sqft · Built 2017 · 0.3 mi · Sold 12/7/2025 · $139/sqft