Property Tax Assessment Analysis

35580 N Fork Rd
Kenai Peninsula Borough · March 4, 2026

35580 N Fork Rd

Anchor Point, AK 99556 · Parcel: 171-380-06

Living Area	**2,764 sqft**	Lot Size	**3.63 acres**
Bedrooms	**4**	Bathrooms	**3**
Year Built	**1997**	Property Type	**Residential**

Assessment Analysis

County Appraised Value	**$391,800**
Market Value (Comps)	**$466,734**
Underassessment	**-$74,934**

Valuation Analysis

The subject property at 35580 N Fork Rd, Anchor Point, AK 99556 is a 2,764 sq ft Residential constructed in 1997, situated on a 3.63-acre lot.

A search of recent residential sales within 5 miles identified 10 comparable properties sold within the past 24 months. These properties range from 1,440 to 3,016 sq ft. The median estimated value per square foot among these comparables is $207. Note: An expanded search radius was used due to limited comparable sales in the immediate area.

Applying the 25th percentile price of $169 per square foot to the subject property's 2,764 sq ft yields a market value estimate of approximately $466,734.

The comparable properties used in this analysis are detailed in the table below. All properties are residential, sold within 24 months, and located within 5 miles of the subject property.

Note: AK does not publicly disclose sale prices. Comparable values shown are estimated market values derived from property and market data.

Comparable Property Analysis

#	ADDRESS	DISTANCE	SQFT	YEAR	SALE DATE	SALE PRICE*	$/SQFT
S	**35580 N Fork Rd (Subject)**	**—**	**2,764**	**1997**	**—**	**—**	**—**
1	35621 NORTH FORK RD	—	2,961	—	6/15/2025	$500,000	$169
2	34540 ALAMAR RD	—	1,864	—	1/11/2026	$315,000	$169
3	64900 NIKOLAEVSK RD	—	1,440	—	10/23/2025	$295,000	$205
4	41007 OLD STERLING HWY	—	2,209	—	10/7/2024	$322,000	$146
5	616 RANGEVIEW AVE	—	2,492	—	9/21/2025	$280,000	$112
6	1855 MISSION RD	—	2,788	—	9/25/2025	$1,150,000	$412
7	41722 CHARLIE DR	—	2,711	—	10/29/2025	$735,000	$271
8	33523 TWIG CT	—	1,472	—	6/17/2025	$405,000	$275
9	64083 MINERAL DR	—	3,016	—	7/20/2025	$625,000	$207
10	5012 PINE TERRACE CIR	—	2,064	—	1/11/2026	$700,000	$339

MEDIAN PRICE	25TH PCTL $/SQFT	SUBJECT SQFT	MARKET VALUE
$500,000	**$169**	**2,764**	**$466,734**

*Comparable sales within 5 miles, sold within the past 24 months. All transactions are arm's-length sales from public county records. *Estimated market value — actual sale price not publicly disclosed in this state.*

Comparable Properties Map

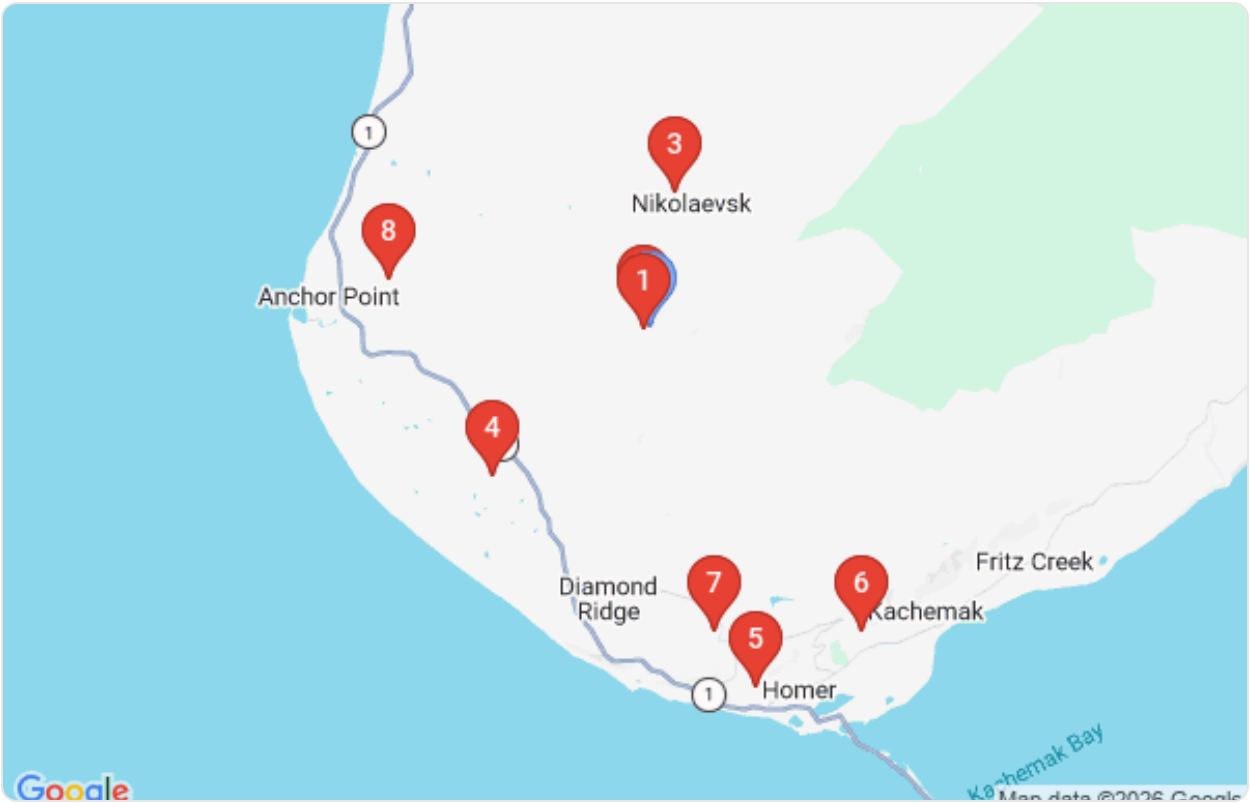

Subject property (blue pin) and comparable property locations (red pins)

Comparable Property Details

1

EST. MARKET VALUE

$500,000

35621 NORTH FORK RD

2,961 sqft · Sold 6/15/2025 · $169/sqft

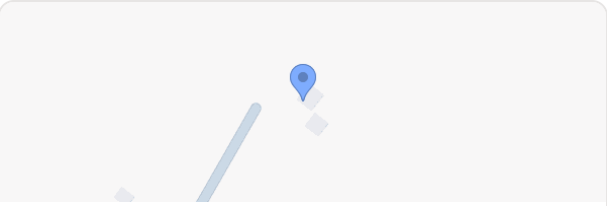

2

EST. MARKET VALUE

$315,000

34540 ALAMAR RD

1,864 sqft · Sold 1/11/2026 · $169/sqft

3

EST. MARKET VALUE

$295,000

64900 NIKOLAEVSK RD

1,440 sqft · Sold 10/23/2025 · $205/sqft

4

EST. MARKET VALUE

$322,000

41007 OLD STERLING HWY

2,209 sqft · Sold 10/7/2024 · $146/sqft

5

SALE PRICE

$280,000

616 RANGEVIEW AVE

2,492 sqft · Sold 9/21/2025 · $112/sqft

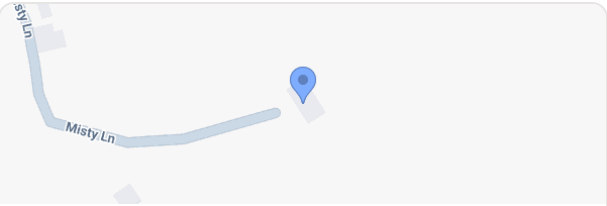

6

EST. MARKET VALUE

$1,150,000

1855 MISSION RD

2,788 sqft · Sold 9/25/2025 · $412/sqft

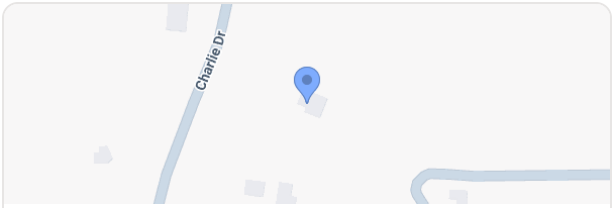

7

EST. MARKET VALUE

$735,000

41722 CHARLIE DR

2,711 sqft · Sold 10/29/2025 · $271/sqft

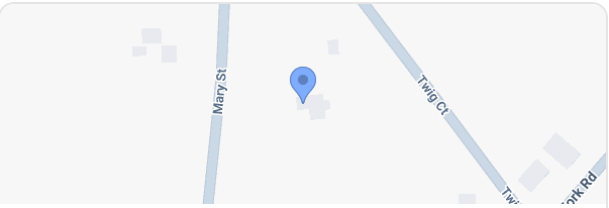

8

EST. MARKET VALUE

$405,000

33523 TWIG CT

1,472 sqft · Sold 6/17/2025 · $275/sqft

9

EST. MARKET VALUE

$625,000

64083 MINERAL DR

3,016 sqft · Sold 7/20/2025 · $207/sqft

10

EST. MARKET VALUE

$700,000

5012 PINE TERRACE CIR

2,064 sqft · Sold 1/11/2026 · $339/sqft