Property Tax Assessment Analysis

15 Abby Ln
Kennebec County · March 4, 2026

15 Abby Ln

Litchfield, ME 04350 · Parcel: LITD M:U04 L:002A-3

Living Area	**1,232 sqft**	Lot Size	**2.99 acres**
Bedrooms	**3**	Bathrooms	**1**
Year Built	**1978**	Property Type	**Residential**

Assessment Analysis

County Assessed Value (capped)	**$331,900**
County Market Value	**$476,000**
Market Value (Comps)	**$343,089**
Overassessment	**$132,911**

Note: The most recent assessment data available for this property is from 2024. Current assessment values may differ. We recommend verifying your assessment with your county assessor before filing.

Environmental & Locational Factors

The following factors were detected within 1 mile of the subject property and may support a lower assessment:

Major Highway
2 major highway(s) within 1 mile: I-95, Maine Tpke

Source: Census TIGERweb, FEMA National Flood Hazard Layer, OpenStreetMap

Valuation Analysis

The subject property at 15 Abby Ln, Litchfield, ME 04350 is a 1,232 sq ft Residential constructed in 1978, situated on a 2.99-acre lot.

A search of recent residential sales in the surrounding area identified 15 comparable properties sold within the past 24 months. These properties range from 760 to 1,856 sq ft. The median sale price per square foot among these comparables is $302. Note: An expanded search radius was used due to limited comparable sales in the immediate area.

Applying the 25th percentile sale price of $278 per square foot to the subject property's 1,232 sq ft yields a market value estimate of approximately $343,089. The county's current market value of $476,000 exceeds this estimate by $132,911 (27.9%). At an effective tax rate of 0.99%, this overassessment represents approximately $1,321 in excess annual property taxes.

The comparable sales used in this analysis are detailed in the table below. All properties are residential, sold within 24 months, and located in the surrounding area of the subject property.

Additionally, environmental or locational factors affecting this property may further impact its market value. These factors are detailed in the Filing Guide included with this packet.

Comparable Sales Analysis

#	ADDRESS	DISTANCE	SQFT	YEAR	SALE DATE	SALE PRICE	$/SQFT
S	**15 Abby Ln (Subject)**	**—**	**1,232**	**1978**	**—**	**—**	**—**
1	10 PLEASANT POND LN	—	1,344	—	4/7/2025	$550,000	$409
2	225 LIBBY HILL RD	—	1,196	—	9/7/2025	$314,000	$263
3	14 WHISPERING PNES	—	1,516	—	10/2/2024	$368,000	$243
4	24 WEEKS RD	—	960	—	9/15/2025	$290,000	$302
5	1305 BRUNSWICK AVE	—	1,008	—	8/12/2025	$325,000	$322
6	525 PLAINS RD	—	1,856	—	10/29/2025	$550,000	$296
7	1 EVERGREEN WAY	—	1,472	—	8/12/2025	$925,000	$628
8	58 MILITARY LN	—	760	—	12/2/2025	$432,500	$569

#	ADDRESS	DISTANCE	SQFT	YEAR	SALE DATE	SALE PRICE	$/SQFT
9	940 PLAINS RD	—	1,248	—	11/21/2024	$375,000	$300
10	1945 HALLOWELL RD	—	1,096	—	8/19/2025	$260,000	$237
11	85 GARLAND LN	—	1,232	—	6/15/2025	$445,000	$361
12	1468 RICHMOND RD	—	1,512	—	12/10/2025	$270,000	$179
13	123 UPPER POND RD	—	1,085	—	2/8/2026	$645,000	$594
14	18 GARLAND LN	—	1,239	—	6/2/2025	$400,000	$323
15	7 BIG PINE RD	—	968	—	10/9/2025	$285,000	$294

MEDIAN SALE PRICE	25TH PCTL $/SQFT	SUBJECT SQFT	MARKET VALUE
$375,000	**$278**	**1,232**	**$343,089**

Comparable sales in the surrounding area, sold within the past 24 months. All transactions are arm's-length sales from public county records.

Comparable Properties Map

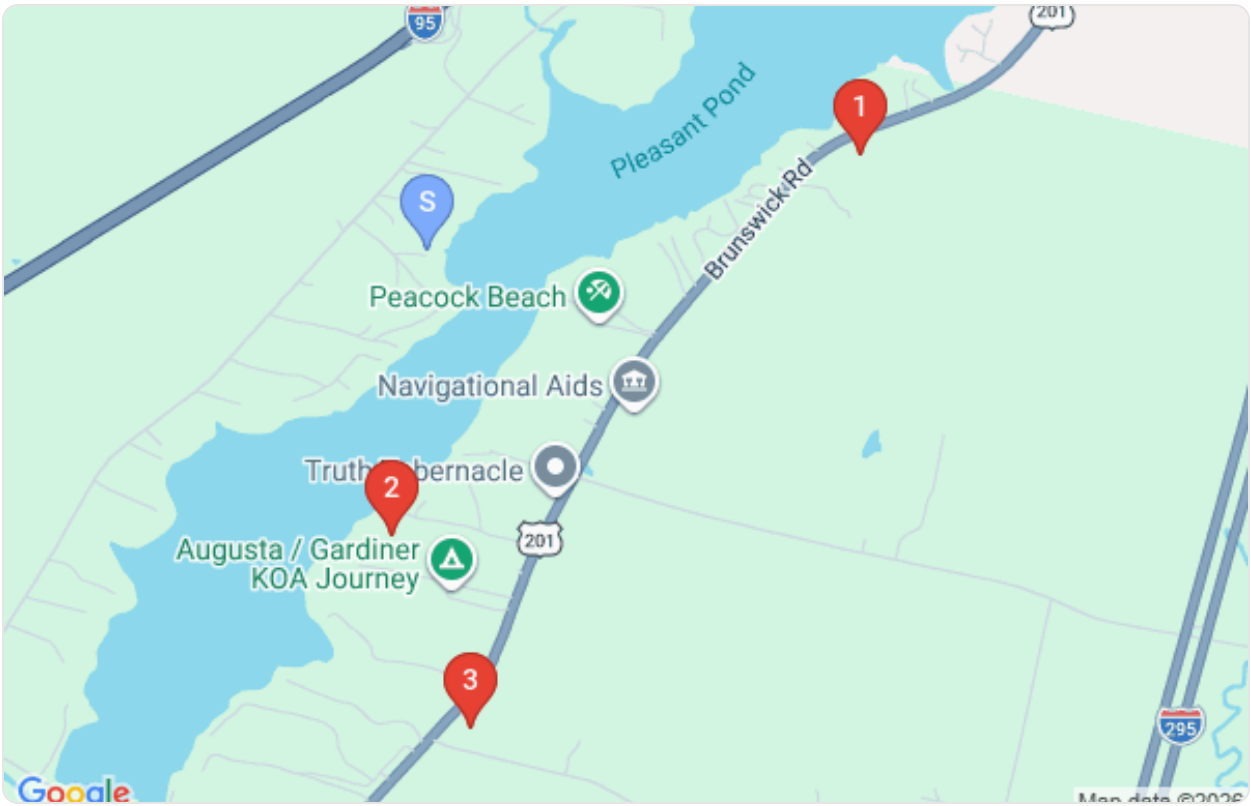

Subject property (blue pin) and comparable sales locations (red pins)

Comparable Property Details

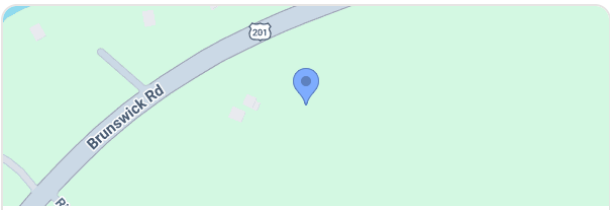

1

SALE PRICE
$550,000

10 PLEASANT POND LN

1,344 sqft · Sold 4/7/2025 · $409/sqft

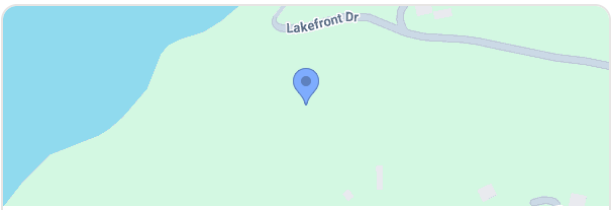

2

SALE PRICE
$314,000

225 LIBBY HILL RD

1,196 sqft · Sold 9/7/2025 · $263/sqft

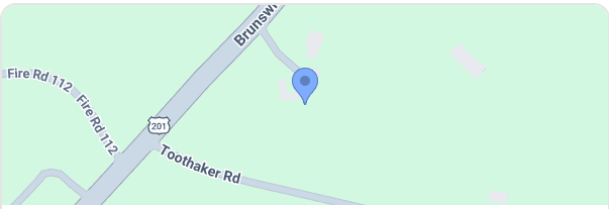

3

SALE PRICE
$368,000

14 WHISPERING PNES

1,516 sqft · Sold 10/2/2024 · $243/sqft

4

SALE PRICE
$290,000

24 WEEKS RD

960 sqft · Sold 9/15/2025 · $302/sqft

5

SALE PRICE
$325,000

1305 BRUNSWICK AVE

1,008 sqft · Sold 8/12/2025 · $322/sqft

6

SALE PRICE
$550,000

525 PLAINS RD

1,856 sqft · Sold 10/29/2025 · $296/sqft

7

SALE PRICE
$925,000

1 EVERGREEN WAY

1,472 sqft · Sold 8/12/2025 · $628/sqft

8

SALE PRICE
$432,500

58 MILITARY LN

760 sqft · Sold 12/2/2025 · $569/sqft

9

SALE PRICE
$375,000

940 PLAINS RD

1,248 sqft · Sold 11/21/2024 · $300/sqft

10

SALE PRICE
$260,000

1945 HALLOWELL RD

1,096 sqft · Sold 8/19/2025 · $237/sqft

11

SALE PRICE
$445,000

85 GARLAND LN

1,232 sqft · Sold 6/15/2025 · $361/sqft

12

SALE PRICE
$270,000

1468 RICHMOND RD

1,512 sqft · Sold 12/10/2025 · $179/sqft

13

SALE PRICE

$645,000

123 UPPER POND RD

1,085 sqft · Sold 2/8/2026 · $594/sqft

14

SALE PRICE

$400,000

18 GARLAND LN

1,239 sqft · Sold 6/2/2025 · $323/sqft

15

SALE PRICE

$285,000

7 BIG PINE RD

968 sqft · Sold 10/9/2025 · $294/sqft