Property Tax Assessment Analysis

7 Dawes Rd
Middlesex County · March 4, 2026



7 Dawes Rd

Stow, MA 01775 · Parcel: STOW M:000U-6 P:004

Living Area	1,752 sqft	Lot Size	18,513 sqft
Bedrooms	3	Bathrooms	1
Year Built	1930	Property Type	Residential

Assessment Analysis

County Assessed Value (capped)	$348,500
County Market Value	$599,000
Market Value (Comps)	$756,545
Underassessment	-$157,545

Valuation Analysis

The subject property at 7 Dawes Rd, Stow, MA 01775 is a 1,752 sq ft Residential constructed in 1930, situated on a 18,513 sq ft lot.

A search of recent residential sales within 1 mile identified 15 comparable properties sold within the past 24 months. These properties range from 560 to 2,080 sq ft. The median sale price per square foot among these comparables is $556. Note: An expanded search radius was used due to limited comparable sales in the immediate area.

Applying the 25th percentile sale price of $432 per square foot to the subject property's 1,752 sq ft yields a market value estimate of approximately $756,545.

The comparable sales used in this analysis are detailed in the table below. All properties are residential, sold within 24 months, and located within 1 mile of the subject property.

Comparable Sales Analysis

#	ADDRESS	DISTANCE	SQFT	YEAR	SALE DATE	SALE PRICE	$/SQFT
S	**7 Dawes Rd (Subject)**	**—**	**1,752**	**1930**	**—**	**—**	**—**
1	12 Temple Ave	0.8 mi	2,080	1923	10/30/2025	$635,000	$305
2	26 LAKESIDE AVE	—	1,080	—	5/15/2025	$600,000	$556
3	10 DAVIS RD	—	1,305	—	3/31/2025	$650,000	$498
4	26 HUNTER AVE	—	1,028	—	1/9/2025	$604,000	$588
5	25 PARMENTER RD	—	1,358	—	10/27/2024	$590,000	$434
6	154 N SHORE DR	—	560	—	4/30/2025	$569,000	$1016
7	4 GATELY AVE	—	1,816	—	12/16/2025	$685,000	$377
8	Near HUDSON, MA	—	1,289	—	4/23/2024	$600,000	$465
9	367 SUDBURY RD	—	1,256	—	6/16/2025	$750,000	$597
10	4 PARMENTER RD	—	1,132	—	8/24/2025	$830,000	$733
11	10 N SHORE DR	—	1,344	—	3/28/2024	$795,000	$592

#	ADDRESS	DISTANCE	SQFT	YEAR	SALE DATE	SALE PRICE	$/SQFT
12	3 LAKESIDE AVE	—	1,990	—	11/12/2025	$755,000	$379
13	64 PINE POINT RD	—	1,272	—	10/10/2024	$957,500	$753
14	Near STOW, MA	—	1,980	—	4/28/2025	$855,000	$432
15	25 HALLOCK POINT RD	—	1,332	—	5/19/2024	$1,225,000	$920

MEDIAN SALE PRICE	25TH PCTL $/SQFT	SUBJECT SQFT	MARKET VALUE
$685,000	**$432**	**1,752**	**$756,545**

Comparable sales within 1 mile, sold within the past 24 months. All transactions are arm's-length sales from public county records.

Comparable Properties Map

Subject property (blue pin) and comparable sales locations (red pins)

Comparable Property Details

1

SALE PRICE
$635,000

12 Temple Ave

2,080 sqft · Built 1923 · 0.8 mi · Sold 10/30/2025 · $305/sqft

2

SALE PRICE
$600,000

26 LAKESIDE AVE

1,080 sqft · Sold 5/15/2025 · $556/sqft

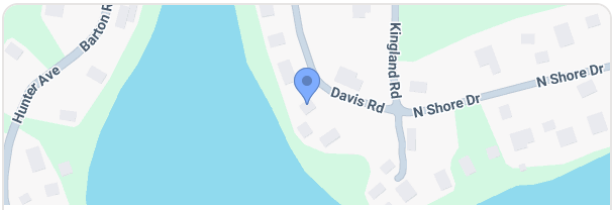

3

SALE PRICE
$650,000

10 DAVIS RD

1,305 sqft · Sold 3/31/2025 · $498/sqft

4

SALE PRICE
$604,000

26 HUNTER AVE

1,028 sqft · Sold 1/9/2025 · $588/sqft

5

SALE PRICE
$590,000

25 PARMENTER RD

1,358 sqft · Sold 10/27/2024 · $434/sqft

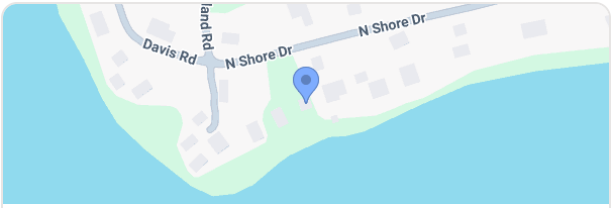

6

SALE PRICE
$569,000

154 N SHORE DR

560 sqft · Sold 4/30/2025 · $1016/sqft

7

SALE PRICE
$685,000

4 GATELY AVE

1,816 sqft · Sold 12/16/2025 · $377/sqft

8

SALE PRICE
$600,000

Near HUDSON, MA

1,289 sqft · Sold 4/23/2024 · $465/sqft

9

SALE PRICE
$750,000

367 SUDBURY RD

1,256 sqft · Sold 6/16/2025 · $597/sqft

10

SALE PRICE
$830,000

4 PARMENTER RD

1,132 sqft · Sold 8/24/2025 · $733/sqft

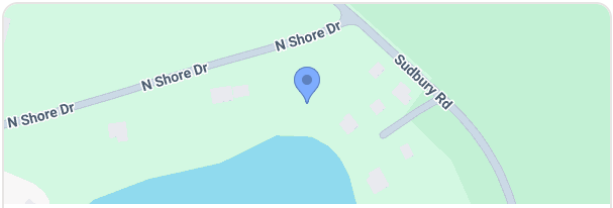

11

SALE PRICE
$795,000

10 N SHORE DR

1,344 sqft · Sold 3/28/2024 · $592/sqft

12

SALE PRICE
$755,000

3 LAKESIDE AVE

1,990 sqft · Sold 11/12/2025 · $379/sqft

13

SALE PRICE
$957,500

64 PINE POINT RD

1,272 sqft · Sold 10/10/2024 · $753/sqft

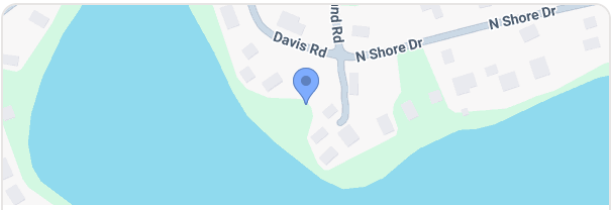

14

SALE PRICE
$855,000

Near STOW, MA

1,980 sqft · Sold 4/28/2025 · $432/sqft

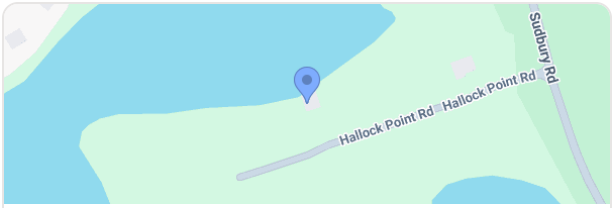

15

SALE PRICE
$1,225,000

25 HALLOCK POINT RD

1,332 sqft · Sold 5/19/2024 · $920/sqft